Old But Gold: Historical Pathways and Path Dependence

Diogo Baerlocher — *University of South Florida*
Guilherme Lambais — *Lusíada University of Lisbon*
Eustáquio Reis — *IPEA*
Diego Firmino Costa da Silva — *UFRPE*
Henrique Veras — *UFPE*

April 2026*

Abstract

Following the discovery of gold in 1694 in Brazil, pathways were constructed to connect coastal settlements to mining regions in the unpopulated interior. While these pathways initially facilitated the creation of road towns, their influence faded by the late nineteenth century. With the mid-twentieth-century demographic and industrial transition, regions with higher historical road density experienced renewed population growth and greater migrant inflows. We argue that this resurgence reflects the role of road towns in supporting early urbanization and structural transformation. Using an extended Rosen-Roback-Glaeser framework, we estimate strong agglomeration spillovers, consistent with Brazil's spatial economy exhibiting multiple steady states and possible historical path dependence.

Keywords: Historical Roads, Geography, Multiple Equilibria, Path Dependence, Persistence, Population Density
JEL Codes: R12, N96, O18, O43

Baerlocher: University of South Florida, Department of Economics, 4202 E. Fowler Ave. CMC342, Tampa, FL, 33620. (email: baerlocher@usf.edu). *Lambais:* Lusíada University of Lisbon, Center for Research in Economics and Comparative Development (email: guilherme.lambais@lis.ulusiada.pt). *Reis:* Instituto de Pesquisa Econômica Aplicada. (email: e.reis@ipea.gov.br). *Silva:* Universidade Federal Rural de Pernambuco, Department of Economics. (email: diego.firmino@ufrpe.br). *Veras:* Universidade Federal de Pernambuco, Department of Economics. (email: henrique.fonseca@ufpe.br). We are grateful, for very helpful comments, to Tatyana Avilova, Bruno Barsanetti, Guillaume Blanc, Federica Braccioli, Bladimir Carrillo, Margarida Duarte, Alípio Ferreira, Erik Hornung, David Lagakos, Jeffrey Lin, Ömer Özak, Nuno Palma, Stephen Redding, Richard Rogerson, Breno Sampaio, Felipe Valencia Caicedo, participants of the 2021 Liberal Arts Development and Florida-Wate 2023 conferences, of the 43rd Brazilian Econometric Society, 28th LACEA, 2nd LAUrban, 2023 European Winter Econometric Society, 18th North American UEA and 52nd ANPEC meetings, and of the seminars at the University of South Florida, Universidade Federal de Pernambuco, Universidade Federal da Paraíba, Universidade Católica de Brasília, Mariana Talks and University of Manchester Lewis Lab. Eustáquio Reis thanks funding from FAPERJ/PRONEX Project Nemesis (Proc. E52 168.171/2006). This is the accepted manuscript version of an article accepted for publication in the *Journal of Urban Economics*. The version of record is available at https://doi.org/10.1016/j.jue.2026.103863. This work is licensed under a Creative Commons Attribution-NonCommercial-NoDerivatives 4.0 International License (CC BY-NC-ND 4.0). https://creativecommons.org/licenses/by-nc-nd/4.0/

1 Introduction

What drives the spatial distribution of economic activity and population? The literature extensively documents the role of location advantages and historical shocks in shaping economic geography. Some studies emphasize the persistence of location advantages as the main factor (*e.g.*, Davis and Weinstein, 2002), while others highlight the importance of historical events in determining where people settle (*e.g.*, Bleakley and Lin, 2012). A growing consensus suggests that "location fundamentals may be key when differences across locations are large, but other factors dominate as locations become more similar" (Hanlon and Heblich, 2022). Or, as put succinctly: "history matters only when it matters little" (Rauch, 1993).

In this paper, we study the long-run effects of historical roads on the distribution of population within Brazil. We contribute to the existing literature by revealing a dynamic pattern of spatial development that initially grows and then fades, only to resurge decades later, creating agglomeration economies consistent with path dependence driven by early urbanization and structural transformation. Our analysis centers on a pivotal event in the late seventeenth century: the sudden discovery of gold around 1694, which prompted the construction of "gold roads" connecting coastal settlements to the then unpopulated interior, which in turn facilitated the emergence of "road towns," a new type of urban settlement with a mostly non-rural mix of initial population. These routes eventually transformed into a national "mule road" network, vital for internal transportation until the introduction of railroads in the late nineteenth century.

While both types of roads eventually became obsolete with the advent of modern transportation in the twentieth century, our findings indicate that they remain associated with higher population density and economic activity today. Specifically, a 10-percentage-point increase in gold road density today is associated with an increase of approximately 25% in local population density, along with significant increases in nightlight intensity, urban population density, and urbanization rate. Mule roads also show a similar, though somewhat weaker, effect. These findings underscore the enduring impact of historical infrastructure on contemporary settlement patterns and economic activity.

Beyond modern outcomes, we find that the impact of the historical roads on population distribution initially faded by the early twentieth century, suggesting a return to the trend similar to the temporary effects observed in Davis and Weinstein (2002).[1] However, this influence reemerged in the mid-twentieth century, coinciding with the country's rapid urbanization, industrialization, and large-scale internal migration. Areas with higher gold road density saw faster population growth. This pattern arose not only because the remnants of these roads may have lowered migration costs but also because the original gold routes supported early urban development through road towns, which then acted as agglomeration seeds for early industrialization.[2] Mule roads also played a role in this later growth, although their influence was somewhat smaller.

To assess whether Brazil's spatial system admits multiple steady states, we estimate net agglomeration effects in an extended version of the Rosen-Roback-Glaeser framework derived by Allen and Donaldson (2020, 2022). Our estimates are consistent with an environment that admits multiple steady states, so that temporary historical shocks can alter which long-run equilibrium is selected, allowing for path dependence.[3] In our setting, this leaves open the possibility that the resurgence of historically advantageous regions could permanently reshape Brazil's long-term spatial configuration.

Gauging the effects of historical roads on economic development involves several challenges. First, acquiring relevant historical data is not a trivial task. We digitize gold roads from historical maps in Simonsen (1977), depicting routes connecting coastal settlements to gold mines discovered in Brazil's hinterlands in the last decade of the seventeenth century. In addition, for mule roads, we build a unique origin-destination network from nineteenth-century archival documents

[1] Davis and Weinstein (2002) document that Japan's population distribution returned to its pre-World War II state after the destruction of physical capital during the war.

[2] We rule out the possibility that the placement of modern transportation infrastructure explains this dynamic. Notably, railroad infrastructure was already significant by 1920, when historical roads had no effect on population density. Additionally, less than 10% of the highway network had been constructed by 1960, yet the positive relationship between historical roads and population density was already apparent. Moreover, the coefficients associated with this relationship remain robust when controlling for the Minimum Spanning Tree network originating from Brasília, an exogenous predictor of highway expansion proposed by Morten and Oliveira (2024).

[3] At the same time, our estimates do not imply divergence away from a steady state once the economy is sufficiently close to one. Within a given basin of attraction, convergence is relatively fast: the estimated partial-equilibrium persistence parameter implies that, absent a change of equilibrium, less than 6% of an initial shock would remain after two centuries.

and government reports. Integrating these sources improves the external validity and provides robust empirical strategies. Using georeferenced trails, we compute road density as the area of a 5-kilometer buffer around the road divided by the region's total area. Outcome variables for population are constructed from censuses spanning 1920–2010.[4]

Second, inferring causality between historical roads and modern development requires careful attention to nonrandom factors, such as the influence of first-nature geography, pre-existing settlements, and strategic exploration on road placement. We combine two approaches. (1) We instrument historical roads with optimal least-cost paths (LCPs), computed from predetermined terrain-based travel costs, connecting locations associated with geologically predetermined mining sites to coastal settlements. (2) Following the inconsequential-units logic (Redding and Turner, 2015), we exclude pre-gold discovery settlements, including endpoints where gold was found, so that remaining locations were not themselves targets of strategic road placement.

Our identifying assumption is that, conditional on a rich set of geographic controls and flexible spatial trends, whether an "inconsequential" location lies on the cost-minimizing corridor is independent of unobserved determinants of modern outcomes, and affects outcomes only through realized historical roads. We provide four pieces of supporting evidence: (i) estimates are stable to sequential additions of the controls, thin-plate splines, and crop-suitability measures; (ii) results are similar when restricting comparisons to road municipalities and their immediate neighbors, or with other restrictions such as removing all towns where gold was discovered during the eighteenth century; (iii) placebo LCPs between historically unconnected settlements have no predictive power for modern development; and (iv) controlling for expected exposure in road networks, as suggested by Borusyak and Hull (2023), does not change the results.

This study engages with the broader debate on whether spatial distribution is shaped predominantly by location fundamentals or path dependence. While some research highlights the enduring role of location fundamentals (*e.g.*, Davis and Weinstein, 2002, 2008; Lee and Lin, 2017), others emphasize the significance of historical events in shaping current spatial configurations (*e.g.*,

[4]The shapefiles for the historical pathways, together with the full replication package (data and code), are available at Baerlocher, Lambais, Reis, Silva and Veras (2026).

Redding, Sturm and Wolf, 2011; Bleakley and Lin, 2012, 2015; Maloney and Valencia Caicedo, 2016; Michaels and Rauch, 2017; Hanlon, 2017). Our findings speak to both views: the initial fading of road effects by the early twentieth century echoes the mean reversion documented in Davis and Weinstein (2002), while the mid-century resurgence is consistent with historical roads having long-lasting effects on population distribution through path dependence in Brazil—a country whose geography is less rugged than Japan's but more rugged and with higher transportation costs than the United States.

A rich strand of research documents how historical infrastructure and settlement patterns can exert lasting influence on modern economic geography. For instance, Jedwab and Moradi (2016) and Jedwab, Kerby and Moradi (2017) show that railroads and settler cities established during colonization in sub-Saharan Africa shaped the spatial distribution of population long after the original infrastructure waned. Similarly, Dalgaard, Kaarsen, Olsson and Selaya (2022) demonstrate that Roman roads strongly predict current road networks and economic outcomes in Europe today, a persistence that does not hold where wheeled transport was abandoned, while Paik and Shahi (2022) underscores how ancient nomadic migration routes in Asia persist in shaping current population density. On the settlement side, Bosker and Buringh (2017) and Cermeno and Enflo (2019) highlight the interplay between first-nature geography and second-nature agglomeration effects in Europe's urban evolution.

In the Brazilian context, Barsanetti (2021) finds that pre-Columbian trails continue to shape modern urbanization mediated by railroads but not paved roads, with early settlements playing a potential role, while Portugal and Barsanetti (2023) compare the divergent economic impacts of two of the first gold roads, highlighting the importance of historically driven trade intensities, and Barsanetti (2026) shows that being a railroad endpoint in the past predicts city size today. In addition, Reis (2014) documents that historical transportation costs gave rise to regional inequalities in the location of economic activity in Brazil, a finding consistent with the results in Marein (2022) for Puerto Rico.

These empirical findings resonate with broader theoretical insights from Allen and Donaldson (2022) and Allen and Donaldson (2020), who show that historical shocks can produce multiple spatial equilibria when agglomeration spillovers are sufficiently strong. Our paper advances this literature on several fronts by providing both a richer temporal analysis and a deeper investigation of both the mechanisms underlying the contemporaneous outcome and the agglomeration spillover (see, *e.g.*, Lin and Rauch, 2022).

We also move beyond standard long-run outcome comparisons by tracking population changes across multiple census decades, unveiling a dynamic pattern wherein the influence of the historical roads dissipates by the early twentieth century, only to reemerge during Brazil's rapid mid-century urbanization and industrialization. This temporal lens allows us to pinpoint the roles of early urban formation, subsequent industrialization, and internal migration in generating the observed path dependence, highlighting that our findings capture not only current outcomes but also the channels that plausibly drive them. Finally, by embedding these reduced-form results in an extended Rosen-Roback-Glaeser framework, we quantify historical and contemporaneous agglomeration spillovers and show how these forces may generate multiple equilibria and reshape the spatial system in the long run.

In doing so, our study also contributes to the literature on estimating productivity spillover effects. First, we introduce a novel instrumental variable (IV) tailored to the Brazilian context, whereas much of the existing literature uses population density directly or instruments it using lagged population (*e.g.* Barufi, Haddad and Nijkamp, 2016; Chauvin, Glaeser, Ma and Tobio, 2017; Ehrl and Monasterio, 2021; Dingel, Miscio and Davis, 2021). A notable exception is Almeida, Neto and Rocha (2023), who apply a shift-share IV approach to estimate the agglomeration coefficient, though their focus is on different outcomes. Additionally, we are able to disentangle contemporaneous spillovers from historical spillovers, as in Allen and Donaldson (2020).

2 Gold and historical pathways

In this section, we briefly explore the history of urban agglomerations in Brazil, emphasizing the significance of the gold roads in facilitating early movements toward the interior and the development of the ground transportation network in the eighteenth and nineteenth centuries. We also introduce the main historical data sources and definitions used throughout the paper.

Following their initial contact in 1500, Portuguese colonizers established settlements along the Brazilian coast. For an extended period, they avoided venturing into the hinterlands due to the challenges posed by the indigenous population, geographical barriers, and high transportation costs.[5] In the late sixteenth century, Brazil had only three towns and fourteen villages, mostly scattered along the coastline where sugar was produced.[6] São Paulo, founded in 1554, was a notable exception, as it was located inland (Azevedo, 1956). The establishment of São Paulo required arduous expeditions to penetrate the country's interior, carving paths through dense rainforests and the coastal mountain range while navigating conflicts and negotiations with the indigenous population.[7]

The main incursions into the hinterlands consisted of Jesuit missions and slave-raiding expeditions to capture the indigenous population, known as *Bandeirantes*, who primarily followed indigenous trails and relied on enslaved individuals as porters (Abreu, 1998; Kok, 2009). Despite these efforts, the missions and *bandeirante* expeditions failed to significantly alter the population's concentration along the coast (Deffontaines, 1938; Morse, 1974). During the seventeenth century,

[5] In 1627, the Franciscan friar Vicente de Salvador famously likened the Portuguese presence on the coast to crabs scratching the shores (Salvador, 2010, p. 70). Later in the 1700s, the Benedictine friar Gaspar da Madre de Deus observed that the essential reason why the Portuguese had decided to settle only on the coast was transportation costs: King John III of Portugal (1502–1557) knew that all goods produced along the coast could be easily transported to Europe, while those of the hinterland would never get to the ports and if they did the costs would be such that the farmers would not sell for the prices offered to them (Deus, 1920, p. 179). Unlike the United States, Brazil has a 1,500-kilometer mountain range that separates coastal areas from the hinterland (*Serra do Mar*), in addition to many other mountain ranges to traverse while traveling from the coast towards the interior (see, *e.g.*, Deffontaines, 1937; Momsen Jr, 1963).

[6] We use the following terms to categorize settlements: towns (*cidades*), villages (*vilas*), and other settlements (*distritos*, *freguesias*, *povoados*, and *arraiais*). Towns and villages are similar to modern municipalities. Other settlements refer to communities lacking administrative autonomy.

[7] For instance, enslaved porters carrying 30-kilogram loads needed four to five days to complete the 70-kilometer round trip between the port city of Santos and São Paulo, a route that crossed the imposing *Serra do Mar* mountain range (Reis, 2023).

37 villages were established, with a few inland, but the majority still along the coast (Azevedo, 1956).

It was only when gold mines were discovered around 1694 in the state of Minas Gerais and later in Goiás and Mato Grosso, that the economy shifted from coastal sugarcane plantations to the mining regions of the interior.[8] Several pathways were established to connect the mines with coastal settlements, facilitating the transport of agricultural provisions to the mining areas and the shipment of precious metals back to the coast (Russell-Wood, 1984). During the gold mining era, the main transportation system was the *mule train*, which proved an excellent option to trail irregular pathways.[9]

To accurately depict the spatial distribution of settlements in colonial Brazil, we rely on two primary sources. First, Azevedo (1956) provides a comprehensive list of villages and towns, along with their foundation years, from 1500 to 1822. To complement this list and expand it to include other years, we use historical data on current municipalities made available by the Brazilian Institute of Geography and Statistics (IBGE). This information, presented as brief histories of municipalities and their administrative evolution, is collected through programmatic data extraction. This additional data enables us to identify settlements that were not officially classified as villages by the Portuguese crown.[10] Details about the data extraction procedure are available in the Appendix A.

Figure 1 illustrates the spatial distribution of settlements in Brazil, along with the gold roads, both before (1694) and after (1822) the gold cycle era. The gold roads' trace was georeferenced from Simonsen (1977). For context, we also highlight major rivers and the states where gold was discovered. In addition to towns and villages, the map includes districts, parishes, and other

[8]The exact date of discovery is uncertain, but historical accounts suggest that gold was found between 1693 and 1695 in various parts of Minas Gerais (Boxer, 2003, p. 35). See Arroyo Abad and Palma (2021) for a comparative review of the discovery of gold in Brazil. The gold states are highlighted in the map below.

[9]See, for example, Schmidt (1959) and Goulart (1961) for the leading role of the mule in Brazil's historical development.

[10]For instance, relying solely on Azevedo (1956), the capital of Pernambuco, Recife, appears in our list only in 1709, when it was officially elevated to village status. However, historical records indicate that the settlement existed as early as 1561. Additionally, Azevedo (1956) omits several villages that the programmatic data extraction successfully identifies and includes.

smaller settlements. In Panel A, we identify 48 villages and towns scattered along the Brazilian coast before 1694, as noted earlier, along with 15 other settlements also located on the coast. Notable exceptions include settlements in the north, along the Amazon River, and Jacobina in the interior of Bahia, which was founded in 1677 as part of expeditions searching for gold.

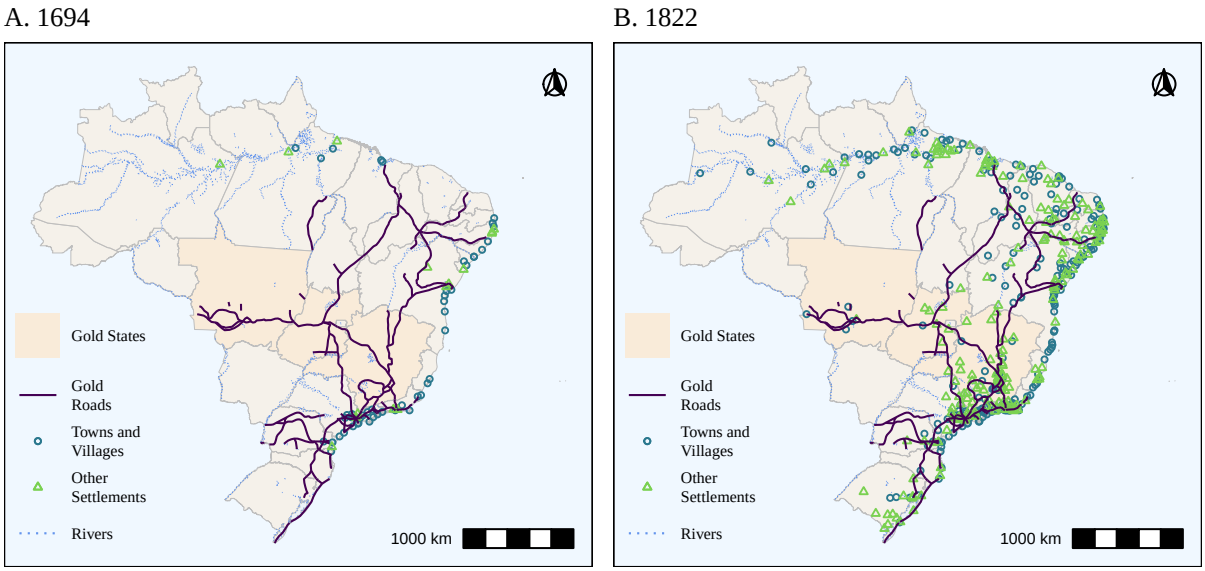

Figure 1: **Gold roads and population settlements.** *Notes:* Spatial distribution of settlements in Brazil before (1694) and after (1822) the gold cycle era. The gold states are Minas Gerais, Goiás, and Mato Grosso. Gold roads were georeferenced from maps in Simonsen (1977). Settlements and their classification are from Azevedo (1956), and the history of municipalities from IBGE.

Figure 1B shows the spatial distribution of agglomerations in 1822, the year of Brazil's independence, providing a snapshot of the landscape left by Portuguese colonization. This date also enables a meaningful comparison with 1694, as the administrative structure remained under the same political regime. By 1822, gold mines were largely depleted, and gold had lost much of its economic significance compared to a century earlier. Our data identifies 217 villages and towns, along with 200 smaller settlements. The eastern coast is densely populated with settlements, while those in the interior are concentrated along the gold roads, the Amazon River, and the far southern regions.

The gold cycle in Brazil lasted for roughly fifty years, from 1700 to 1750 (Russell-Wood, 1984). From 1730 to 1875, mule trains dominated long-distance inland transport, and over time

the gold roads evolved into a nationwide mule-road network, especially after the 1830s when pathways expanded rapidly (Morais, 2010). Throughout the main text, we focus on the effects of gold roads on the spatial distribution of population, while extensions and robustness checks, mostly reported in the appendix, examine the broader mule road network to assess the external validity of our results.

Our main variable of interest throughout the paper is gold road density, defined as the area within a 5-kilometer buffer around the gold roads within a region relative to the region's total area. Gold road density can be directly calculated for gold roads using the maps from Simonsen (1977) as depicted in Figure 1. Additionally, we use the density of LCP traces as an IV for gold road density. The LCPs are calculated using detailed terrain-topology data to estimate the travel time required to traverse the landscape on foot, based on slope, following the methodology of Barjamovic, Chaney, Coşar and Hortaçsu (2019). The underlying assumption is that, while animals such as horses and mules accompanied travelers, they did not impose significant constraints on travel time. Nor were they likely to increase speed, as historical accounts indicate that wheeled transportation was infeasible due to poor road quality and that many participants in the *mule trains* traveled on foot rather than riding because the mules were used mainly to carry goods.

In Figure 2A, we display the LCPs for gold roads—together with their original traces—which we use to construct an IV for gold-road density. Figure 2B shows the gold road density in Brazilian municipalities in 2010. Details regarding data sources and methodological procedures are provided in Appendix A.

This section detailed the development of early transport infrastructure in previously unpopulated areas, spurred by the discovery of gold, and its subsequent evolution into a broader network of ground transportation known as mule roads. These historical pathways remained the primary means of facilitating movement in the Brazilian hinterland until the late nineteenth century, when railroads were introduced. In the next section, we examine the relationship between these pathways and the current population distribution.

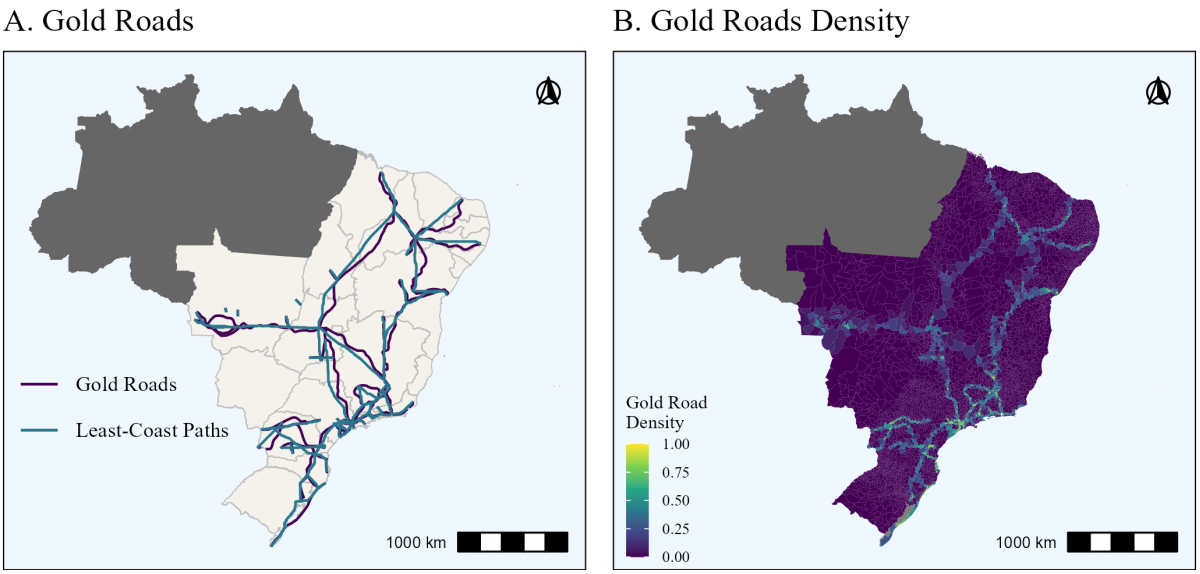

Figure 2: **Gold roads** *Notes:* Panel A shows the traces of gold roads and their equivalent LCPs, while Panel B displays the gold road density defined as the area within a 5-kilometer buffer around the roads within a municipality relative to the municipality's total area. The LCPs minimize travel time by accounting for terrain topology, following the approach of Barjamovic et al. (2019). The gray-shaded areas, which are excluded from the analysis, represent Amazon rainforest states that mostly rely on river navigation: Amazonas, Acre, Rondônia, Roraima, Amapá, and Pará.

3 Historical pathways and the current population distribution

Having established the significance of historical roads, particularly the gold roads, in shaping the spatial distribution of settlements during the colonial era, we now examine whether these roads continue to influence population distribution today, despite having been rendered obsolete by the advent of modern transportation technologies.

Identification strategy. We model the relationship between historical roads and current agglomeration using the following linear regression equation:

$$y_i = \alpha_s + \beta \text{Road Density}_i + \mathbf{X}_i' \boldsymbol{\gamma} + \epsilon_i, \tag{1}$$

where y_i represents a measure of agglomeration in municipality i in 2010. Specifically, y_i denotes the log-transformed values of population density, nightlight incidence, and urban population den-

sity, or the urbanization rate. Population density is defined as population over area, while urban population density is urban population over area. Urbanization rate is urban population over total population. Nightlight incidence is the median value of nightlights captured from satellites. The variable Road Density_i captures the influence of historical roads measured as the area within a 5-kilometer buffer around the roads within a municipality relative to the municipality's total area. The term $\mathbf{X}_i$ indicates a set of geographical covariates, α_s denotes state fixed effects, and ϵ_i is the error term.

Our main concern is that, in a full-sample ordinary least squares (OLS) regression, the historical road density coefficient is biased by omitted variables related to first-nature advantages and to endogenous road placement and the related influence of settlements that existed before gold discovery. To address this, we combine an instrumental variables approach using optimal least-cost paths with a variant of the inconsequential units approach.

The optimal LCP IV strategy, similar to Barjamovic et al. (2019), leverages predetermined variation in topography to create an instrument independent of the existing economy, conditional on geography. The idea is that historical road builders should minimize costs based solely on topography, conditional on locational advantages that can be captured by observed geographic variables. Any actual deviations from these optimal paths are endogenously related to the existing economy at the time the roads were created. The identifying assumption is that LCPs based on topography are as good as random, conditional on observed geographic characteristics. That is, among locations with similar geography, which particular locations happen to lie on the cost-minimizing route is determined by the geometry of connecting distant nodes rather than by local economic potential.

As expected, and shown in Figure 1, proximity to rivers and the coast tends to attract settlements. Therefore, we control for the distance to rivers and the coast in our estimates. Additionally, we include median temperature, precipitation, terrain ruggedness, and elevation, as these factors affect local amenities and agricultural productivity. The area is also included as a control to account for the potential endogenous division of municipalities due to agglomeration effects. Finally,

a second-order latitude-longitude polynomial is included to flexibly account for spatial trends in the location of municipalities. A placebo test that creates optimal LCPs between municipalities not connected by historical roads strengthens our confidence that, conditional on observed geography, the instrument is not capturing advantages arising from first-nature geography.

In addition, a distinctive feature of our setting is that the destinations of gold roads—the mining sites—were determined by prehistoric geology rather than by economic geography. Unlike infrastructure built to connect existing cities, where endpoint selection is endogenous, gold roads were built to reach mineral deposits whose locations were fixed by geological processes predating human settlement. In addition, Palma (2022) argues that the discovery of gold (i.e. timing and location of gold mines) in Brazil can be seen as an exogenous shock, that is, neither the Crown nor the overall population was expecting gold to be found where and when it was found. This strengthens the case for treating the network's overall structure as exogenous, not merely the specific routing between nodes.

We further restrict our sample to exclude endpoints where pre-established population settlements existed, as well as other pre-existing hinterland cities and villages built in the sixteenth and seventeenth centuries, including where gold was first found, that can drive endogenous strategic road placement. In our historical setting, this is less of a problem because, excluding the coast and the few interior settlements highlighted in Section 2, most of the country was not yet populated. Excluding the pre-existing settlements and endpoints, the remaining areas in the sample are inconsequential for route choice; they were chosen only because they lie on a convenient path (Redding and Turner, 2015).[11] Our regressions, therefore, compare inconsequential locations that were incidentally traversed by the historical roads against those that were not.

An additional concern we can address with our IV strategy is the presence of measurement error in our historical roads variable, given that we construct it using historical maps and documents. Historical documents can contain imprecision because of the technology of the time and errors by the authors. Furthermore, digitizing historical printed maps can also introduce distortions. In

[11] Along these lines, Barsanetti (2026) emphasizes the enduring role of railroad endpoints in determining city size and "agglomeration shadows" in Brazil.

contrast, to build our IV, we use high-resolution data from satellites with a least-cost algorithm that yields paths with high accuracy, thereby mitigating potential bias toward zero in the road density coefficient.

The resulting two-stage least squares (2SLS) coefficient is thus the local average treatment effect (LATE) of increasing historical-road exposure for "inconsequential" municipalities that had their realized road density shifted by the terrain-predicted least-cost corridor.

Final dataset. Our final gold road sample excludes, in addition to pre-existing and endpoint municipalities, the municipalities in the northern states, which are mostly covered by the Amazon rainforest and where transportation is primarily by rivers (Amazonas, Acre, Rondônia, Roraima, Amapá, and Pará). The main sample consists of 5,197 municipalities, with population densities ranging from 0.23 to 12,512 individuals per square kilometer and gold road density ranging from 0 to 1. This distribution is highly skewed, with more than 75% of the sample having zero gold road density. On average, municipalities exhibit a gold road density of 5%. Further details on the construction of the variables are provided in Appendix A and descriptive statistics are provided in Table A.1 in Section A.2. When restricting the sample to municipalities traversed by gold roads and their direct neighbors, the sample size reduces to 2,088 observations. The average population density increases, indicating that we are sampling more developed areas, and the distribution of gold road density becomes less skewed, with an average of 13%.

Main results. The main results are presented in Table 1. All estimates include state fixed effects, with standard errors clustered at the 1872 Minimum Comparable Areas (MCAs) level, where MCAs are aggregations of municipalities constructed by IBGE to ensure spatial consistency across census years. In Columns (4) to (6), the LCPs of gold roads is used as an instrumental variable in a 2SLS estimation. Except for Columns (1) and (4), the others control for geography, while Columns (3) and (6) restrict the sample to municipalities crossed by gold roads and their immediate neighbors. Overall, the results indicate a positive relationship between access to gold roads and population concentration, as measured by population density (Panel A), nightlights (Panel B),

urban population density (Panel C), and urbanization rate (Panel D). Although the effect slightly diminishes with the inclusion of geographic controls, it remains both statistically and economically significant. This reduction likely reflects potential positive bias from location fundamentals. According to the specification in Column (6), a 10-percentage-point increase in road density is associated with a 24.9% increase in population density, a 15.4% rise in nightlight intensity, a 28.9% increase in urban population density, and a 1.85 percentage-point increase in urbanization rate.

As our model is exactly identified, the Kleibergen-Paap F statistic is equivalent to the effective first-stage F statistic proposed by Montiel-Olea and Pflueger (2013). In Table 1, we see that our F statistic substantially exceeds the critical value (37.42) corresponding to a 5% 2SLS bias (Montiel-Olea and Pflueger, 2013). Therefore, we can confidently apply the conventional 2SLS method with no concerns about weak instrument issues, as discussed by Andrews, Stock and Sun (2019).

Moreover, the bias introduced by the OLS estimation is substantial, leading to an underestimation of the effect of historical roads. The larger 2SLS estimates relative to the OLS estimates may suggest the presence of measurement error in the historical map used to construct the gold roads, which would explain the downward bias in the OLS results. Since our instrument accounts for key topographical features, measurement error in the digitized gold roads likely causes naive OLS estimates to underestimate the true impact of the roads.

A natural concern in our setting is that historical gold roads may have generated spillovers or general equilibrium effects on nearby municipalities. If neighboring locations benefited indirectly from similar historical forces—through localized migration, trade linkages, or shared market access—our estimated coefficients could be attenuated, reflecting a partial-treatment contrast rather than the full effect of the historical road network. In principle, such spillovers could blur the distinction between treated and control areas and lead to conservative estimates of the long-run influence of gold roads.

Although spillovers and general equilibrium effects could, in principle, attenuate our estimates by partially treating nearby control units, the neighbors-only specifications in Table 1 Columns (3) and (6) show that this concern is limited. When the comparison is restricted to municipalities

Table 1: Gold roads and current agglomerations

	OLS			2SLS		
	(1)	(2)	(3)	(4)	(5)	(6)
Dependent Variable: Population Density						
Gold Road Density	1.65***	1.01***	0.839***	3.30***	2.31***	2.22***
	(0.369)	(0.237)	(0.202)	(0.626)	(0.494)	(0.576)
Observations	5,197	5,197	2,088	5,197	5,197	2,088
Dependent Variable: Nightlights						
Gold Road Density	1.17***	0.567***	0.507***	2.43***	1.47***	1.43***
	(0.222)	(0.132)	(0.119)	(0.408)	(0.293)	(0.380)
Observations	5,197	5,197	2,088	5,197	5,197	2,088
Dependent Variable: Urban Pop. Density						
Gold Road Density	1.90***	1.18***	0.994***	3.78***	2.67***	2.54***
	(0.379)	(0.248)	(0.216)	(0.667)	(0.537)	(0.642)
Observations	5,196	5,196	2,087	5,196	5,196	2,087
Dependent Variable: Urbanization Rate						
Gold Road Density	0.154***	0.101***	0.092***	0.293***	0.216***	0.185***
	(0.029)	(0.021)	(0.019)	(0.062)	(0.046)	(0.058)
Observations	5,196	5,196	2,087	5,196	5,196	2,087
Cluster Groups:	404	404	260	404	404	260
Kleibergen-Paap F				133.88	130.74	94.796
Fixed Effects:	State	State	State	State	State	State
Geography Controls:		✓	✓		✓	✓
Only Neighbors:			✓			✓

Notes: Standard errors, clustered at the level of 1872 MCAs, are shown in parentheses. The sample includes municipalities as defined in 2010, excluding those in states heavily influenced by the Amazon River basin and municipalities with settlements that existed prior to 1694. *Population Density*, *Nightlights*, *Urban Population Density* are the log-transformed values of population over area, median nightlight incidence, and urban population over area, respectively. *Urbanization Rate* is the ratio of urban population to total population. *Gold Road Density* is defined as the area within a 5-kilometer buffer around gold roads within a municipality, relative to the municipality's total area. The 2SLS specification uses LCP density as an IV for gold road density. *Geography Controls* include the log-transformed median values of precipitation, temperature, elevation, terrain ruggedness, area, distance to rivers, and distance to the coast, along with a second-order latitude-longitude polynomial. *Only Neighbors* restricts the sample to municipalities intersected by gold roads and their first-order neighbors. $^{*}p < 0.1, ^{**}p < 0.05, ^{***}p < 0.01$

crossed by gold roads and their immediate neighbors, the coefficients remain large and precisely estimated. If spillovers or general equilibrium adjustments were substantial, this restricted sample would collapse the treated-control contrast and yield markedly smaller effects. The stability of the estimates therefore indicates that any such forces are too small to drive our results.[12]

Robustness. In Appendix B, we demonstrate the robustness of our results through various extensions and alternative specifications. Specifically, we show that the results remain unchanged when we restrict the sample to exclude municipalities in which the seat is located within 100 kilometers of the coast. This case addresses concerns that the dynamics of coastal cities, which were the main population settlements before 1694, may drive our results. In this scenario, estimates are smaller but still statistically and economically significant. In addition, excluding also all municipalities that had gold discoveries in the eighteenth century leaves the results unchanged, indicating that our results are not about gold in itself. We also demonstrate that our results are robust to the use of the inverse hyperbolic sine transformation on our variable of interest. This transformation alleviates concerns related to the right-skewness of gold road density, which may include zero-valued observations.

Moreover, the effect remains positive and significant when our explanatory variable indicates whether road density is positive. Again, this mitigates concerns about the choice of measures for gold roads.[13] The results are similar but somewhat weaker within 1872 MCAs. We acknowledge there can be a potential presence of spatial correlation among the units, thus we cluster errors at the level of 1872 MCA. As an alternative approach, we also calculate spatially robust standard errors (Conley, 1999). Importantly, Conley standard errors are similar to the ones clustered at the level

[12] Additionally, when we turn to spatially aggregated units in Section 4 using MCAs, which group multiple municipalities and therefore absorb small-scale spatial interactions, the magnitude and persistence of the estimated effects remain stable, reinforcing that spillovers cannot account for our findings. In the historical panel specifications (Appendix Table C.1), the neighbors-only coefficients are even larger than those obtained in the full sample, indicating that proximity amplifies rather than attenuates the historical signal. Taken together, these patterns provide strong evidence that neither spillovers nor general equilibrium adjustments across municipal borders drive our results.

[13] One point of concern may be that a large gold road density reflects more rugged terrain, leading to spurious interpretations. Although we control for terrain ruggedness, it is essential to show that the effects remain positive when using this alternative measure of gold road influence.

of 1872 MCAs, suggesting that clustered standard errors at this level already account for spatial correlation.

A remaining concern is that our estimates may reflect broad spatial patterns rather than local variation associated with historical transportation routes. Throughout the analysis, standard errors are clustered at the level of 1872 MCAs to allow for spatial correlation in the error term, and a robustness check using Conley standard errors yields virtually identical inference. Although all specifications already include a second-order polynomial in latitude and longitude to capture geographic gradients, we further assess robustness to more flexible forms of spatial dependence. Following Kelly, Mokyr and Ó Gráda (2023), we estimate models that include a thin plate spline in latitude and longitude, allowing for smoothly varying spatial effects across the territory. The results are in Table B.2. At the municipality level—where spatial interactions and pendular movements across boundaries are likely stronger—the spline absorbs part of the variation, and the estimated coefficient on gold-road density decreases but remains large and statistically significant. In contrast, at the MCA level, where aggregation mitigates local spatial dependence, the coefficient is highly stable across all specifications. These results indicate that our findings are not driven by broad spatial trends or local spillovers in population density.

To assess whether the estimated relationship between historical gold road density and modern population density is driven by omitted variables or by the inclusion of specific controls, we examine how the coefficient changes as different sets of covariates are added sequentially in Table B.3. In both OLS and 2SLS specifications, the coefficient is remarkably stable. In 2SLS, the coefficient declines from 3.4 to 2.3 when area is added and remains around 2.2 once the full set of baseline controls is included. The Kleibergen-Paap F-statistics exceed 90 in all cases, indicating a strong first stage. Finally, adding crop-suitability variables (coffee, sugar, and wheat) as an additional robustness exercise leaves the results virtually unchanged. Overall, these results show that the positive long-run association between gold road density and modern population density is not driven by omitted geographic or climatic characteristics, and the magnitude of the effect is stable across a wide range of specifications.

Mule road extension, nonrandom exposure, and placebo test. We next extend our analysis beyond the gold roads to examine whether the long-run effects of historical transport infrastructure generalize to other networks. Specifically, we study the mule roads, which connected municipality seats across Brazil in the nineteenth century. This exercise broadens the geographical scope of our analysis and provides a valuable external validity test. The results, presented in Appendix G, confirm that areas historically traversed by mule roads also exhibit higher population density, nightlight intensity, and urban population density today. Although the estimated coefficients are smaller than those obtained for gold roads—consistent with the different historical roles of these networks—the positive association remains highly significant, suggesting that the enduring influence of historical infrastructure extends well beyond the context of the gold cycle.

The mule road analysis also helps address a potential concern that our earlier results may be confounded by geographic centrality. Because mule roads were constructed to integrate the national territory after independence, central locations may have been more likely to be traversed and may also enjoy higher market access today. To account for this potential source of nonrandom exposure, we follow Borusyak and Hull (2023) and include a measure of expected mule road density—constructed by simulating 1,000 random realizations of the road network—as a proxy for centrality. The inclusion of this variable has little impact on the estimated coefficients, indicating that our results are not driven by central locations being more likely to host roads.

Finally, we implement a placebo test creating LCPs between historical settlements that were never actually connected. If our findings were driven solely by locational advantages correlated with optimal LCPs, these placebo connections would also be associated with higher modern population density. Instead, we find that the coefficients for placebo road density are small and become statistically insignificant once geography controls are included. This result underscores that the effects we document arise from the actual historical presence of roads, rather than from favorable geography alone. Taken together, these findings reinforce the external validity of our main results and provide strong evidence that historical infrastructure played a causal role in shaping Brazil's long-run spatial development.

4 Historical pathways and the dynamics of agglomeration

In this section, we examine the evolving impact of historical roads on population density over time. Specifically, we seek to determine whether these effects are strengthening or diminishing. A declining effect would suggest a historical shock operating within a highly persistent autoregressive spatial system, gradually fading over time. Conversely, a persistent or increasing effect would suggest the presence of multiple steady states, in which the historical shock may have initiated a transition toward a new equilibrium.

To maintain consistent boundaries over time, the units of observation in this analysis are the 1920 MCAs.[14] While this choice reduces the number of observations (there are 953 MCAs) and increases the geographical scale of analysis, it allows for a more consistent comparison across years. Reassuringly, the 2010 estimates based on the 1920 MCAs align closely with those in Table 1.[15]

For the census years from 1920 to 2010, our main variable of interest is population density. To extend the analysis further back in time, we utilize data on the existence of population settlements from 1570 to 1920, using the number of settlements as a proxy for agglomerations. Figure C.1 in Appendix C shows a strong positive correlation between population density and settlement density in 1920, which validates this analysis. For each year, at 50-year intervals, we calculate settlement density as the ratio of the number of settlements to the area for each 1920 MCA. Given the prevalence of zeros, particularly in earlier years, we apply an inverse hyperbolic sine transformation to this variable. In Panel E of Table C.3, we show that the results are qualitatively robust when we use a Poisson Pseudo-Maximum Likelihood regression to deal with zeros.

Figure 3A shows the U-shaped relationship between gold road density and population density, recalling that before 1920 it is measured by settlement density. This distinction is emphasized

[14] In the Appendix Figure A.1, we plot a comparison of the units at the municipal and 1920 MCA levels.

[15] The 1920 MCAs are used because 1920 is the earliest year with reliable population data and a sufficient number of observations. Although earlier, the 1872 Census reduces the sample to 454 MCAs, significantly lowering statistical power. Results using 1872 MCAs are in Table C.2 in Appendix C. The 1890 and 1900 censuses are avoided due to known reliability issues (Oliveira and Simões, 2005).

in Panels B and C, where 95% spatially corrected confidence intervals are also added.[16] Coefficients are estimated using a 2SLS specification where LCP density is the instrumental variable for gold road density. The full sample includes 1920 MCAs, excluding the usual states heavily influenced by the Amazon River basin and MCAs with settlements predating 1694, resulting in 856 observations.[17] The "Only Neighbors" sample focuses on MCAs traversed by gold roads and their immediate neighbors, totaling 604 observations. All estimates account for state fixed effects and geography.

Gold roads exhibit positive effects on settlement density for over a century and a half. The peak of the gold cycle occurred during the first half of the eighteenth century, and the prominent role of gold roads persisted until the end of the colonial period in 1822. These findings align with the spatial distribution of settlements shown in Figure 1B. Following independence, the focus on national integration spurred an increase in the number of settlements, independent of gold roads, such that by 1870, these roads were no longer associated with a higher density of settlements.[18] This trend continued into 1920.[19]

Data on population density agrees with the lack of effect of gold roads on population distribution in the first years of the twentieth century. In 1920, the effect is minimal, with a coefficient of less than 0.3 and statistically insignificant. However, the influence of gold roads on population density becomes increasingly pronounced over the course of the century. By 1940, the point estimate rises but remains below 0.5 and does not achieve statistical significance, even at the 10% level. The effect becomes statistically significant for the first time in 1950, with the coefficient peaking at approximately 1.5 in 1990, followed by only a slight increase in subsequent decades. Between 1940 and 2010, the effect of gold roads on population density grows by a factor of three. Estimation details are provided in Table C.1. Similar estimates for mule roads are also presented in

[16] Given the limited number of observations per cluster when clustering errors at the level of 1872 MCAs, we present spatially corrected confidence intervals following Conley (1999), using a cutoff of 190 kilometers.

[17] A full set of descriptive statistics is available in Panel C of Table A.1.

[18] According to our data, the number of settlements rose from 102 in 1720 to 407 in 1820, and then to 1,055 in 1870.

[19] In Table C.3 we also report estimates for the years prior to the gold discoveries: 1570, 1620, and 1670. The results generally suggest that the influence of gold roads gradually increased over this period. However, these coefficients are not directly comparable to those for later years because we cannot exclude pre-gold-era settlements. As a result, part of the estimated effect may simply reflect that gold roads were connected to established settlements along the coast.

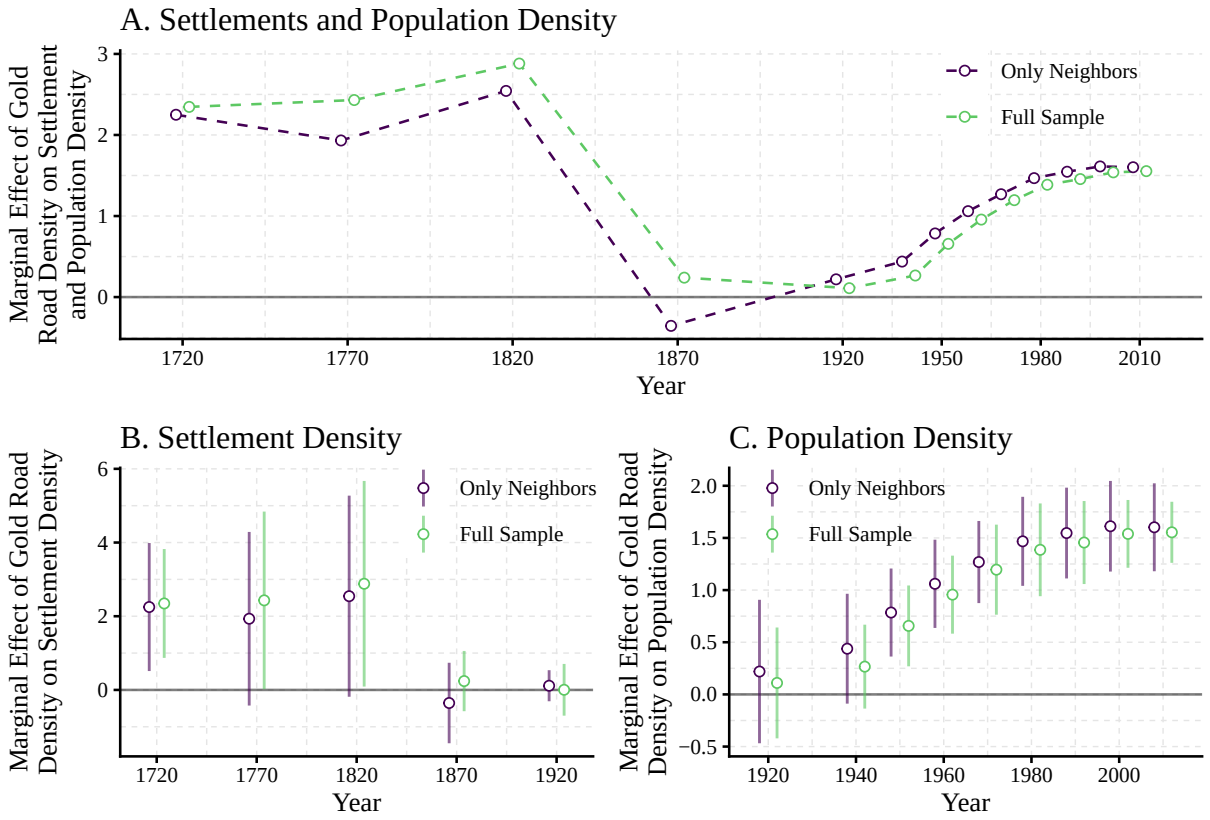

Figure 3: **Gold roads and settlement and population density over time.** *Notes:* The marginal effects of gold roads on settlement and population density are analyzed across different years using two samples and a 2SLS specification where LCP density is the IV for gold road density. The *Full Sample* consists of 1920 MCAs, excluding those in states heavily influenced by the Amazon River basin and MCAs with settlements predating 1694, resulting in 856 observations. The *Only Neighbors* sample includes only MCAs traversed by gold roads and their immediate neighbors, amounting to 604 observations. All estimates incorporate state fixed effects and geography controls. In all cases, the Kleibergen-Paap F is above 75. Point estimates are represented by circles, with 95% spatially corrected confidence intervals (Conley, 1999) shown as lines. Exact values are detailed in Table C.1.

Table G.3. While the pattern of increasing influence is evident for mule roads—particularly after 1960—the coefficients are statistically significant only starting in 1970. This aligns with earlier findings, which highlight the secondary importance of mule roads compared to gold roads.

The recent revival of the importance of gold roads is somewhat unexpected. The first half of the twentieth century was dominated by railroad transportation, although mule roads still played a role in connecting cities. As noted in Simonsen (1977), mules continued to be vital for intercity connections in Brazil even as late as 1937. However, their freight rates were significantly higher—ranging from three to eight times those of railroads—during the period between 1860 and 1915, as documented by Reis (2023). The second half of the century, however, saw the rapid expansion of highway networks, which diminished the importance of mule trains, a point we will explore in greater detail below. Given these historical developments, one might have expected the influence of historical roads to decline over the century.

Overall, the trend depicted in Figure 3 reflects a spatial system where the effects of historical shocks gradually dissipate until 1870. Specifically, early agglomerations formed along the gold roads did not generate additional advantages, such as more capital or stronger institutions, that could spur further population growth. By 1870, settlement density in these areas had not become significantly higher or lower than in other regions. This trend continued into the first half of the next century. However, the effect of gold roads on population density reverses in the latter half of the twentieth century, showing a positive and growing impact.

The limited impact of gold roads on sustained population growth can partly be attributed to the transitory nature of the gold cycle and the poor quality of the roads themselves. Population movements to the hinterlands were not driven by reduced transportation costs induced by these roads but rather by the high value-to-weight ratio of gold and precious minerals. This characteristic rendered transportation costs negligible for commodity outflows but not for the inflow of goods needed by local populations. For instance, prohibitive transportation costs often triggered speculative crises in the supply of foodstuffs: The prices of foodstuffs in Ouro Preto, one of the main mining centers, were 10 to 30 times higher than in São Paulo at the beginning of the eighteenth century (Reis,

2023). With the depletion of gold towards the end of the eighteenth century, the issue of high transportation costs became more acute. Consequently, Brazil evolved into what is often described as an archipelago of self-sufficient islands lacking integration (Deutsch, 1996).

A limitation of this analysis is the absence of data on population, although it is plausible that, prior to industrialization, the number of settlements serves as a reasonable proxy for population. To address this issue, we assign different weights to various types of settlements. In Panels C and D of Table C.3, we demonstrate that the results remain consistent when assigning towns and villages weights ten times larger than those of other settlements.[20]

In the following sections, we delve deeper into the puzzling "revival" of the advantages associated with gold roads in the mid-twentieth century. Notably, we rule out the possibility of direct benefits from these roads, as any such advantages diminished in the nineteenth century, and there is no plausible reason to believe that individuals simply started reusing these roads a century later without any associated major change in the environment. Instead, we propose that the structural changes associated with the emergence of a modern economy before 1950 triggered the resurgence of latent advantages tied to the gold roads and their settlements. Additionally, we investigate whether this new economic shock led to strong or weak agglomeration spillovers, shedding light on the equilibrium properties of this spatial system.

5 Connections with modern transportation

One possible interpretation of the patterns observed earlier is the connection between gold roads and the development of modern transportation networks. In other words, while gold roads may no longer provide direct benefits to nearby areas in recent times, they might have influenced the spatial distribution of modern transportation infrastructure. In this section, we explore this hypothesis by analyzing the timing of the observed effects alongside the emergence and expansion of mod-

[20]However, the size of towns and villages likely varied significantly within this category. Azevedo (1956) notes that *Rio de Janeiro* and *Salvador* had populations of around 100,000 by the end of the colonial period. Medium-sized settlements, with populations ranging from 10,000 to 30,000, included cities like *Cuiabá*, *São Paulo*, and *Recife*. Smaller centers, with populations between 5,000 and 10,000, were common in the gold-producing regions, such as *Mariana* and *Diamantina*.

ern transportation technologies, as illustrated in Figure 4. Subsequently, we assess whether the observed results persist after accounting for the presence of modern transportation infrastructure.

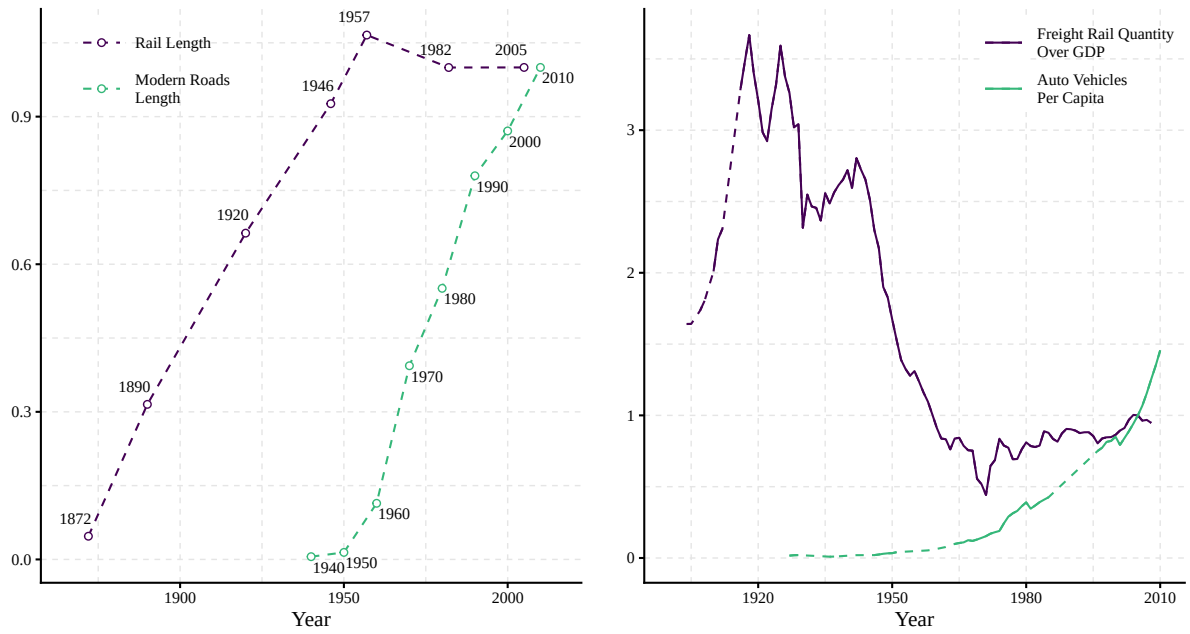

Figure 4: **Evolution of modern transportation.** *Notes:* Panel A illustrates the length of railroads and modern highways as a proportion of their respective lengths in the final year of the sample. Panel B displays the ratio of the quantity of goods (in tons) transported by railroad to real GDP, as well as the number of automotive vehicles per capita, both normalized to their 2005 values. Dashed lines represent linear interpolations between data points.

In Figure 4A, the evolution of railroad length aligns with historical accounts indicating that, during the latter half of the nineteenth century and the early twentieth century, the Brazilian central government actively promoted a railroad network to foster national integration. By 1920, over 60% of the total railroad network was already constructed, with this figure exceeding 90% by 1946. Additionally, Panel B shows that the significance of railroads for transporting goods was substantially higher in the early decades of the twentieth century than in later periods. Consequently, if gold roads influenced population density through the placement of railroads, we would expect to observe strong effects early in the century that diminish over time. However, the observed pattern contradicts this expectation, as the effects intensify later in the century.

The evolution of highways aligns more closely with our observations. In 1940, only a limited number of highway kilometers connected key cities, such as São Paulo and Rio de Janeiro, accounting for approximately 0.5% of the total highway network today. By 1950, this share had risen modestly to 1.4%. In 1951, the central government began prioritizing motorized vehicle roads as the primary strategy for national integration. However, substantial expansion occurred only during the second half of the 1960s and throughout the 1970s. According to our data, by 1960, only about 10% of the highway system had been constructed, but this share increased to 60% by 1980. Furthermore, Panel B highlights a significant inflection point in the late 1970s, marked by a sharp increase in the number of automobiles per capita.

Nonetheless, the expansion of paved roads and highways shows minimal overlap with the historical gold and mule roads, except in areas where these routes clearly represented the optimal path for any mode of transportation. Overall, these historical pathways were not well-suited for modern transportation needs. Even the "Royal Road," the most famous historical route connecting the mining regions of Minas Gerais to the court in Rio de Janeiro, demonstrates limited integration into modern infrastructure. Currently, only 20% of the Royal Road is paved, while 74% remains dirt roads, and 6% consists of trails.[21]

To further illustrate the limited overlap between historical and modern networks, we provide in the Appendix Figure D.1 a series of maps that overlay the gold-road system with the evolution of Brazil's modern highway network from 1960 to 2010. The maps in Figure D.1 show that the major twentieth-century highways follow routes optimized for national integration rather than retracing the historical alignments, and only isolated stretches coincide with the gold cycle paths. This visual evidence reinforces the conclusion that modern infrastructure does not mechanically replicate the historical network, reducing concerns that our estimates are driven by contemporary road placement rather than long-run persistence. Although informative, this descriptive comparison has limitations such that we complement the maps with an estimation strategy that controls for modern infrastructure in a way that avoids bad-control problems, as described below.

[21] We consider a total of 1,780 kilometers of the *Novo*, *Velho*, *Diamantes*, and *Sabarabuçu* paths. See https://institutoestradareal.com.br/en/ for detailed maps and photographs.

To evaluate whether the effect of gold roads on population density is influenced by the presence of modern highways, we would include modern highway density as a control variable in our regressions. A key concern with this approach is that the placement of modern highways may be indirectly influenced by historical pathways through their impact on population density, potentially making highway density a "bad control." To mitigate this concern, we instead control for the distance to the Minimum Spanning Tree (MST) network emanating from Brasília—Brazil's capital since 1960 (Bird and Straub, 2020; Morten and Oliveira, 2024). As noted by Morten and Oliveira (2024), the Brazilian highway network was designed with the primary goal of national integration, with Brasília serving as its central hub. The radial highways originating from Brasília and connecting to key state capitals played a critical role in reducing travel times across the country.

To address the issue of endogenous highway placement, Morten and Oliveira (2024) divided Brazil into eight pie-shaped regions and constructed a predicted road network using LCPs that connect Brasília to the state capitals within these regions. This predicted network is referred to as the MST network. By using travel time along the MST network as an instrument for travel time along the actual highway network, Morten and Oliveira (2024) provide a framework to isolate the exogenous components of highway placement. Building on this MST-based approach, our analysis incorporates controls derived from this network to address potential biases and produce more robust estimates of the effect of gold roads on population density.

The results are presented in Table 2. These regressions replicate Columns (2) through (9) of Panels A and B in Table C.1, with the addition of the log-transformed distance to the MST network as a control.[22] As expected, MCAs located farther from the MST network exhibit lower population densities, with this negative correlation becoming stronger over time. Crucially, including this control has minimal impact on the coefficients associated with the gold roads. If anything, the magnitude of these coefficients slightly increases, reinforcing the robustness of the observed effects of gold roads on population density shown in Figure 3, even after accounting for the MST network.

[22] We use the log-transformed distance to the MST network following Barsanetti (2024), who leverage the MST network to account for highway expansion. When we instead use the MST network density, the results remain consistent.

Table 2: Gold roads, modern roads and agglomerations over time

	Years							
	1940 (1)	1950 (2)	1960 (3)	1970 (4)	1980 (5)	1990 (6)	2000 (7)	2010 (8)
Panel A - Full Sample - Dependent Variable: Population Density								
Gold Road Density	0.290	0.681***	0.982***	1.23***	1.43***	1.51***	1.59***	1.61***
	(0.248)	(0.253)	(0.271)	(0.291)	(0.316)	(0.337)	(0.339)	(0.346)
Dist. to MST	-0.066**	-0.067**	-0.072**	-0.088**	-0.117***	-0.141***	-0.155***	-0.162***
	(0.032)	(0.031)	(0.034)	(0.035)	(0.038)	(0.040)	(0.042)	(0.043)
Observations	856	856	856	856	856	856	856	856
Kleibergen-Paap F	81.431	81.431	81.431	81.431	81.431	81.431	81.431	81.431
Panel B - Only Neighbors - Dependent Variable: Population Density								
Gold Road Density	0.478*	0.825***	1.10***	1.32***	1.53***	1.62***	1.69***	1.69***
	(0.276)	(0.268)	(0.276)	(0.279)	(0.314)	(0.355)	(0.369)	(0.386)
Dist. to MST	-0.088**	-0.089***	-0.094**	-0.109***	-0.141***	-0.164***	-0.180***	-0.186***
	(0.034)	(0.034)	(0.039)	(0.041)	(0.045)	(0.048)	(0.052)	(0.055)
Observations	604	604	604	604	604	604	604	604
Kleibergen-Paap F	68.067	68.067	68.067	68.067	68.067	68.067	68.067	68.067

Notes: Spatially corrected standard errors are shown in parentheses. All columns report 2SLS estimates, using LCP density as an IV for gold road density. Each specification includes state fixed effects and geography controls, including the log-transformed median values of precipitation, temperature, elevation, terrain ruggedness, area, distance to rivers, and distance to the coast, as well as a second-order latitude-longitude polynomial. The *Full Sample* consists of 1920 MCAs, excluding those in states predominantly influenced by the Amazon River basin and MCAs with settlements predating 1694. The *Only Neighbors* sample includes only MCAs traversed by historical roads and their immediate neighbors. *Population Density* is calculated as the log-transformed population per unit area. *Gold Road Density* is defined as the proportion of an MCA's area within a 5-kilometer buffer surrounding gold roads. *Dist. to MST* is the log-transformed distance from the MCA's centroid to the Minimum Spanning Tree from Brasília computed by Morten and Oliveira (2024). $^{*}p < 0.1$, $^{**}p < 0.05$, $^{***}p < 0.01$

For comparison, Table D.1 presents the results when we control for highway density instead of distance to the MST network. Initially, highway density shows no significant correlation with population density in 1940 and 1950, likely reflecting the limited extent of the highway network at the time. However, starting in 1960, this correlation becomes positive and progressively stronger over the subsequent decades. Notably, while the importance of highway density increases, the effect of gold roads on population density diminishes but remains both statistically and economically significant. For example, in 2010—the most extreme case—the coefficient for gold roads decreases from 1.55 to 1.07. The effect on the mule road coefficient moves in the opposite direction, increasing slightly when highway density is included as a control.

In Appendix G, we present additional results using mule roads. Table G.4 shows that the correlation between MST distance and population density is somewhat weaker and statistically insignificant in the mule roads sample, providing further evidence of the reduced statistical power of this smaller sample. Nevertheless, the reduction in the coefficient linking mule roads to population

density over time is larger, though still positive and significant, compared to the gold roads case. This suggests that the overlap between mule roads and modern transportation infrastructure may not be negligible.

The results presented in this section challenge the hypothesis that modern transportation infrastructure is the primary mechanism linking gold roads to population density in recent times. In the next section, we investigate an alternative explanation proposed by historians, which suggests that towns established along historical pathways may have conferred enduring advantages that facilitated modern development.

6 Road towns and the seeds of agglomeration

Historians suggest that the primary benefit of the ground transportation system created from the gold economy lies not in the roads themselves but in the type of settlements established along these pathways. These distinctive settlements were more numerous and widespread than before, representing a new urban configuration. While estate-based settlements were dispersed and lacked a discernible urban center, the so-called "road towns" featured a main street lined with shops, cattle ranches, fairs, inns, and hotels. Naturally, these road towns attracted a different type of settler compared to agriculture-based towns, including craftsmen, workmen, merchants, and innkeepers, resulting in a distinctly different initial population mix (Deffontaines, 1938; Morse, 1974).[23]

There is no shortage of examples connecting the roads to modern settlements. Campinas, founded by an expedition connecting São Paulo to the mines in Goiás in 1722 (Rossetto, 2006), boasted a density of manufacturing workers four times larger than the national average in 1920. Piracicaba has a similar history: Although the area was first explored because of the Piracicaba River, with the first accounts dating back to 1693, it was only with the construction of the road leading from São Paulo to the mines in Mato Grosso that the area received its first settlers (IBGE, 1957). By 1920, Piracicaba had a manufacturing worker density two times the national average.

[23] Deffontaines (1938) also argues that road towns were more stable than the mining towns themselves, as "mining colonization left only a devastated country strewn with dead or lethargic towns."

In Minas Gerais, the founding of Santos Dumont and Juiz de Fora were both direct results of the creation of a new Royal Road path (*Caminho Novo*) to connect the Court in Rio de Janeiro to the mines, functioning as commercial and resting posts (IBGE, 1957). Unlike the São Paulo case, these locations are not tied to the coffee boom. By 1920, Juiz de Fora had a density of manufacturing workers three times the national average, while Santos Dumont had an average density but five times the national median.

Table 3: Gold roads and industrial composition in 1920

	Full Sample			Only Neighbors		
	Agriculture (1)	Manufacturing (2)	Services (3)	Agriculture (4)	Manufacturing (5)	Services (6)
Panel A - Dependent Variable in Column						
Gold Road Density	-0.221***	0.110***	0.112***	-0.220***	0.097***	0.122***
	(0.057)	(0.029)	(0.034)	(0.027)	(0.020)	(0.018)
Observations	856	856	856	604	604	604
Kleibergen-Paap F	81.564	81.564	81.564	75.872	75.872	75.872
Panel B - Dependent Variable: Population Density 2010						
Gold Road Density	1.08***	1.36***	0.829**	1.30***	1.53***	0.910**
	(0.368)	(0.379)	(0.335)	(0.436)	(0.429)	(0.400)
Mediator (Column)	-2.15***	1.75**	6.48***	-1.37**	0.721	5.65***
	(0.562)	(0.880)	(0.721)	(0.674)	(0.952)	(0.926)
Observations	856	856	856	604	604	604
Kleibergen-Paap F	80.651	80.825	80.881	67.000	67.890	63.948
Sobel Test t	2.72	1.76	3.09	1.98	0.749	4.56
Share Mediated	0.306	0.123	0.467	0.188	0.044	0.432

Notes: Spatially corrected standard errors are shown in parentheses. All columns report 2SLS estimates, using LCP density as an IV for gold road density. Each specification includes state fixed effects and geography controls, including the log-transformed median values of precipitation, temperature, elevation, terrain ruggedness, area, distance to rivers, and distance to the coast, as well as a second-order latitude-longitude polynomial. The *Full Sample* consists of 1920 MCAs, excluding those in states predominantly influenced by the Amazon River basin and MCAs with settlements predating 1694. The *Only Neighbors* sample includes only MCAs traversed by historical roads and their immediate neighbors. The dependent variable is indicated in the column and measures the share of the population working in a given industry divided by the population working in all industries. *Gold Road Density* is defined as the proportion of a municipality's area within a 5-kilometer buffer surrounding gold roads. $^{*}p < 0.1, ^{**}p < 0.05, ^{***}p < 0.01$

Table 3 examines whether gold roads shaped the early sectoral composition of local economies. Panel A shows that MCAs with higher gold-road density had a lower share of agricultural workers and a higher share of services and manufacturing workers in 1920, consistent with the road-town hypothesis. In Panel B, we formally assess this channel through a mediation analysis. We estimate

2SLS regressions in which gold-road density affects 2010 population density both directly and indirectly through its effect on the 1920 industrial composition. For each sector, we compute the Sobel test (Sobel, 1982), a standard approach to evaluate mediation effects, which assesses whether the product of the "first-stage" coefficient (from gold roads to the mediator) and the "second-stage" coefficient (from the mediator to the outcome) is statistically different from zero. A significant Sobel statistic indicates that the mediator transmits part of the total effect. The results show that 30–45% of the long-run impact of gold-road density on modern population density is mediated through 1920 employment shares, particularly through the decline in agricultural specialization and the rise of services. These findings imply that gold roads shaped Brazil's spatial development through a road town mechanism that fostered early industrial and service-based activity, which then became self-reinforcing over time.

The hypothesis is that road towns did not hold much significance in an agrarian economy characterized by a small and sparse population. Nonetheless, as the population grew and the focus of production shifted toward non-agricultural activities, these settlements became attractive spots for migrants. Figure 5 illustrates the substantial changes in the Brazilian socioeconomic structure over the twentieth century. In 1920, the population was only 16% of what it was in 2010, with rapid growth occurring during the 1950s and 1960s when population growth peaked at around 3% per year.

Internal migration accelerated in the 1930s, making the early dislocations caused by the sugar and gold economies appear less consequential (Furtado, 1968). This shift was precipitated by the structural transformation that began during the Great Depression years (Wagner and Ward, 1980). Over the century, population density increased substantially, rising from an average of 24 individuals per square kilometer in 1920 to 130 individuals per square kilometer in 2010, using 1920 MCAs as observations. This trend is reflected in the rapid increase in urbanization rates from the 1950s to the 1980s. In the 1940s, the urbanization rate grew by only 3 percentage points, whereas in the subsequent decades it increased by approximately 10 percentage points per decade.

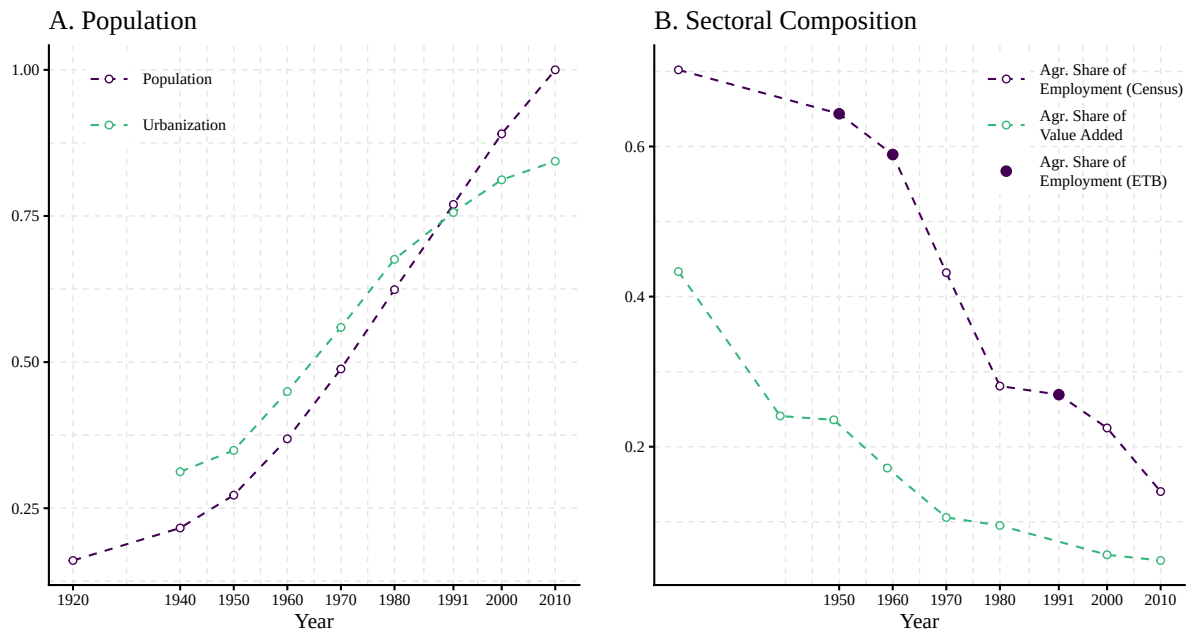

Figure 5: **The structural transformation of the Brazilian economy** *Notes:* Panel A illustrates the population size relative to 2010 and the share of population living in urban areas. Panel B displays the share of value-added and employment allocated in the agricultural sector. There are two sources of employment data: the Brazilian Census and the Economic Transformation Database. Dashed lines represent linear interpolations between data points.

Figure 5B illustrates the rapid process of industrialization, particularly between 1960 and 1980, when the share of workers in the agricultural sector decreased from about 60% to less than 30%.[24] The evolution of the share of value added from agriculture reveals a similar trend, with a significant decline first between 1920 and 1940, and then again from 1950 to 1970.

The overall pattern highlights the transition from an economy based on raw material exports to one that, by 1930, adopted an import substitution paradigm. The large influx of rural-urban migrants resulting from this shift found road towns to be attractive destinations, likely due to their already established urban infrastructure and well-developed service sector. Figure 6 supports this hypothesis. Panel A illustrates the effect of gold road density on population growth across different decades, while Panel B focuses on migrant density. The coefficients are derived from regressions using 1920 MCAs, excluding those influenced by the Amazon River and those with settlements

[24] Whenever possible, the data presented are from the decennial census. We supplement the information for 1950, 1960, and 1991 using the Economic Transformation Database (Kruse, Mensah, Sen and de Vries, 2023).

predating 1694. All estimates control for geography and state fixed effects, with standard errors spatially corrected following Conley (1999).

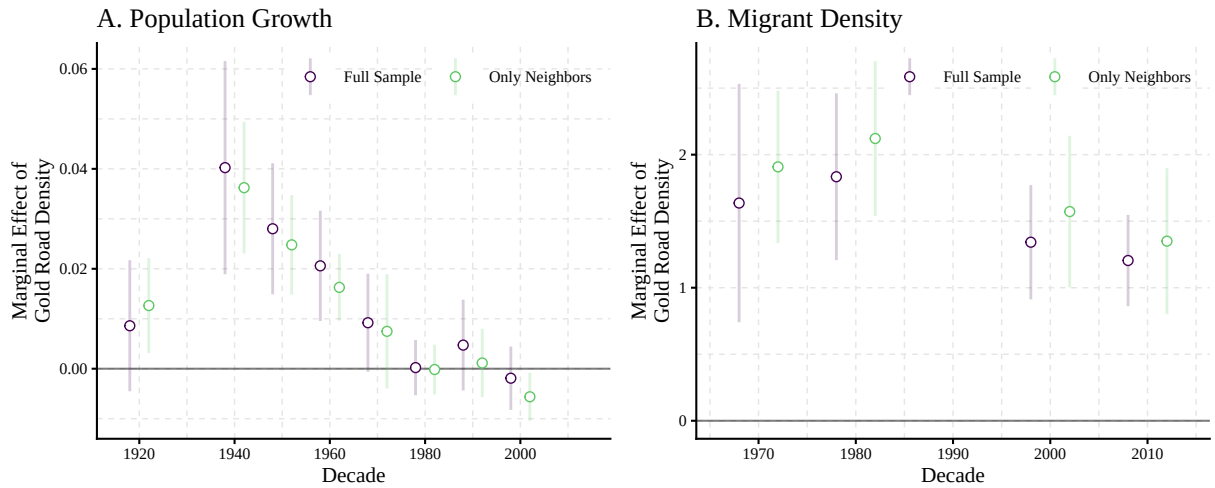

Figure 6: **Population growth and migration.** *Notes:* Panel A illustrates the effect of gold roads on average yearly population growth per decade, conditional on the initial population density. In 1920, it represents the average yearly population growth between 1920 and 1940. Panel B shows the effect of gold roads on the density of migrants from other municipalities. The *Full Sample* consists of 1920 MCAs, excluding those in states heavily influenced by the Amazon River basin and MCAs with settlements predating 1694 (except in years before 1694 in the shaded area), resulting in 856 observations. The *Only Neighbors* sample includes only MCAs traversed by gold roads and their immediate neighbors, amounting to 604 observations. All estimates incorporate state fixed effects and geography controls. In all cases, the Kleibergen-Paap F is above 76. Point estimates are represented by circles, with 95% spatially corrected confidence intervals (Conley, 1999) shown as lines. Exact values are detailed in Tables E.1 and E.2.

The coefficients presented in Figure 6A indicate that higher gold road density increased population growth during the decades between 1940 and 1970. The effect between 1920 and 1940 was also positive but much smaller, likely due to the surge in industrialization in the 1930s. In the 1940s, a 10-percentage-point increase in gold road density implied approximately a 0.4-percentage-point increase in population growth. However, this effect diminished over the century, becoming negligible after 1980. The faster population growth between 1940 and 1980 contributed to a higher migrant density, as shown in Figure 6B (for migrants, data is only available from 1970). Gold road density is associated with more residents born in other states and municipalities per square kilometer, suggesting that the road towns did, in fact, attract migrants.

More details are provided in Appendix E. Concerning gold road towns, Table E.3 shows that gold roads are associated with higher urbanization rates in all years for which we have data (1940 to 2010). These results show that gold road density is linked to modern settlements, and migration did not disrupt this pattern. However, additional results in Appendix G reveal a stark contrast between gold roads and mule roads. The relationship between mule roads and modern labor composition in 1920 is weaker than that of gold roads. The only coefficient statistically significant at the 10% level is associated with the share of workers in manufacturing. Furthermore, population growth is not significantly affected by mule roads until 1950, and the effect on migrant density from other states is either statistically insignificant or negative. These findings reinforce the hypothesis that mule roads were of secondary importance, as we exclude MCAs containing municipalities from 1872 from the sample.

In general, the results presented in this section demonstrate how historical roads, particularly gold roads, laid the foundation for agglomeration during demographic and structural transitions. Settlements along these roads were characterized by prototypical cities and attracted workers from other regions. In the mid-twentieth century, rapid urbanization was nationally attributed equally to natural population growth and internal migration (Wagner and Ward, 1980). In contrast, our findings reveal that areas with historical roads grew faster and had a larger stock of migrants.

7 Path Dependence

At this stage, we have documented a distinctive dynamic pattern for the Brazilian economy. Historical roads constituted an initial shock to Brazil's spatial system, one that dissipated by the late nineteenth century. These roads, however, left a lasting imprint through the formation of road towns, which later positioned these regions to benefit from demographic and structural transitions. This pattern naturally raises a central question about the nature of Brazil's spatial system: Do long-run spatial imprints reflect mechanically slow mean reversion in a unique steady state, or can history matter through equilibrium selection and path dependence in a system that admits multiple steady states? In this section, we interpret the observed dynamics through the lens of spatial eco-

nomics to shed light on this question and quantify the strength of agglomeration spillovers in this spatial system to answer whether they are consistent with a unique steady state or multiple steady states and path dependence.

This section uses the framework in Allen and Donaldson (2020, 2022) to answer this question. Our goal is not to replicate the full historical dynamics presented previously in a quantitative simulation, but to (i) estimate agglomeration spillovers from a wage–density system and (ii) use the implied spillovers to characterize whether the spatial system is likely to return to an original steady state where gold roads are not associated with more population, or whether multiple steady states and path dependence are plausible. Thus, we do not seek to extend the model to include multiple sectors. Instead, we use a single-sector model in which structural transformation raises aggregate productivity economy-wide, while former road towns may experience a temporary relative amenity advantage because their inherited urban functions make them especially attractive destinations for workers and migrants. If agglomeration forces are sufficiently strong, that temporary relative shock can push the economy toward a different long-run spatial configuration. In this sense, the model serves as a diagnostic: it asks whether our estimated agglomeration spillovers are strong enough to make equilibrium selection possible, not whether the gold-era dynamics themselves can be replicated quantitatively.

Model. The model contains key elements of two traditional strands of literature in spatial economics, including spatial linkages through trade and migration, agglomeration forces, realistic geographies, and forward-looking agents.[25] Specifically, each region i produces a unique variety of final good Y_{it} in period t using labor L_{it} and given the labor productivity A_{it}. Trade between i and j faces symmetric iceberg costs τ_{ijt}. Individuals draw utility from a Dixit-Stiglitz love-for-variety aggregator with elasticity of substitution between varieties denoted by σ. Moreover, they enjoy local amenities u_{it} and benefit from higher utility from future generations (forward looking),

[25] One strand focuses on path-dependent geographies, agglomeration forces, and forward-looking behavior, but typically in low-dimensional settings (*e.g.* Krugman, 1991; Matsuyama, 1991; Rauch, 1993). The other involves high-dimensional models that incorporate more realistic geographies, though they often lack forward-looking agents and local agglomeration spillovers (*e.g.* Roback, 1982; Glaeser, 2008; Desmet, Nagy and Rossi-Hansberg, 2018).

discounted by the parameter δ. Individuals have idiosyncratic preferences over locations, which are extreme value distributed with shape parameter θ.

Both local productivity and local amenities are assumed to be affected by current and historical population. Specifically, $A_{it} = \bar{A}_{it} L_{it}^{\alpha_1} L_{it-1}^{\alpha_2}$, where α_1 and α_2 represent the strength of contemporaneous and historical productivity spillovers, respectively, and $u_{it} = \bar{u}_{it} L_{it}^{\beta_1} L_{it-1}^{\beta_2}$, where β_1 and β_2 denote the strength of contemporaneous and historical amenity spillovers, respectively. Individuals' and firms' optimization yields an extended version of the labor supply and demand system in the Rosen-Roback-Glaeser spatial equilibrium tradition, where lagged population acts as a shifter in both equations:

$$\log w_{it} = \left(\alpha_1 \frac{\sigma-1}{\sigma} - \frac{1}{\sigma}\right) \log L_{it} + \left(\alpha_2 \frac{\sigma-1}{\sigma}\right) \log L_{it-1} + \frac{1}{\sigma} \log Q_{it}^{1-\sigma} + \frac{\sigma-1}{\sigma} \log \bar{A}_{it}, \tag{2}$$

$$\log w_{it} = \left(\frac{1}{\theta} - \beta_1\right) \log L_{it} + (-\beta_2) \log L_{it-1} + \frac{1}{\theta} \log \Lambda_{it}^{\theta} + \frac{1}{1-\sigma} \log P_{it}^{1-\sigma} - \frac{\delta}{\theta} \log \Pi_{it}^{\theta} - \log \bar{u}_{it}, \tag{3}$$

where w_{it} is the nominal wage, $P_{it}^{1-\sigma}$ and $Q_{it}^{1-\sigma}$ are the inward and outward market access, respectively, and Λ_{it}^{θ} and Π_{it}^{θ} are the inward and outward migration market access, respectively. See Appendix F (or Allen and Donaldson (2020)) for details.

Now, to facilitate the interpretation of the system's dynamical properties, we follow Allen and Donaldson (2022) and simplify the environment with a homogeneous good such that there is no trade ($\sigma \to \infty$) and endogenous fertility offsets the negative effect of outward migration market access. The resulting supply and demand system in the simplified environment is

$$\log w_{it} = \alpha_1 \log L_{it} + \alpha_2 \log L_{it-1} + \log \bar{A}_{it}, \tag{4}$$

$$\log w_{it} = \left(\frac{1}{\theta} - \beta_1\right) \log L_{it} + (-\beta_2) \log L_{it-1} + \frac{1}{\theta} \log \Lambda_{it}^{\theta} - \log \bar{u}_{it}. \tag{5}$$

Throughout, the simplified no-trade model serves to build analytical intuition and to derive closed-form conditions for each regime. The trade-augmented model in Equations (2) and (3)—which

incorporates the inward and outward market-access measures constructed in Appendix F—is our preferred quantitative specification. We perform the diagnostic with both models and reach similar conclusions: the estimated spillovers place the spatial system in a region where multiple steady states cannot be ruled out.

Solving the system formed by Equations (4) and (5) for all L_{it} yields the key law of motion:

$$L_{it}^{1-\theta(\alpha_1+\beta_1)} = (\bar{A}_{it}\bar{u}_{it})^{\theta} \times L_{it-1}^{\theta(\alpha_2+\beta_2)} \times \sum_j \mu_{jit}^{-\theta} L_{jt-1}, \tag{6}$$

where we use $\Lambda_{it}^{-\theta} = \sum_j \mu_{jit}^{-\theta} L_{jt-1}$ to emphasize that inward migration market access depends on lagged population in all regions. The geography of the system, composed of $\bar{A}_{it}$, $\bar{u}_{it}$, and migration costs μ_{ijt} for all i, j, and t, as well as the initial population distribution, is taken as exogenous.

In much of the historical persistence literature, "persistence" is a reduced-form statement: A past shock that leaves a detectable imprint even centuries later. In the model, such long-lived effects can arise through two distinct mechanisms. First, the system may have a unique steady state but converge slowly (high within-basin persistence). Second, the system may admit multiple steady states so that history affects equilibrium selection (path dependence). Following Allen and Donaldson (2022), we therefore distinguish three concepts:

Equilibrium-path uniqueness and stability: Given geography and an initial population distribution, Equation (6) pins down a unique equilibrium path $\{L_{it}^*\}_{t=1}^{\infty}$ for all i as long as $\theta(\alpha_1 + \beta_1) \neq 1$. The equilibrium path is locally stable if $\theta(\alpha_1 + \beta_1) < 1$. Importantly, this condition depends only on contemporaneous agglomeration forces.

Path dependence (multiple steady states): *Path dependence requires multiple steady states*. Under constant geography, steady states satisfy

$$(L_i^{ss})^{1-\theta(\alpha_1+\alpha_2+\beta_1+\beta_2)} = \sum_j \left(\frac{\bar{A}_i\bar{u}_i}{\mu_{ji}}\right)^{\theta} L_j^{ss}.$$

This mapping has a unique fixed point under a contraction-type condition, where a sufficient condition in the simplified environment is $\left|[1-\theta(\alpha_1+\alpha_2+\beta_1+\beta_2)]^{-1}\right| < 1$. When this condition fails, multiple steady states may exist, and temporary shocks can have permanent consequences through equilibrium selection.

Persistence (speed of convergence within a basin): [26] Conditional on stability, "persistence" refers to the speed at which the system converges back to a steady state after a temporary shock *absent a basin shift*. The intuition is clearest in partial equilibrium, where inward migration market access is treated as exogenous (appropriate for sufficiently small regions whose shocks have limited effects on aggregate migration incentives). In this case, a log-linearized version of Equation (6) has an AR(1)-type propagation with persistence parameter

$$\rho^{PE} = \frac{\theta(\alpha_2+\beta_2)}{1-\theta(\alpha_1+\beta_1)}.$$

Assuming a stable equilibrium path ($\theta(\alpha_1+\beta_1) < 1$), *partial-equilibrium convergence* holds when $\rho^{PE} < 1$, equivalently $\theta(\alpha_1+\alpha_2+\beta_1+\beta_2) < 1$. Allen and Donaldson (2022) also derive the general-equilibrium persistence parameter

$$\rho^{GE} = \frac{1+\theta(\alpha_2+\beta_2)}{1-\theta(\alpha_1+\beta_1)},$$

and show that *uniform convergence* (global convergence to the same steady state from any initial condition) requires sufficiently weak net agglomeration forces (in the simplified environment, $\theta(\alpha_1+\alpha_2+\beta_1+\beta_2) < 0$). Thus, if $\theta(\alpha_1+\alpha_2+\beta_1+\beta_2) > 1$ then there is *divergence* between regions, in the sense that the effect of a historical shock can be felt many years later even without multiple steady states.

[26] A *basin of attraction* refers to the set of initial population distributions from which the system converges to a given steady state, following Allen and Donaldson (2022, p. 20).

Interpretation of the historical pattern. Through the lens of this model, the observed historical pattern can be interpreted as a spatial system that experienced two shocks. First, the discovery of gold increased the productivity of mining sites and those along the gold roads, thereby constituting a labor demand shock. With gold depletion, productivity advantages dissipated, and the system returned to the initial steady state, in which gold road locations do not exhibit disproportionately higher population density. This return to the initial steady state is consistent with two possible parameter regions: one in which the system has a unique and stable steady state, and one in which multiple steady states are possible but the shock was not large enough to shift the economy to a different basin of attraction. It is important to note that our subsequent quantitative analysis cannot distinguish between these two cases unless we assume that the parameters estimated from the twentieth-century data are the same as those governing the dynamics during the gold rush.

The second shock results from a combination of aggregate-level demographic and structural changes and local advantages conferred by gold roads. The mechanism of structural changes, which can be captured by a permanent, economy-wide increase in aggregate productivity, induces large-scale rural-urban migration. Road towns disproportionately attracted these migrants due to their early urban function, which we interpret as an amenity advantage. Since the gold rush era, road towns possessed relatively higher urban amenities compared to the dispersed agricultural settlements that surrounded them—commerce, accommodation, civic services, and a non-agricultural population mix. But, as mentioned in Section 6, these amenities conferred no meaningful advantage in a sparse agrarian economy: When location choice was governed primarily by proximity to cultivable land, urban services were largely irrelevant to where workers settled. The amenity advantage was real but dormant. Structural transformation changed the relevant margin of location choice. As structural transformation freed workers from agriculture and generated large-scale rural-urban migration, workers began choosing among urban destinations based on urban amenities and services rather than agricultural land quality (Wagner and Ward, 1980). Road towns' pre-existing $\bar{u}_i$ advantage became operative during this transition—it is not that their amenities improved, but the transition made amenities the binding factor for location choice.

Since we do not extend the model to include multiple types of amenities and sectors, we interpret the second shock as a temporary elevation of intrinsic amenities $\bar{u}_i$ for road towns during the urbanization transition—an approximation of the deeper regime shift, from land-governed to amenity-governed location choice, that a single-sector model cannot fully represent. This interpretation is consistent with the re-emergence of gold road effects observed after 1920.

This advantage is temporary because urban amenities are replicable: Commerce, accommodation, civic infrastructure, and service industries can be built anywhere, given sufficient population and economic activity. Road towns had a first-mover advantage—they had already developed this infrastructure when structural transformation began, whereas other localities had not. As development spread and other localities received investment and population growth, they too developed comparable urban functions, and the relative $\bar{u}_i$ gap closed. This contrasts with a geographic fundamentals story (a natural harbor, a river crossing, a mineral deposit), where the advantage is non-replicable and permanent. Road towns hold no permanent monopoly on commerce or services; their advantage was temporal, not structural. This is reflected in the decrease in differential population growth over time, as shown in Figure 6A.

Whether the temporary amenity advantage was sufficient to cross a basin boundary depends on the strength of agglomeration spillovers. If spillovers are sufficiently strong, the shock can shift the economy to a different long-run spatial configuration where gold roads are associated with higher population density. If spillovers are weak, the system should return to the original steady state, in which gold roads do not confer a long-run population advantage. The next step is to estimate these spillovers and use them to characterize the spatial system's equilibrium properties during the twentieth century.

Estimation. Next, our goal is to estimate the net agglomeration spillovers and use them to locate Brazil's spatial system in the regime map implied by the model and definitions above. We estimate

the following supply and demand system:

$$\log w_{it} = \zeta_1 \log L_{it} + \zeta_2 \log L_{it-1} + \zeta_3 \log Q_{it}^{1-\sigma} + \varepsilon_{it}, \tag{7}$$

$$\log w_{it} = \nu_1 \log L_{it} + \nu_2 \log L_{it-1} + \nu_3 \log \Lambda_{it}^{\theta} + X_{it}' \nu_4 + \omega_{it}. \tag{8}$$

In this system, wages and population density are jointly determined. To identify the productivity spillovers in labor demand Equation (7), we require an instrument that shifts labor supply but is excluded from labor demand. We use the LCPs of historical roads as this excluded instrument for contemporaneous density.[27]

The identifying assumption is that, as discussed above, historical roads shifted the spatial distribution of population by creating urban-type settlements that, during the process of structural transformation, eventually attracted workers, operating as a shock to the amenities term that shifts labor supply. Thus, the instrument provides exogenous variation in contemporaneous density that traces out the labor demand schedule, allowing us to identify the elasticity ζ_1. Conditional on lagged density, geography, individual controls, and (in the trade specification) outward market access, historical-road LCP exposure does not affect wages except through its effect on contemporaneous density.

Several features of our specification support this exclusion restriction. First, we control flexibly for worker characteristics, including industry and education, so identification comes from within-industry and within-skill wage differences associated with exogenous variation in density. This restriction does not mean that historical roads have no effect on intermediate outcomes. Indeed, Table 3 documents that gold-road exposure predicts sectoral shifts away from agriculture toward

[27] One alternative approach would be to estimate the reduced-form log version of Equation (6), in which the coefficients on $\log \Lambda_{it}^{-\theta}$ and $\log L_{it-1}$ map directly to $[1-\theta(\alpha_1+\beta_1)]^{-1}$ and $\theta(\alpha_2+\beta_2)[1-\theta(\alpha_1+\beta_1)]^{-1}$, respectively. While feasible, this approach imposes stronger exclusion restrictions than the structural system because the reduced form collapses the supply and demand equations into a single composite error term. Moreover, the resulting reduced-form estimates imply agglomeration parameters that are implausibly large relative to the empirical literature (for example, $\alpha_1 \approx 0.38$ and $\alpha_2 \approx -0.14$ under benchmark values for β_1 and β_2), placing the system near the boundary of partial-equilibrium non-convergence. For these reasons, and because identification is cleaner when focusing on the supply equation alone, we base our inference on the structural system rather than the reduced form. Full estimation results are available upon request.

manufacturing and services in 1920. These compositional effects are absorbed by our controls: We identify productivity spillovers from the residual wage premium that density confers on observationally equivalent workers.

Second, by controlling for lagged density (L_{it-1}), we absorb the persistent productivity-relevant features of historical urbanization. We emphasize that lagged population density enters the supply and demand equations as a *state variable* in the underlying dynamic system (see Equation (6)), not as an instrument for contemporaneous density. This distinguishes our approach from the urban-economics tradition following Ciccone and Hall (1996), in which historical population is used as an excluded instrument; here, our excluded instrument is the least-cost-path exposure, and lagged density is a conditioning variable that absorbs historical persistence. A concern might arise that historical roads, by generating urban settlements, created durable agglomeration economies that affect productivity independently of contemporaneous density. Lagged density captures the historical component of this variation. Additionally, measuring lagged density in 1920 provides at least a 60-year separation between the historical and contemporary periods, so identification comes from the instrument's effect on density changes since 1920. Third, the economic rationale for roads devised for colonial mineral extraction is orthogonal to the determinants of modern manufacturing and service-sector productivity, making direct effects on contemporaneous production technology less plausible.

The generic system in Equations (7) and (8) nests both systems above. In the simplified environment Equations (4) and (5), we set $\zeta_3 = 0$, implying $\alpha_1 = \zeta_1$ and $\alpha_2 = \zeta_2$. In the environment with trade Equations (2) and (3), we either restrict $\zeta_3 = 1/\sigma$ or estimate ζ_3; in both cases we recover

$$\alpha_1 = (\zeta_1 + 1/\sigma)\frac{\sigma}{\sigma - 1}, \qquad \alpha_2 = \zeta_2 \frac{\sigma}{\sigma - 1}.$$

We do not estimate β_1 and β_2 directly. Instead, we interpret equilibrium properties under feasible values of $\beta_{ss} \equiv \beta_1 + \beta_2$. As discussed by Allen and Donaldson (2022), β_1 is expected to be negative if there is a fixed supply of local goods (e.g., land or housing congestion), while β_2 is

expected to be positive if early investments in local factors are durable. Using evidence on housing expenditure shares and assuming housing durability over a generation, we adopt the benchmark $\beta_1 = -\beta_2 = -0.15$ for Brazil (Chauvin et al., 2017). In their U.S. application, Allen and Donaldson (2020) estimate $\beta_1 = -0.26$ and $\beta_2 = 0.31$, implying β_{ss} close to zero. We follow Allen and Donaldson (2020) setting $\theta = 4$, $\sigma = 9$, and $\delta = 0.03$.

Consistent with the literature (*e.g.,* Bleakley and Lin, 2012; Chauvin et al., 2017), we use individual-level census data on workers aged 25 to 65 to estimate agglomeration effects. We have all the information needed for the 1980, 2000, and 2010 censuses. Hourly wages are set as the dependent variable, while contemporaneous and historical population density are computed at the 1920 MCA level, along with the usual geography variables. Lagged population density is measured 60 years prior to the census year. Outward market access $Q_{it}^{1-\sigma}$ was computed following Allen and Donaldson (2020). We construct a 5×5 km conductivity grid for Brazil combining information on roads, railways, and waterways, and compute LCPs using the Fast Marching Method (Allen and Arkolakis, 2014). The iceberg costs are calibrated by estimating the elasticity of trade flows to freight costs using state-level data from Morten and Oliveira (2024). Details are presented in Appendix F. All regressions include individual-level controls such as age, age squared, and binary variables indicating the worker's race, sex, marital status, industry, and attained education. Table 4 shows the results pooling all censuses and adding state and year fixed effects.[28]

Before turning to the estimates, it is useful to clarify the structure of Table 4. Columns (1)–(4) report the simplified model, which shuts down spatial linkages by imposing $\zeta_3 = 0$; accordingly, outward market access does not enter those specifications. Column (1) includes only contemporaneous population density, Column (2) adds lagged population density, and Columns (3) and (4) add geography controls using the full sample and neighbors-only sample, respectively. Columns (5)

[28] As a robustness check, we also estimated the agglomeration parameters separately for 1980, 2000, and 2010, rather than pooling years. The resulting estimates of α_1—0.140 (0.022), 0.086 (0.032), and 0.060 (0.040), respectively—are all statistically indistinguishable from the pooled value of 0.105 (0.030), with substantially overlapping confidence intervals. The modest variation across decades is driven primarily by differences in precision, especially in later years where the identifying variation is weaker. Importantly, all decade-specific estimates lie well within the region of the parameter space consistent with the possibility of multiple steady states. Full regression tables are available upon request.

and (6) report the trade model, where outward market access enters through $Q_{it}^{1-\sigma}$. Column (5) estimates ζ_3 freely, while Column (6) imposes the structural restriction $\zeta_3 = 1/\sigma$ with $\sigma = 9$.

Table 4: Contemporaneous and historical productivity spillovers

	Simple Model				Model with Trade	
	(1)	(2)	(3)	(4)	(5)	(6)
Dependent Variable: Hourly Wage						
Population Density	0.100***	0.124***	0.098***	0.103***	0.105***	0.105***
	(0.012)	(0.024)	(0.034)	(0.028)	(0.028)	(0.029)
Lagged Pop. Density		-0.049*	-0.018	-0.030	-0.042**	-0.044**
		(0.026)	(0.031)	(0.021)	(0.019)	(0.021)
Outward Market Access					0.098**	
					(0.044)	
Observations	11,039,347	11,039,347	11,039,347	8,957,715	8,957,715	8,957,715
Kleibergen-Paap F	44.630	23.335	20.136	23.687	21.229	23.687
Individual Controls:	✓	✓	✓	✓	✓	✓
Geography Controls:			✓	✓	✓	✓
Only Neighbors:				✓	✓	✓
$\zeta_3 = 1/\sigma$						✓

Notes: Spatially corrected standard errors are shown in parentheses. All columns report 2SLS estimates, using the LCP density of gold roads as an IV for population density at the 1920 MCA level. The *Full Sample* consists of individual data for years 1980, 2000, and 2010, excluding those in states predominantly influenced by the Amazon River basin and those in MCAs with settlements predating 1694. The *Only Neighbors* sample includes only individuals in MCAs traversed by historical roads and their immediate neighbors. Each specification includes state and year fixed effects and individual characteristics such as age (and age squared) and binary variables indicating race, sex, industry, marital status, and attained education. Geography controls include the log-transformed median values of precipitation, temperature, elevation, terrain ruggedness, area, distance to rivers, and distance to the coast, as well as a second-order latitude-longitude polynomial. *Hourly Wage* refers to the log-transformed ratio of wages to hours worked. *Pop. Density* is defined as the log-transformed value of population divided by the MCA's area. *Lagged Pop. Density* is the log-transformed value of population density in 1920. $^{*}p < 0.1, ^{**}p < 0.05, ^{***}p < 0.01$

The elasticity of wages with respect to contemporaneous population density is stable across specifications, ranging from 0.098 to 0.124. In the simplified environment and our preferred specification, we estimate contemporaneous and historical productivity spillovers of 0.103 (0.028) and −0.03 (0.021), respectively, implying total productivity spillovers $\alpha_{ss} = \alpha_1 + \alpha_2 = 0.073$ (0.035). This magnitude is close to the typical range in the literature (0.03–0.08) summarized by Rosenthal and Strange (2004) and Combes and Gobillon (2015), and to the estimate in Bleakley and Lin (2012). Our estimates are somewhat larger than those reported in other papers on Brazil (e.g., 0.026 in Chauvin et al., 2017 and 0.01 in Ehrl and Monasterio, 2021). A natural interpretation is that our instrument captures variation linked to road towns that were comparatively more likely to

generate larger productivity spillovers in a country where settlement was historically dominated by dispersed agricultural estates. Table 5 summarizes the parameters estimated in this paper, together with those assumed from the literature, which we use in the following numerical study of the system's properties.

Table 5: Summary of parameters

Parameter	Description	Value	Notes
Panel A - Simple Model			
$\hat{\alpha}_1$	Contemporaneous productivity spillover	0.103 (0.028)	Estimated.
$\hat{\alpha}_2$	Historical productivity spillover	−0.030 (0.021)	Estimated.
$\widehat{\alpha_1 + \alpha_2}$	Total productivity spillover	0.073 (0.035)	Implied from estimates. Within literature review range 0.03–0.08 (Rosenthal and Strange, 2004; Combes and Gobillon, 2015) and 0.09 (Bleakley and Lin, 2012). For Brazil, 0.01 (Ehrl and Monasterio, 2021) and 0.026 (Chauvin et al., 2017).
Panel B - Trade Model			
$\hat{\alpha}_1$	Contemporaneous productivity spillover	0.242 (0.032)	Estimated. Comparable to 0.19 in Allen and Donaldson (2020).
$\hat{\alpha}_2$	Historical productivity spillover	−0.05 (0.023)	Estimated. Comparable to −0.041 in Allen and Donaldson (2020).
$\widehat{\alpha_1 + \alpha_2}$	Total productivity spillover	0.192	Implied from estimates. Comparable to 0.149 in Allen and Donaldson (2020).
δ	Intertemporal discount factor	0.03	To match the average annualized return on wealth in the US equal to 0.0603 (Allen and Donaldson, 2020).
Panel C - Both Models			
β_1	Contemporaneous amenity / congestion spillover	−0.15	To match an unmodeled housing expenditure share equal to 15% (Chauvin et al., 2017) as in Allen and Donaldson (2022).
β_2	Historical amenity / durability spillover	0.15	To match an unmodeled housing fully durable over a generation as in Allen and Donaldson (2022).
θ	Taste dispersion / migration sensitivity	4	To match the location choice elasticity estimated by Monte, Redding and Rossi-Hansberg (2018), adjusted to a dynamic framework as in Allen and Donaldson (2020).
σ	Elasticity of substitution	9	To match the trade elasticity estimated by Donaldson and Hornbeck (2016).

In Figure 7, we plot equilibrium regions of the simplified environment for different combinations of $\alpha_{ss} \equiv \alpha_1 + \alpha_2$ and $\beta_{ss} \equiv \beta_1 + \beta_2$ (with $\theta = 4$). Circles denote our point estimate of α_{ss} from Column (3) of Table 4 evaluated at $\beta_{ss} = 0$, and the dashed rectangle reports a conservative confidence region allowing α_{ss} to vary within ± 1.96 standard errors of the point estimates and $\beta_{ss} \in [-0.05, 0.05]$.

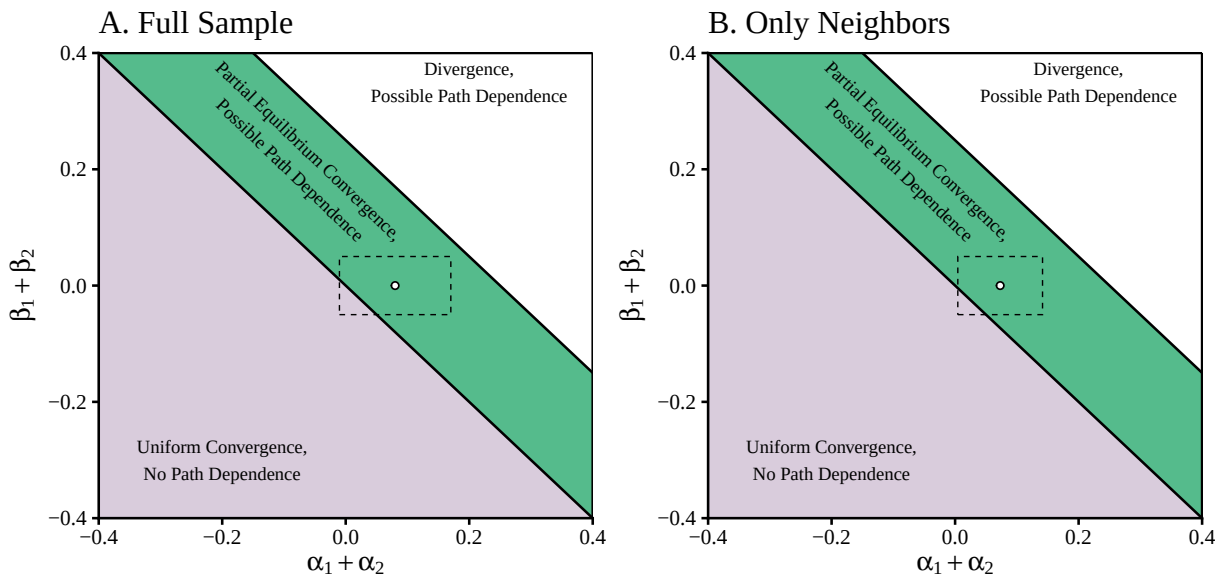

Figure 7: **Equilibrium properties and spillover estimates.** *Notes:* Both panels illustrate the equilibrium properties of the model for different combinations of productivity ($\alpha_{ss} \equiv \alpha_1 + \alpha_2$) and amenity ($\beta_{ss} \equiv \beta_1 + \beta_2$) spillovers. Circles represent point estimates of α_{ss} in Column (3) of Table 4 (Panels A and B) assuming $\beta_{ss} = 0$, conditional on the initial population density. The dashed line rectangle represents a confidence region where α_{ss} ranges within ± 1.96 standard errors and $\beta_{ss} \in [-0.05, 0.05]$.

We highlight three results regarding the implied properties of Brazil's spatial system. First, for our benchmark contemporaneous estimates $\alpha_1 \approx 0.1$ and $\beta_1 = -0.15$, we have $\theta(\alpha_1 + \beta_1) < 1$, implying a unique and stable equilibrium path in the simplified dynamics. Second, our estimate $\alpha_{ss} \approx 0.07$ implies that for a broad range of feasible β_{ss} values we lie in the region $0 < \theta(\alpha_{ss} + \beta_{ss}) < 1$. This guarantees convergence in partial equilibrium while ruling out uniform convergence. In economic terms, net agglomeration forces are strong enough that the model does not necessarily

converge to the same steady state from all initial conditions (so multiple steady states remain possible), but not strong enough to generate non-mean-reverting dynamics (divergence).

Third, to quantify within-basin persistence, we compute ρ^{PE} using $\alpha_2 = -0.03$ and $\beta_2 = 0.15$, we obtain $\rho^{PE} \approx 0.4$, implying relatively rapid decay: Absent a basin shift, less than 6% of an initial shock would remain after two centuries. Hence, the long-run historical persistence patterns we document are more consistent with equilibrium selection and the interaction between early settlement seeds and later aggregate changes than with mechanically slow mean reversion alone. These implications are robust across a wide range of feasible β_{ss} values. Only when β_{ss} is close to -0.05 can the system fall into the uniform convergence region, which would imply a unique steady state with global convergence.

Turning to the environment with trade, in our preferred specification in Column (6) of Table 4, the implied contemporaneous and historical agglomeration forces are 0.242 (0.032) and -0.05 (0.023), respectively. Our estimates are somewhat larger but close to those of Allen and Donaldson (2020), who find $\alpha_1 = 0.19$ and $\alpha_2 = -0.041$. As in the simplified environment, our estimates satisfy $\theta(\alpha_1 + \beta_1) < 1$, implying a unique and stable equilibrium path. Finally, the estimated coefficient on outward market access in Column (5) implies $\sigma \approx 10.2$, close to the value we use in our calibration and common in the quantitative spatial literature.

To assess whether the trade-augmented system admits a unique steady state or multiple steady states, we apply our candidate steady states to the condition derived in Allen and Donaldson (2020), which shows that multiple steady states and path dependence cannot be ruled out. Appendix F reports the numerical implementation. Overall, the simplified and trade-augmented models deliver consistent qualitative implications: stability of the equilibrium path together with the possibility that history affects long-run outcomes through equilibrium selection.

The results in this section suggest that the Brazilian spatial system is in a regime where multiple steady states are possible, and thus there is scope for temporary shocks to have long-run effects through equilibrium selection. However, whether the shock observed in the twentieth century was large enough to shift the economy to a different basin of attraction cannot be determined with

certainty. This exercise rules out a scenario in which return to the initial steady state would be inevitable, while leaving open whether the twentieth-century shock was large enough to cross a basin boundary or whether the system will eventually return to its original steady state. Furthermore, the parameters governing the system's dynamics during the colonial period may differ from those estimated in the twentieth century, so interpreting the dynamics prior to 1920 using the findings of this section requires caution and is beyond the scope of this analysis.

8 Conclusions

In this paper, we examined the long-run impact of historical roads on Brazil's population distribution. Specifically, we analyzed the construction of pathways connecting the Brazilian coast to the gold-mining regions of the interior following the discovery of gold around 1694. We found that the density of these historical routes is a strong predictor of modern agglomeration, as measured by population density, urban population density, and nightlight intensity.

Our analysis uncovered a distinctive dynamic pattern. Initially, historical roads facilitated population growth, but by the late nineteenth century, their influence on agglomeration had largely disappeared. However, following Brazil's demographic and industrial transitions after the 1930s, locations with higher historical road density experienced faster population growth and attracted a larger share of migrants. This suggests that the road towns established along these routes played a central role in shaping future urbanization and economic activity.

Throughout the twentieth century, the impact of historical roads strengthened, indicating that these early transportation networks became increasingly important for the spatial distribution of population. To interpret this pattern, we estimated net agglomeration effects in a dynamic spatial framework and found that the implied forces are consistent with an environment with multiple steady states in which temporary spatial shocks can have permanent consequences through equilibrium selection. In Brazil's case, history matters not because the gold discovery shock was sustained indefinitely, but because the initial conditions it created may have interacted with later structural

transformation to help select a long-run spatial equilibrium in which places along historical corridors retain a larger share of population and economic activity.

References

Abad, Leticia Arroyo and Nuno Palma, "The Fruits of El Dorado: The Global Impact of American Precious Metals," in Rafael Dobado-González and Alfredo García-Hiernaux, eds., *The Fruits of the Early Globalization: An Iberian Perspective*, Cham: Springer International Publishing, 2021, pp. 95–131.

Abreu, Joao Capistrano de, *Chapters of Brazil's Colonial History 1500–1800*, Oxford University Press, 1998.

Allen, Treb and Costas Arkolakis, "Trade and the Topography of the Spatial Economy," *The Quarterly Journal of Economics*, August 2014, *129* (3), 1085–1140.

_ **and Dave Donaldson**, "Persistence and Path Dependence in the Spatial Economy," Working Paper 28059, National Bureau of Economic Research 2020.

_ **and** _ , "Persistence and path dependence: A primer," *Regional Science and Urban Economics*, 2022, *94*, 103724.

Andrews, Isaiah, James H. Stock, and Liyang Sun, "Weak Instruments in Instrumental Variables Regression: Theory and Practice," *Annual Review of Economics*, 2019, *11* (1), 727–753.

Azevedo, Aroldo de, "Vilas e cidades do Brasil colonial: ensaio de geografia urbana retrospectiva," *Boletim da Faculdade de Filosofia, Letras e Ciências Humanas da Universidade de São Paulo*, 1956.

Baerlocher, Diogo, Guilherme Lambais, Eustáquio Reis, Diego Firmino Costa da Silva, and Henrique Veras, "Replication data for: "Old But Gold: Historical Pathways and Path De-

pendence"," Journal of Urban Economics, Mendeley, University of South Florida, V1, 2026. https://doi.org/10.17632/ppxdfzt28d.1.

Barjamovic, Gojko, Thomas Chaney, Kerem Coşar, and Ali Hortaçsu, "Trade, Merchants, and the Lost Cities of the Bronze Age," *The Quarterly Journal of Economics*, August 2019, *134* (3), 1455–1503.

Barsanetti, Bruno, "Cities on pre-Columbian paths," *Journal of Urban Economics*, 2021, *122*, 103317.

_ , "Capital as an anchor of agricultural employment: Evidence from the 1975 frost," *Regional Science and Urban Economics*, 2024, *108*, 104041.

_ , "Road End Points and City Sizes," *The Review of Economics and Statistics*, 2026, *108* (1), 90–109.

Barufi, A. M. B., E. A. Haddad, and P. Nijkamp, "Industrial scope of agglomeration economies in Brazil," *Annals of Regional Science*, 2016, *56*, 707–755.

Bird, Julia and Stéphane Straub, "The Brasilia experiment: the heterogeneous impact of road access on spatial development in Brazil," *World Development*, 2020, *127*, 104739.

Bleakley, Hoyt and Jeffrey Lin, "Portage and path dependence," *The Quarterly Journal of Economics*, 2012, *127* (2), 587–644.

_ **and** _ , "History and the Sizes of Cities," *American Economic Review*, May 2015, *105* (5), 558–63.

Borusyak, Kirill and Peter Hull, "Nonrandom Exposure to Exogenous Shocks," *Econometrica*, 2023, *91* (6), 2155–2185.

Bosker, Maarten and Eltjo Buringh, "City seeds: Geography and the origins of the European city system," *Journal of Urban Economics*, 2017, *98*, 139–157.

Boxer, Charles Ralph, *The Golden Age of Brazil 1695–1750*, Univ of California Press, 2003.

Cermeno, Alexandra L and Kerstin Enflo, "Can kings create towns that thrive? The long-term implications of new town foundations," *Journal of Urban Economics*, 2019, *112*, 50–69.

Chauvin, Juan Pablo, Edward Glaeser, Yueran Ma, and Kristina Tobio, "What is different about urbanization in rich and poor countries? Cities in Brazil, China, India and the United States," *Journal of Urban Economics*, 2017, *98*, 17–49.

Ciccone, Antonio and Robert E. Hall, "Productivity and the Density of Economic Activity," *American Economic Review*, 1996, *86* (1), 54–70.

Combes, Pierre-Philippe and Laurent Gobillon, "The Empirics of Agglomeration Economies," in Gilles Duranton, J. Vernon Henderson, and William C. Strange, eds., *Handbook of Regional and Urban Economics*, Vol. 5, Elsevier, 2015, pp. 247–348.

Conley, Timothy G, "GMM estimation with cross sectional dependence," *Journal of econometrics*, 1999, *92* (1), 1–45.

Dalgaard, Carl-Johan, Nicolai Kaarsen, Ola Olsson, and Pablo Selaya, "Roman roads to prosperity: Persistence and non-persistence of public infrastructure," *Journal of Comparative Economics*, 2022, *50* (4), 896–916.

Davis, Donald R. and David E. Weinstein, "Bones, Bombs, and Break Points: The Geography of Economic Activity," *American Economic Review*, 2002, *92* (5), 1269–1289.

_ **and** _ , "A Search for Multiple Equilibria in Urban Industrial Structure," *Journal of Regional Science*, 2008, *48* (1), 29–65.

de Almeida, Edilberto Tiago, Raul da Mota Silveira Neto, and Roberta de Moraes Rocha, "The spatial scope of agglomeration economies in Brazil," *Journal of Regional Science*, 2023, *63* (4), 820–863.

de Oliveira, Luiz Antonio Pinto and Celso Cardoso da Silva Simões, "O IBGE e as pesquisas populacionais," *Revista Brasileira de Estudos de População*, dez. 2005, *22* (2), 291–302.

Deffontaines, Pierre, "Mountain Settlement in the Central Brazilian Plateau," *Geographical Review*, 1937, *27* (3), 394–413.

_ , "The Origin and Growth of the Brazilian Network of Towns," *Geographical Review*, 1938, *28* (3), 379–399.

Desmet, Klaus, Dávid Krisztián Nagy, and Esteban Rossi-Hansberg, "The Geography of Development," *Journal of Political Economy*, 2018, *126* (3), 903–983.

Deus, Gaspar da Madre de, *Memórias para a história da capitania de São Vicente, hoje chamada de São Paulo e Notícias dos annos em que se descobrio o Brazil*, 3 ed., São Paulo e Rio: Weiszflog Irmãos, 1920.

Deutsch, Ruthanne, "Bridging the Archipelago: Cities and Regional Economies in Brazil, 1870–1920," *The Journal of Economic History*, 1996, *56* (2), 461–463.

Dingel, Jonathan I., Antonio Miscio, and Donald R. Davis, "Cities, lights, and skills in developing economies," *Journal of Urban Economics*, 2021, *125*, 103174.

Donaldson, Dave and Richard Hornbeck, "Railroads and American economic growth: A "market access" approach," *The Quarterly Journal of Economics*, 2016, *131* (2), 799–858.

Ehrl, Philipp and Leonardo Monasterio, "Spatial skill concentration agglomeration economies," *Journal of Regional Science*, 2021, *61* (1), 140–161.

Furtado, Celso, *The Economic Growth of Brazil: Survey from colonial to modern times*, University of California Press, 1968.

Glaeser, Edward, *Cities, Agglomeration and Spatial Equilibrium*, Oxford University Press, 2008.

Goulart, José Alípio, *Tropas e Tropeiros na Formação do Brasil*, Rio de Janeiro: Editora Conquista, 1961.

Hanlon, W. Walker, "Temporary Shocks and Persistent Effects in Urban Economies: Evidence from British Cities after the U.S. Civil War," *The Review of Economics and Statistics*, 2017, *99* (1), 67–79.

Hanlon, W.Walker and Stephan Heblich, "History and urban economics," *Regional Science and Urban Economics*, 2022, *94*, 103751.

IBGE, *Enciclopédia dos municípios brasileiros*, Instituto Brasileiro de Geografia e Estatística, Rio de Janeiro, 1957.

Jedwab, Remi and Alexander Moradi, "The Permanent Effects of Transportation Revolutions in Poor Countries: Evidence from Africa," *The Review of Economics and Statistics*, May 2016, *98* (2), 268–284.

_ , Edward Kerby, and Alexander Moradi, "History, Path Dependence and Development: Evidence from Colonial Railways, Settlers and Cities in Kenya," *Economic Journal*, August 2017, *127* (603), 1467–1494.

Kelly, Morgan, Joel Mokyr, and Cormac Ó Gráda, "The mechanics of the Industrial Revolution," *Journal of Political Economy*, 2023, *131* (1), 59–94.

Kok, Glória, "Vestígios indígenas na cartografia do sertão da América portuguesa," *Anais do Museu Paulista: História e Cultura Material*, 2009, *17*, 91–109.

Krugman, Paul, "History versus expectations," *The Quarterly Journal of Economics*, 1991, *106* (2), 651–667.

Kruse, Hagen, Emmanuel Mensah, Kunal Sen, and Gaaitzen de Vries, "A manufacturing renaissance? Industrialization trends in the developing world," *IMF Economic Review*, 2023. Data available for download at `https://www.rug.nl/(...)tructuralchange/etd/`.

Lee, Sanghoon and Jeffrey Lin, "Natural Amenities, Neighbourhood Dynamics, and Persistence in the Spatial Distribution of Income," *The Review of Economic Studies*, 2017, *85* (1), 663–694.

Lin, Jeffrey and Ferdinand Rauch, "What future for history dependence in spatial economics?," *Regional Science and Urban Economics*, 2022, *94*, 103628.

Maloney, William F. and Felipe Valencia Caicedo, "The Persistence of (Subnational) Fortune," *The Economic Journal*, 2016, *126* (598), 2363–2401.

Marein, Brian, "Colonial Roads and Regional Inequality," *Journal of Urban Economics*, 2022, *131*, 103492.

Matsuyama, Kiminori, "Increasing Returns, Industrialization, and Indeterminacy of Equilibrium," *The Quarterly Journal of Economics*, May 1991, *106* (2), 617–650.

Michaels, Guy and Ferdinand Rauch, "Resetting the Urban Network: 117–2012," *The Economic Journal*, 2017, *128* (608), 378–412.

Momsen Jr, Richard P, "Routes Over the Serra do Mar: The Evolution of Transportation in the Highlands of Rio De Janeiro and São Paulo," *Revista Geográfica*, 1963, pp. 5–167.

Monte, Ferdinando, Stephen J Redding, and Esteban Rossi-Hansberg, "Commuting, migration, and local employment elasticities," *American Economic Review*, 2018, *108* (12), 3855–3890.

Montiel-Olea, José Luis and Carolin Pflueger, "A Robust Test for Weak Instruments," *Journal of Business & Economic Statistics*, 2013, *31* (3), 358–369.

Morais, Viviane Alves de, "Estradas Interprovinciais no Brasil central: Mato Grosso, Goiás, Minas Gerais (1834-1870)," Master's thesis, Universidade de São Paulo 2010.

Morse, Richard M., "Brazil's Urban Development: Colony and Empire," *Journal of Urban History*, 1974, *1* (1), 39–72.

Morten, Melanie and Jaqueline Oliveira, "The Effects of Roads on Trade and Migration: Evidence from a Planned Capital City," *American Economic Journal: Applied Economics*, 2024, *16* (2), 389–421.

Paik, Christopher and Keshar Shahi, "Ancient nomadic corridors and long-run development in the highlands of Asia," *Explorations in Economic History*, 2022, p. 101482.

Palma, Nuno, "The real effects of monetary expansions: evidence from a large-scale historical experiment," *The Review of Economic Studies*, 2022, *89* (3), 1593–1627.

Portugal, Alexandre and Bruno Barsanetti, "Paths that Led To Gold: Historical Roads, Trade, and Persistence," 2023. Available at SSRN: https://ssrn.com/abstract=4390634.

Rauch, James E., "Does History Matter Only When It Matters Little? The Case of City-Industry Location," *The Quarterly Journal of Economics*, 1993, *108* (3), 843–867.

Redding, Stephen J. and Matthew A. Turner, "Transportation Costs and the Spatial Organization of Economic Activity," in Gilles Duranton, J. Vernon Henderson, and William C. Strange, eds., *Handbook of Regional and Urban Economics*, Vol. 5, Elsevier, 2015, pp. 1339–1398.

_ , Daniel M. Sturm, and Nikolaus Wolf, "History and Industry Location: Evidence from German Airports," *The Review of Economics and Statistics*, 08 2011, *93* (3), 814–831.

Reis, Eustáquio, "Spatial Income Inequality in Brazil, 1872–2000," *EconomiA*, May 2014, *15* (2), 119–140.

_ , "Non-tradables in Brazilian economic history," *EconomiA*, 2023, *24* (2), 149–171.

Roback, Jennifer, "Wages, Rents, and the Quality of Life," *Journal of Political Economy*, 1982, *90* (6), 1257–1278.

Rosenthal, Stuart S. and William C. Strange, "Evidence on the Nature and Sources of Agglomeration Economies," in J. Vernon Henderson and Jacques-François Thisse, eds., *Cities and*

Geography, Vol. 4 of *Handbook of Regional and Urban Economics*, Elsevier, 2004, pp. 2119–2171.

Rossetto, Pedro Francisco, "Reconstituição do traçado da "estrada dos Goiases" no trecho da atual mancha urbana de Campinas," *Anais do Museu Paulista: História e Cultura Material*, 2006, *14* (2), 141–191.

Russell-Wood, A. J. R., "Colonial Brazil: The Gold Cycle, c. 1690–1750," in Leslie Bethell, ed., *The Cambridge History of Latin America*, Vol. 2, Cambridge: Cambridge University Press, 1984, pp. 547–600.

Salvador, Frei Vicente, "História do Brasil (edição revista por Capistrano de Abreu)," *Brasília: Edições do Senado Federal*, 2010.

Schmidt, Carlos Borges, "Tropas e tropeiros," *Journal of Inter-American Studies*, 1959, *1* (2), 103–122.

Simonsen, Roberto C., *História Econômica do Brasil: 1500–1820*, 7 ed., São Paulo: Companhia Editora Nacional, 1977.

Sobel, Michael E, "Asymptotic confidence intervals for indirect effects in structural equation models," *Sociological methodology*, 1982, *13*, 290–312.

Wagner, F. E. and John O. Ward, "Urbanization and Migration in Brazil," *The American Journal of Economics and Sociology*, 1980, *39* (3), 249–259.

Online Appendix to

Old But Gold: Historical Pathways and Path Dependence

Diogo Baerlocher
University of South Florida

Diego Firmino
UFRPE

Guilherme Lambais
Lusíada University of Lisbon

Eustáquio Reis
IPEA

Henrique Veras
UFPE

A Data

A.1 Variables and procedures

Units of observations. The analysis was conducted at two primary levels: municipalities and Minimum Comparable Areas (MCAs). Municipalities are defined as administrative boundaries established by each state legislature. We utilized municipal boundaries from 2010. To ensure consistency when comparing different years, we employed 1920 MCAs as defined by Reis, Pimentel, Alvarenga and Santos (2011): Figure A.1 shows these units. MCAs are areas with stable boundaries corresponding to the municipalities of a given census year. These MCAs group geographical locations from 2010 that historically shared common administrative borders in 1920 or 1872, for example. The shapes and seat locations of each municipality in 2010 were obtained from Pereira, Goncalves, Carabetta and Furtado (2019), and the MCAs are aggregations of these shapes.

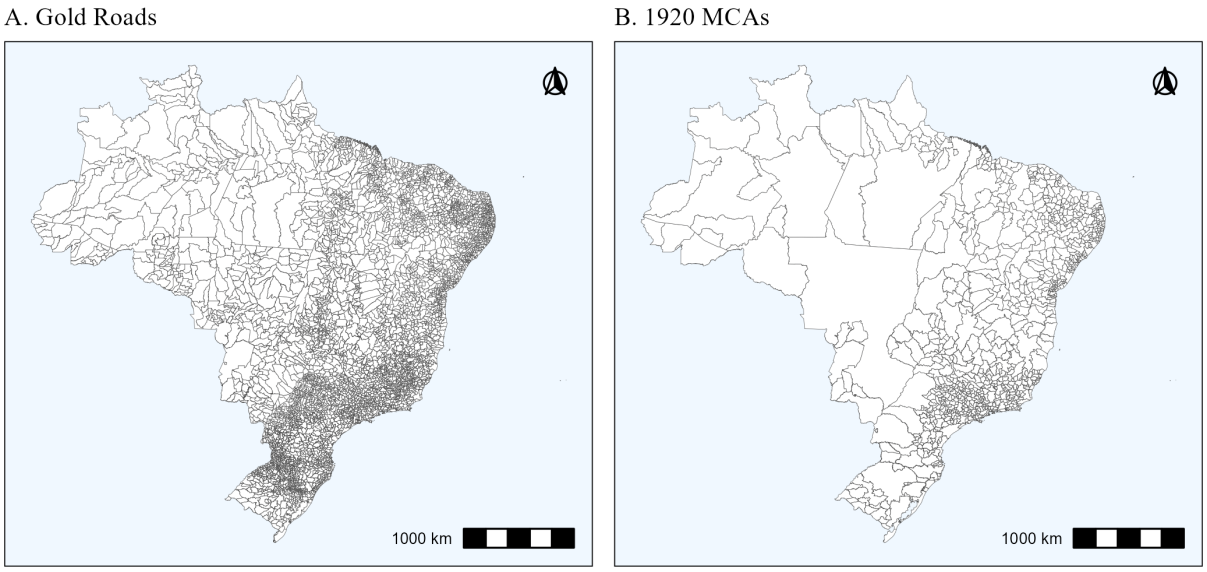

Figure A.1: **Primary units of observations**

Historical roads. The gold roads were georeferenced using a map compiled by Simonsen (1977). We use ArcMap to represent the roads accurately using linestrings.

Least-cost paths. For the gold roads, we calculate least-cost paths (LCPs) between the connecting population centers of the paths in the Simonsen map. For the mule roads, we calculate LCPs between each pair of municipal seats that appear connected in the documents described above. We adopt the approach used by Barjamovic et al. (2019). Namely, we divide the country into 30-arcsecond grid cells and store the elevation of each cell. Then, after computing the slope between cells, we assume that it takes 0.72 seconds to travel 1 meter horizontally. It takes an additional 6 seconds for each vertical meter uphill. Going downhill by 1 vertical meter on a gentle slope (less than or equal to 21.25%) saves 2 seconds per vertical meter, and going downhill on a steep slope (more than 21.25%) adds 2 seconds per vertical meter. With that, we have a cost matrix between grid cells that measures the time required to move from one cell to another. We use this cost matrix to construct the LCPs using Dijkstra's method. These paths allowed connections through all eight adjacent cells. The final output of this process is displayed in Figure 2. Figure G.2B shows the mule road density in 2010 municipalities. Unlike gold roads, where we can compare LCPs with the actual path, for mule roads, we can only compare the effective distance (recorded in the historical documents) with the distance estimated by LCPs. This comparison is displayed in Figure G.2C. It shows that, in general, LCPs are shorter than effective distances, suggesting that these paths are more direct than the actual paths. Nonetheless, estimated distance is a good predictor of effective distance. A linear regression between them yields an R-squared of 0.82, indicating that the variation in the estimated distance explains 82% of the variation in the effective distance.

Historical Settlements. We reconstruct the historical development of Brazilian cities over time using the foundation dates of current municipalities. Our primary data source for these foundation dates is Azevedo (1956). However, this source documents only villages and towns officially recognized by the Portuguese crown up to 1822 and omits or provides incomplete records for many municipalities, likely due to limitations in historical documentation.

To complement this dataset, we gather additional information from the website *IBGE Cidades* (`https://cidades.ibge.gov.br/`), which provides historical details about Brazilian municipal-

ities, including their administrative formation. Using the *python* library *BeautifulSoup*, we extract text from the website and identify the first year following the term *Formação Administrativa*. To ensure accuracy, we exclude any numbers that appear directly after the terms *decreto(s)*, *lei(s)*, and *no*, as these typically refer to law numbers rather than foundation years. This process yields the earliest year for which we have information indicating that a municipality was officially recognized.

Next, we identify the year when a municipality was classified as a parish, district, village, or municipality. This is done by extracting years associated with terms indicating foundation, such as *criado*, *instalado*, or *elevado*, combined with terms referring to these classifications, such as *freguesia*, *vila*, *distrito*, or *cidade*. We then define the foundation date as the earliest year among those identified. If the earliest year corresponds to a settlement classification, we assign this classification to the foundation year. For villages specifically, if the information is available in Azevedo (1956), we prioritize this source.

Economic activity. Our primary indicators of economic activity consist of population density, nightlight incidence, and urban population density. At the municipal and MCA levels, (urban) population density is derived by dividing the (urban) population data from the Brazilian censuses between 1920 and 2010 by the corresponding area. Additionally, we employed nighttime lights as a supplementary metric, defined as the median intensity of nighttime lights under cloudless skies, using satellite data from the Earth Observation Group.

Economic Sectors. Broad sectors are defined to match (as closely as possible) Revision 4 of the International Standard Industrial Classification (ISIC Rev. 4). Particularly, in our classification, agriculture equals "Agriculture, Fishing, and Forestry (code A)"; industry equals "Mining (B)", "Manufacturing (C)", "Utilities (D+E)", and "Construction (F)"; and, services aggregates "Trade Services (G+I)," "Transport Services (H)," "Business Services (J+M+N)," "Financial Services (K)," "Real Estate (L)," "Government Services (O+P+Q)," and "Other Services (R+S+T+U)."

Geography. Geographic variables, including temperature, precipitation, and elevation, were acquired through satellite data sourced from the National Institute for Space Research. These variables represent the median values within each municipality, MCA, or grid cell. Furthermore, we calculated the distances to the coast and rivers based on data from the same sources. All distances were measured in meters.

Modern transportation. Information about the location of railway, train stations, and roadways is from shapefiles provided by the Brazilian Ministry of Transportation, except the highway shape files for 1940 and 1950, which are from Morten and Oliveira (2024).

Spatial operations. Most spatial operations were computed using R's simple features package (Pebesma, 2018). Areas were constructed using the South America Albers Equal Area Conic projection, whereas distances were computed using the South America Albers Equidistant Conic projection. LCPs were constructed using the geopandas library for Python.

A.2 Summary statistics

Below, we present descriptive statistics for a range of variables related to our municipality sample, as shown in Panel A. The variables include demographic and geographic measures, with each row presenting statistics such as the mean, standard deviation, minimum, maximum, and key percentiles (25th, 50th, and 75th). For example, the "Population Density" variable has a mean of 100.82, with a high standard deviation of 523.64, indicating considerable variation across municipalities. The "Urbanization Rate" has a mean of 0.64 and a standard deviation of 0.22, suggesting relatively moderate urbanization across the sample, with most municipalities concentrated near the middle values, as indicated by the percentiles.

Other variables, such as "Gold Roads Density" and "Distance to River," exhibit more skewed distributions. The "Gold Roads Density" has a mean of 0.05, but its distribution is heavily concentrated at 0, with very few municipalities exhibiting higher values. Similarly, the "Distance to River" has a large standard deviation of 76,462.76, indicating considerable variation in proximity

to rivers, with distances ranging from 20 to over 485,000 meters. The diversity in these variables, from physical geography (such as “Elevation” and “Ruggedness”) to infrastructure (such as “Gold Roads Density” and “Nightlights”), reflects the complexity of the factors that can affect a municipality’s characteristics.

Table A.1: Summary Statistics

Variables	Count	Mean	Std..Dev.	Min	Percentile 25th	50th	75th	Max
Panel A - Municipality - Full Sample								
Population Density	5197	100.82	523.64	0.23	12.67	25.24	53.11	12512.49
Log(Nightlights)	5197	1.91	1.06	0.04	1.19	1.64	2.37	4.61
Urbanization Rate	5196	0.64	0.22	0.06	0.48	0.65	0.82	1
Gold Road Density	5197	0.05	0.15	0	0	0	0	1
Ruggedness	5197	45.43	32.57	2.19	21.46	33.57	61.59	187.45
Elevation	5197	462.85	283.81	1.86	240.94	443.77	665.31	1640.35
Precipitation	5197	1318.36	381.15	367.23	1101.09	1357.84	1565.58	2789.36
Temperature	5197	22.24	2.93	13.75	19.9	22.42	24.57	27.8
Area	5197	940.03	2049.97	3.57	195.39	382.97	876.53	64961.41
Distance to River	5197	96298.93	76462.76	20	39892.62	80306.51	134824.42	485309.82
Distance to Coast	5197	322306.63	293762.47	16.76	106725.14	250726.54	439163.64	1719448.87
Panel B - Municipality - Only Neighbors								
Population Density	2088	150.41	741.86	0.23	10.95	23.02	56.18	12512.49
Log(Nightlights)	2088	1.95	1.15	0.06	1.15	1.57	2.44	4.61
Urbanization Rate	2087	0.68	0.21	0.08	0.52	0.7	0.86	1
Gold Road Density	2088	0.13	0.22	0	0	0	0.22	1
Ruggedness	2088	45.01	30.34	2.19	23.05	36.81	59.95	187.45
Elevation	2088	547.89	305.81	1.86	310.37	554.57	786.83	1640.35
Precipitation	2088	1342.25	358.32	429.27	1178.28	1419.04	1550.5	2789.36
Temperature	2088	21.74	3.01	13.75	19.54	21.4	24.02	27.64
Area	2088	1212.81	3110.43	3.57	242.18	486.54	1110.68	84215.61
Distance to River	2088	85958.57	63854.76	20	33245.68	75458.98	127280.57	328388.78
Distance to Coast	2088	356084.76	330415.71	50	108824.41	277560.04	460326.03	1719448.87
Panel C - 1920 MCA - Full Sample								
Pop. Density 1920	856	22.11	31.11	0.13	5.94	14.47	30.97	642.73
Pop. Density 1940	856	25.58	45.89	0.26	7.97	17.91	33.1	1061.36
Pop. Density 1950	856	29.01	60.69	0.33	9.8	20.56	34.67	1388.56
Pop. Density 1960	856	35.5	90.09	0.51	11.4	23.39	39.74	1812.48
Pop. Density 1970	856	44.52	138.38	0.66	13.56	25.72	43	2721.36
Pop. Density 1980	856	57.04	200.33	0.66	14.65	28.77	51.04	4147.5
Pop. Density 1990	856	71.78	258.17	0.72	16.54	32.06	60.97	5609.81
Pop. Density 2000	856	84.08	305.35	0.75	17.72	35.62	68.73	6792.15
Pop. Density 2010	856	95.1	346.58	0.87	19.07	38.42	77.14	7777.9
N. of Settlements 1720	856	0.04	0.22	0	0	0	0	3
N. of Settlements 1770	856	0.18	0.5	0	0	0	0	4
N. of Settlements 1820	856	0.34	0.66	0	0	0	1	4
N. of Settlements 1870	856	1.06	1.24	0	0	1	1	12
N. of Settlements 1920	856	2.19	3.45	0	1	1	2	69
Gold Road Density	856	0.07	0.13	0	0	0	0.08	0.79
Mule Road Density	856	0.31	0.27	0	0.06	0.26	0.49	1
Ruggedness	856	46.27	32.81	3.32	22.78	34.94	61.28	187.45
Elevation	856	490.74	307.27	5.79	204.59	510.65	726.05	1446.15
Precipitation	856	1237.32	342.15	428.93	999.57	1301.22	1467.3	2301.19
Temperature	856	222.84	28.17	151.31	200.68	224.13	244.09	277.83
Area	856	5643.09	37424.54	86.58	630.44	1417.2	3776.98	1056852.55
Distance to River	856	82358.33	63955.1	20	36321.91	69844.52	112033.45	455347.18
Distance to Coast	856	225861.84	214173.41	50	67859.43	171345.33	311199.14	1419954.19
Expected Mule Density	856	0.33	0.19	0	0.18	0.31	0.46	0.98

B Details: Current population distribution

Table B.1 presents the main results in Section 3 using alternative specifications. The table contains eight columns. In Column (1), the sample is expanded to include all municipalities, including those in states in the Amazon River basin, which are usually excluded. In Column (2), we exclude from the main sample municipalities in which the seat is within 100 km of the coast to test if the results are driven by the dynamics of the population settlements on the coast. In Column (3), we exclude first-order neighbors. In Column (4), we exclude municipalities with gold mines to rule out any potential effect of having gold in itself.[29] In Column (5), we apply the inverse hyperbolic transformation to the measure of road density to deal with the right-skewness of the data in the presence of zero values. In Column (6), we use an indicator variable capturing whether road density is positive as the independent variable to mitigate concerns about measurement error in the road density variables. In Column (7), we test whether the results hold within 1872 MCAs, and in Column (8), we present spatially robust standard errors suggested by Conley (1999).

Next, we extend our analysis to address concerns about spatial dependence in both the error term and unobserved spatial heterogeneity. All baseline specifications already account for spatially correlated errors by clustering standard errors at the 1872 MCA level. In addition, we verified that our results are robust to Conley (1999) spatially corrected standard errors, which allow for arbitrary correlation in the residuals within a given distance band. To further mitigate the possibility that unobserved characteristics vary smoothly across space and correlate with the location of historical roads, we follow Kelly et al. (2023) and include a thin plate spline in latitude and longitude. This flexible surface captures broad spatial trends and other slowly varying factors that might confound the relationship between gold-road density and modern outcomes.

Table B.2 reports results from these exercises. Columns (1) and (4) reproduce the baseline OLS and 2SLS estimates for reference. Columns (2)–(3) and (5) include the thin plate spline, either directly in the model (GAM) or by residualizing the variables on the spline before estimation. At the municipality level (Panel A), the coefficient on gold-road density decreases somewhat when

[29] A total of 101 municipalities were identified in IBGE (1957) and Russell-Wood (1984).

the spline is introduced, suggesting that the flexible spatial surface absorbs part of the large-scale geographic variation. However, the effect remains sizable and statistically significant. At the MCA level (Panel B), the coefficients are nearly unchanged across all specifications, confirming that aggregation effectively mitigates local spatial dependence. Finally, the wage regressions in Panel C show that the estimated agglomeration elasticity is also robust to the inclusion of the spatial spline. Together, these findings demonstrate that our results are not driven by broad spatial trends or residual spatial correlation in the data.

Table B.3 reports a robustness exercise examining how the estimated coefficient on historical gold-road density changes with the sequential inclusion of control variables. This analysis helps assess whether the estimated relationship between gold-road density and modern population density is sensitive to specific covariates or driven by omitted-variable bias. We first add the main groups of geographic and climatic controls—terrain ruggedness, elevation, precipitation, temperature, and municipality area—followed by distance to major rivers and the coastline. As an additional robustness test, we also include crop-suitability indexes for coffee, sugarcane, and wheat obtained from the FAO Global Agro-Ecological Zones (GAEZ) database, measured under rain-fed conditions and low-input intensity as in Portugal and Barsanetti (2023). The results show that the coefficient on gold-road density remains positive, statistically significant, and largely stable across all specifications, indicating that the main findings are not sensitive to the inclusion of these additional controls.

Table B.1: Gold roads and current agglomerations - Alternative Specifications

	Amazon Sample	No-Coast Sample	No Neighbor Sample	No Gold City Sample	IHS	Dummy	MCA FE	Conley (160km)
	(1)	(2)	(3)	(4)	(5)	(6)	(7)	(8)
Panel A - Dependent Variable: Population Density								
Gold Road Density	2.31***	1.74***	2.05***	2.14***	2.36***	0.889***	1.82***	2.22***
	(0.493)	(0.665)	(0.483)	(0.630)	(0.604)	(0.182)	(0.637)	(0.587)
Observations	5,501	1,613	4,425	2,001	2,088	2,088	2,088	2,088
Cluster Groups	439	174	422	256	260	260	260	2,054
Kleibergen-Paap F	130.55	63.082	145.10	74.692	101.19	180.51	55.134	76.572
Panel B - Dependent Variable: Nightlights								
Gold Road Density	1.51***	1.10**	1.30***	1.38***	1.52***	0.617***	1.11**	1.43***
	(0.296)	(0.474)	(0.269)	(0.421)	(0.406)	(0.156)	(0.439)	(0.394)
Observations	5,501	1,613	4,425	2,001	2,088	2,088	2,088	2,088
Cluster Groups	439	174	422	256	260	260	260	2,054
Kleibergen-Paap F	130.55	63.082	145.10	74.692	101.19	180.51	55.134	76.572
Panel C - Dependent Variable: Urban Population Density								
Gold Road Density	2.70***	1.96**	2.37***	2.42***	2.69***	1.01***	2.17***	2.54***
	(0.537)	(0.757)	(0.510)	(0.698)	(0.676)	(0.209)	(0.729)	(0.677)
Observations	5,500	1,612	4,424	2,000	2,087	2,087	2,087	2,087
Cluster Groups	439	174	422	256	260	260	260	2,053
Kleibergen-Paap F	130.19	62.501	144.32	74.228	100.69	182.17	54.751	76.004
Panel D - Dependent Variable: Urbanization Rate								
Gold Road Density	0.225***	0.141*	0.190***	0.159***	0.196***	0.069***	0.192***	0.185**
	(0.046)	(0.077)	(0.040)	(0.060)	(0.062)	(0.023)	(0.072)	(0.072)
Observations	5,500	1,612	4,424	2,000	2,087	2,087	2,087	2,087
Cluster Groups	439	174	422	256	260	260	260	2,053
Kleibergen-Paap F	130.19	62.501	144.32	74.228	100.69	182.17	54.751	76.004

Notes: All columns present 2SLS estimates using LCP density as an IV for gold road density. All columns include state fixed effects and include the following geography controls: the log-transformed median values of precipitation, temperature, elevation, terrain ruggedness, area, distance to rivers, and distance to the coast, along with a second-order latitude-longitude polynomial. Column (7) includes MCA fixed effects. Standard errors, clustered at the level of 1872 MCAs, are shown in parentheses, except in Column (8) where Conley standard errors are used. The sample includes 2010 municipalities intersected by gold roads and their first-order neighbors, excluding those in states heavily influenced by the Amazon River basin and municipalities with settlements that existed prior to 1694. Column (1) includes all municipalities with available data, including the Amazon River basin states usually excluded, Column (2) excludes municipalities within a 100-kilometers range from the coast, Column (3) excludes first-order neighbors, and Column (4) excludes historical cities where gold was discovered. Panel *Population Density*, *Nightlights*, and *Urban Population Density* are the log-transformed values of population over area, median nightlight incidence, and urban population over area, respectively. Urbanization is the ratio of urban population to total population. *Gold Road Density* is defined as the area within a 5-kilometer buffer around gold roads within a municipality, relative to the municipality's total area. In Column (5), the density is transformed by the inverse hyperbolic sine. In Column (6), *Gold Road Density* represents a binary variable indicating if gold road density is positive. $^{*}p < 0.1, ^{**}p < 0.05, ^{***}p < 0.01$

Table B.2: Spatial Robustness

	OLS			2SLS	
	Baseline (1)	GAM (2)	TPS Res. (3)	Baseline (4)	TPS Res. (5)
Panel A - Municipalities - Dep. Var.: Population Density					
Gold Road Density	0.839***	0.700***	0.713***	2.22***	1.75***
	(0.202)	(0.104)	(0.184)	(0.576)	(0.499)
Observations	2,088	2088	2,088	2,088	2,088
Kleibergen-Paap F				94.796	96.426
Panel B - MCA - Dep. Var.: Population Density					
Gold Road Density	0.874***	0.839***	0.860***	1.60***	1.66***
	(0.274)	(0.244)	(0.266)	(0.473)	(0.474)
Observations	604	604	604	604	604
Kleibergen-Paap F				175.39	165.83
Panel C - Individual - Dep. Var.: Hourly Wages					
Pop. Density				0.103***	0.096***
				(0.028)	(0.034)
Lag. Pop. Density				-0.030	-0.025
				(0.021)	(0.023)
Observations				8,957,715	8,957,715
Kleibergen-Paap F				23.687	28.303

Notes: Standard errors, clustered at the level of 1872 MCAs in Panel A, heteroskedasticity-robust in Panel B, and Conley in Panel C, are shown in parentheses. In Panel A, the sample includes 2010 municipalities, excluding those in states heavily influenced by the Amazon River basin and municipalities with settlements that existed prior to 1694. It also restricts the sample to municipalities intersected by gold roads and their first-order neighbors. Panel B imposes the same restrictions at the MCA level. Panel C contains individuals in those MCAs. The dependent variable is *Population Density*, the log-transformed values of population over area, in Panels A and B, and the log of individual-level hourly wages in Panel C. *Gold Road Density* is defined as the area within a 5-kilometer buffer around gold roads within a municipality, relative to the municipality's total area. The 2SLS specification uses LCP density as an IV for gold road density. *Geography Controls* are included in all models. $^{*}p < 0.1, ^{**}p < 0.05, ^{***}p < 0.01$

Table B.3: Robustness to Sequential Inclusion of Control Variables

	None	TRI	Elev.	Prec.	Temp.	Area
	(1)	(2)	(3)	(4)	(5)	(6)
Gold Road Density	3.38***	3.43***	3.22***	3.21***	3.13***	2.30***
	(0.692)	(0.690)	(0.715)	(0.715)	(0.722)	(0.548)
Observations	2,088	2,088	2,088	2,088	2,088	2,088
Kleibergen-Paap F	123.49	124.45	120.33	120.96	115.47	104.61
	Dist. River	Dist. Coast	Coffee	Sugar	Wheat	Lat-Long
	(7)	(8)	(9)	(10)	(11)	(12)
Gold Road Density	2.30***	2.26***	2.26***	2.23***	2.22***	2.19***
	(0.550)	(0.580)	(0.564)	(0.561)	(0.551)	(0.550)
Observations	2,088	2,088	2,088	2,088	2,088	2,088
Kleibergen-Paap F	104.86	97.576	100.74	100.51	100.01	96.722

Notes: Standard errors, clustered at the level of 1872 MCAs, are shown in parentheses. The sample includes municipalities as defined in 2010, excluding those in states heavily influenced by the Amazon River basin and municipalities with settlements that existed prior to 1694. All models restrict the sample to municipalities intersected by gold roads and their first-order neighbors. The dependent variable is *Population Density*, the log-transformed values of population over area. *Gold Road Density* is defined as the area within a 5-kilometer buffer around gold roads within a municipality, relative to the municipality's total area. The 2SLS specification uses LCP density as an IV for gold road density. *Geography Controls* are included stepwise in each model. $^{*}p < 0.1, ^{**}p < 0.05, ^{***}p < 0.01$

C Details: The dynamics of agglomeration

This section presents detailed regression results analyzing the relationship between historical roads and population density across different decades using census data. While the main text provides a summary of these findings in the form of figures, the tables in this appendix offer a comprehensive account of the estimated coefficients, standard errors, and additional statistics, such as the number of observations and model fit measures. These tables provide the numerical foundation for the visual trends discussed in the main text, offering readers a more detailed view of the data and results. Additionally, Figure C.1 shows a strong positive correlation between population density and settlement density, which validates the settlement density analysis.

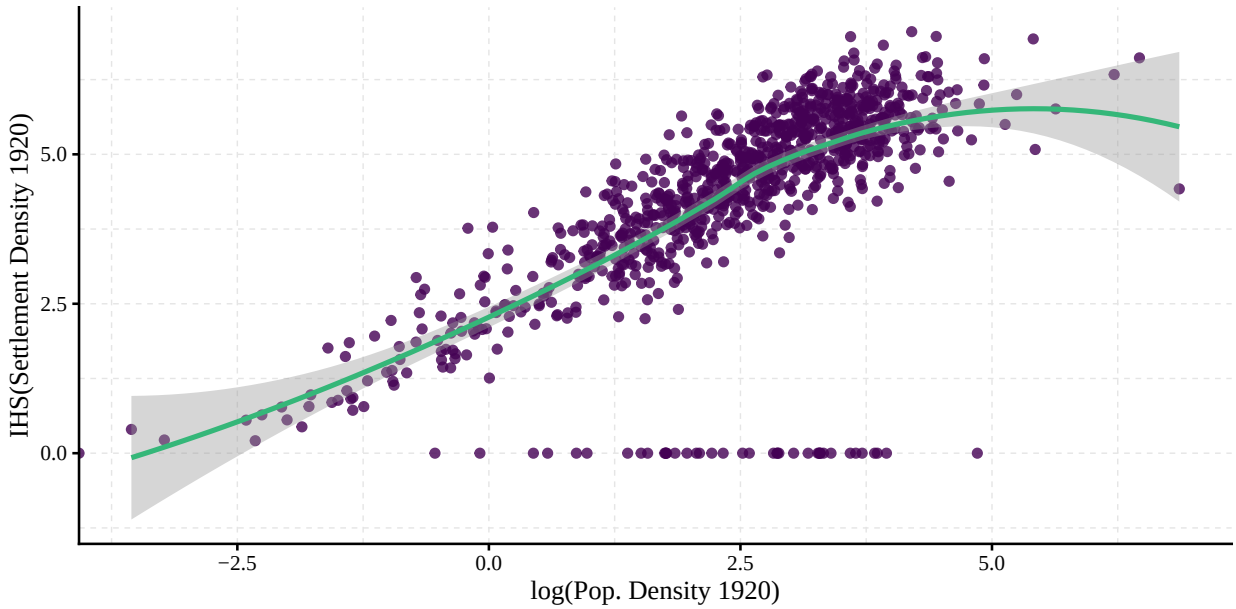

Figure C.1: **Correlation between population density and settlement density in 1920.**

Table C.1 presents the regression estimates evaluating the relationship between gold road density and population density across various decades from 1920 to 2010. The sample is split into two subsamples: the Full Sample, which excludes municipalities significantly influenced by the Amazon River basin and historical settlements, and the Only Neighbors sample, which includes municipalities traversed by historical roads and their neighbors. All models are estimated using

2SLS with instrumental variables to address potential endogeneity. Geography and state-level fixed effects, along with additional controls, are included to isolate the impact of road density.

The coefficients on Gold Road Density in Panels A and B demonstrate a consistently increasing positive association with population density over time. This relationship becomes statistically significant starting in 1950, with the magnitude of the coefficients stabilizing by 1980. These results suggest a long-term impact of gold roads on population density. In contrast, the coefficients for Mule Road Density in Panels C and D are generally smaller in magnitude but become significant in later decades, particularly after 1970. This suggests that while mule roads may have been less influential in earlier periods, their historical presence contributed to population density growth in the latter half of the 20th century. The robust Kleibergen-Paap F-statistics across all panels confirm the strength of the instrumental variable approach.

Table C.2 reports regression estimates using the 1872 MCAs to explore how gold road density relates to population density over time. Comparing these results to Panels A and B of Table C.1 highlights the advantages of using 1920 MCAs over 1872 MCAs. Across all columns, the standard errors in Table C.2 are significantly larger than those in Table C.1, resulting in fewer statistically significant coefficients. This difference suggests that the earlier administrative boundaries introduce additional noise or less precise spatial alignment, undermining the robustness of the estimates.

The Kleibergen-Paap F-statistics in Table C.2 are consistently lower than those in Table C.1, indicating weaker instrument relevance when using 1872 MCAs. Additionally, while the temporal dynamics of the coefficients follow a broadly similar pattern, with coefficients increasing over time and stabilizing toward the later decades, the magnitudes for the 1872 MCAs are generally smaller. For example, in the "Only Neighbors" sample (Panel B of Table C.2), gold road density coefficients are weaker and lack significance in earlier years compared to the corresponding results in Panel B of Table C.1. This disparity underscores the value of using the more updated 1920 MCAs, which provide more reliable and precise estimates while preserving similar trends.

Table C.3 explores the relationship between gold road density and settlement density before the first national census in 1872. The table uses settlement density—calculated as the number of

Table C.1: Gold roads and population density over time

	Year								
	1920	1940	1950	1960	1970	1980	1990	2000	2010
	(1)	(2)	(3)	(4)	(5)	(6)	(7)	(8)	(9)
Panel A - Full Sample - Dep. Var.: Population Density									
Gold Road Density	0.110	0.266	0.657***	0.956***	1.20***	1.39***	1.46***	1.54***	1.55***
	(0.271)	(0.205)	(0.198)	(0.191)	(0.220)	(0.227)	(0.203)	(0.160)	(0.111)
Observations	856	856	856	856	856	856	856	856	856
Kleibergen-Paap F	81.564	81.564	81.564	81.564	81.564	81.564	81.564	81.564	81.564
Panel B - Only Neighbors - Dep. Var.: Population Density									
Gold Road Density	0.219	0.438	0.785***	1.06***	1.27***	1.47***	1.55***	1.61***	1.60***
	(0.351)	(0.269)	(0.208)	(0.189)	(0.165)	(0.162)	(0.184)	(0.185)	(0.173)
Observations	604	604	604	604	604	604	604	604	604
Kleibergen-Paap F	75.872	75.872	75.872	75.872	75.872	75.872	75.872	75.872	75.872

Notes: Spatially corrected standard errors are shown in parentheses. All columns report 2SLS estimates, using LCP density as an IV for gold road density. Each specification includes state fixed effects and geography controls, including the log-transformed median values of precipitation, temperature, elevation, terrain ruggedness, area, distance to rivers, and distance to the coast, as well as a second-order latitude-longitude polynomial. In Panel A, the *Full Sample* consists of 1920 MCAs, excluding those in states predominantly influenced by the Amazon River basin and MCAs with settlements predating 1694. In Panel B, the *Only Neighbors* sample includes only MCAs traversed by historical roads and their immediate neighbors. *Population Density* is calculated as the log-transformed population per unit area. *Gold Road Density* is defined as the proportion of a MCA's area within a 5-kilometer buffer surrounding gold roads. $^{*}p < 0.1, ^{**}p < 0.05, ^{***}p < 0.01$

Table C.2: Gold roads and population density over time (1872 MCAs)

	Year									
	1872	1920	1940	1950	1960	1970	1980	1990	2000	2010
	(1)	(2)	(3)	(4)	(5)	(6)	(7)	(8)	(9)	(10)
Panel A - Full Sample - Dep. Var.: Population Density										
Gold Road Density	0.746	-0.335	-0.212	0.278	0.717	0.999	1.14	1.08	1.02	0.948
	(0.507)	(0.431)	(0.544)	(0.557)	(0.581)	(0.643)	(0.694)	(0.717)	(0.716)	(0.723)
Observations	360	363	363	363	363	363	363	363	363	363
Kleibergen-Paap F	28.250	28.269	28.269	28.269	28.269	28.269	28.269	28.269	28.269	28.269
Panel B - Only Neighbors - Dep. Var.: Population Density										
Gold Road Density	0.589	-0.546	-0.411	0.080	0.540	0.851	1.01	0.984	0.945	0.900
	(0.502)	(0.463)	(0.540)	(0.539)	(0.540)	(0.615)	(0.673)	(0.703)	(0.718)	(0.739)
Observations	300	302	302	302	302	302	302	302	302	302
Kleibergen-Paap F	30.808	30.768	30.768	30.768	30.768	30.768	30.768	30.768	30.768	30.768

Notes: Spatially corrected standard errors are shown in parentheses. All columns report 2SLS estimates, using LCP density as an IV for gold road density. Each specification includes state fixed effects and geography controls, including the log-transformed median values of precipitation, temperature, elevation, terrain ruggedness, area, distance to rivers, and distance to the coast, as well as a second-order latitude-longitude polynomial. In Panel A, the *Full Sample* consists of 1872 MCAs, excluding those in states predominantly influenced by the Amazon River basin and MCAs with settlements predating 1694. In Panel B, the *Only Neighbors* sample includes only MCAs traversed by historical roads and their immediate neighbors. *Population Density* is calculated as the log-transformed population per unit area. *Gold Road Density* is defined as the proportion of a municipality's area within a 5-kilometer buffer surrounding gold roads. $^{*}p < 0.1, ^{**}p < 0.05, ^{***}p < 0.01$

settlements per unit area—as the dependent variable, with variations that weight towns 10 times larger than other settlements (Panels C and D). By examining settlement density over time, this table provides insights into the historical role of gold roads in shaping pre-census agglomeration patterns.

The results indicate that gold roads significantly influenced settlement density during the peak of the gold cycle (1720). In Panels A and B, covering the full sample and the "Only Neighbors" sample, respectively, the coefficients on gold road density are consistently positive and significant during this period, with magnitudes peaking in the late 18th and early 19th centuries. These effects diminish over time, becoming small and statistically insignificant by 1870 and 1920. A similar pattern is observed in Panels C and D, where settlements are weighted by size, further reinforcing the idea that gold roads were instrumental in shaping historical settlement clusters.

Interestingly, the diminishing significance of gold road density post-1820 aligns with broader economic and social transitions, including the decline of the gold economy and shifts in transportation technology. The stronger coefficients during earlier periods suggest that gold roads played a pivotal role in fostering initial settlement density, particularly in municipalities and neighboring regions traversed by these roads. These findings emphasize the historical importance of infrastructure investments in driving agglomeration, even as their effects wane over time as economic contexts evolve.

Table C.3: Historical roads and settlement density over time

	Year							
	1570	1620	1670	1720	1770	1820	1870	1920
	(1)	(2)	(3)	(4)	(5)	(6)	(7)	(8)
Panel A - Full Sample - Dep. Var.: Settlement Density								
Gold Road Density	0.579	0.743	2.59**	2.35***	2.43**	2.88**	0.240	0.004
	(0.497)	(0.453)	(1.29)	(0.753)	(1.23)	(1.42)	(0.414)	(0.358)
Observations	910	910	910	856	856	856	856	856
Kleibergen-Paap F	106.90	106.90	106.90	81.240	81.240	81.240	81.240	94.750
Panel B - Only Neighbors - Dep. Var.: Settlement Density								
Gold Road Density	0.531	0.669	2.54**	2.25**	1.93	2.54*	-0.355	0.114
	(0.534)	(0.455)	(1.27)	(0.887)	(1.20)	(1.39)	(0.558)	(0.106)
Observations	638	638	638	604	604	604	604	604
Kleibergen-Paap F	91.546	91.546	91.546	67.746	67.746	67.746	67.746	67.746
Panel C - Full Sample - Dep. Var.: Settlement Density (Towns = 10 × Settlements)								
Gold Road Density	0.668	0.787*	2.55*	2.05***	2.10*	2.60**	0.765	-0.196
	(0.479)	(0.438)	(1.31)	(0.647)	(1.07)	(1.21)	(0.664)	(0.460)
Observations	910	910	910	856	856	856	856	856
Kleibergen-Paap F	106.90	106.90	106.90	81.240	81.240	81.240	81.240	81.240
Panel D - Only Neighbors - Dep. Var.: Settlement Density (Towns = 10 × Settlements)								
Gold Road Density	0.632	0.731*	2.49*	1.98***	1.74	2.39**	-0.094	-0.127
	(0.495)	(0.435)	(1.28)	(0.760)	(1.08)	(1.21)	(0.778)	(0.506)
Observations	638	638	638	604	604	604	604	604
Kleibergen-Paap F	91.546	91.546	91.546	67.746	67.746	67.746	67.746	67.746
Panel E - Only Neighbors - Dep. Var.: Settlement Density (Poisson Pseudo Max. Likelihood)								
Gold Road Density	2.40	5.65*	3.57***	2.48	1.86**	1.60**	0.293	0.324***
	(8.49)	(2.99)	(1.02)	(1.57)	(0.822)	(0.650)	(0.186)	(0.098)
Observations	246	281	341	424	568	597	604	604

Notes: Spatially corrected standard errors are reported in parentheses. All columns present 2SLS estimates using LCP density as an IV for gold road density, except in Panel E where a Poisson Pseudo-Maximum Likelihood method is used. Each specification includes state fixed effects and controls for geography, including the log-transformed median values of precipitation, temperature, elevation, terrain ruggedness, area, distance to rivers, and distance to the coast, as well as a second-order latitude-longitude polynomial. In Panel A, the *Full Sample* consists of 1920 MCAs, excluding those in states predominantly influenced by the Amazon River basin and MCAs with settlements predating 1694, except in Columns (1) to (3), where MCAs with early settlements are retained. In Panel B, the *Only Neighbors* sample includes only MCAs traversed by historical roads and their immediate neighbors. *Settlement Density* is calculated as the inverse hyperbolic sine transformation of the number of settlements per unit area, except in Panel E where the transformation is not applied. In Panels C and D, towns and villages are weighted 10 times as large as other settlements. *Gold Road Density* is defined as the proportion of a municipality's area within a 5-kilometer buffer surrounding gold (or mule) roads. $^{*}p < 0.1, ^{**}p < 0.05, ^{***}p < 0.01$

D Details: Modern transportation

Figure D.1 overlays the historical gold road network with the evolution of Brazil's modern intercity road system from 1960 to 2010. The purpose of this figure is to examine whether modern transportation investments mechanically reproduce the spatial pattern of the historical routes, which could raise concerns that our findings simply reflect modern road placement rather than long-run persistence. Across all decades, the modern network expands substantially and follows routes optimized for twentieth-century connectivity rather than the historical alignments of the gold cycle period. While a few corridors intersect, the majority of modern highways diverge sharply from the gold road network, particularly in the Northeast, Southeast, and Center-West regions. This visual evidence suggests that the modern road system does not systematically trace the historical network, reinforcing the main-text results showing that controlling flexibly for modern road density leaves the estimated long-run effects of gold roads essentially unchanged. Table D.1 examines the long-term impact of historical roads on population density in Brazil from 1940 to 2010 after controlling for modern highway density.

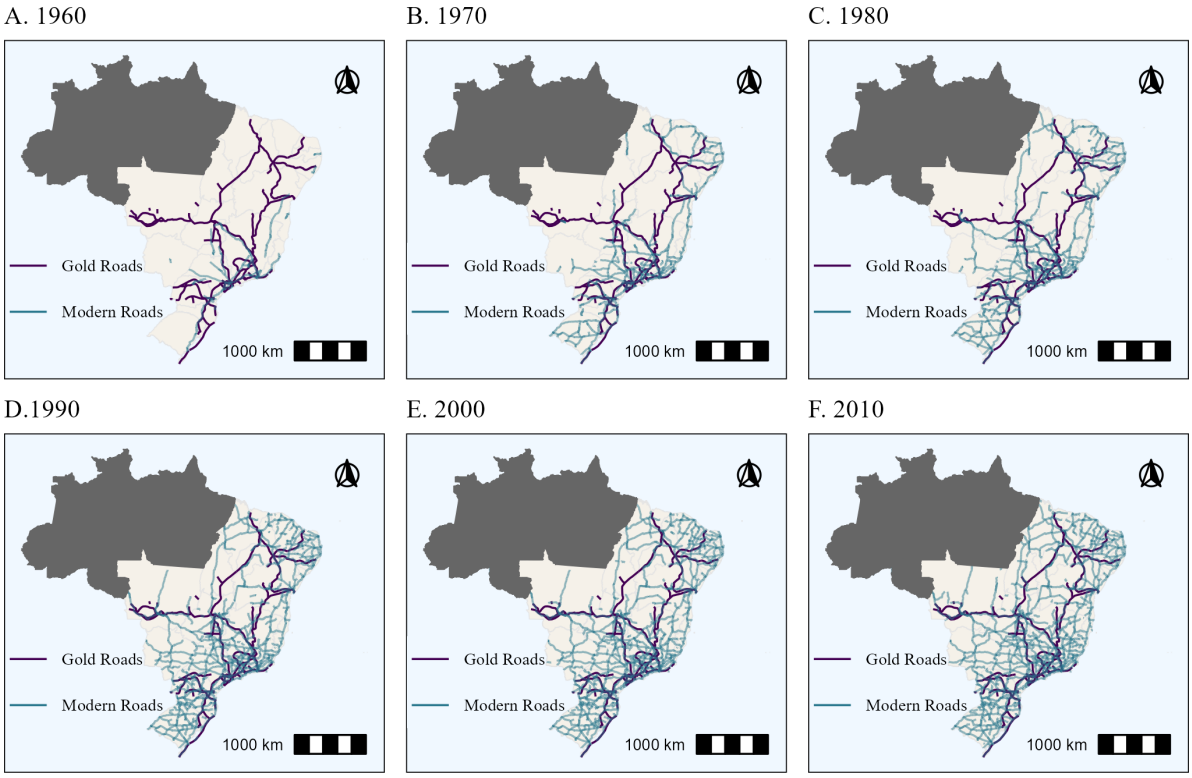

Figure D.1: **Gold roads and modern roads.** *Notes:* Spatial distribution of gold roads and modern roads. Gold roads were georeferenced from maps in Simonsen (1977). Modern roads are from shapefiles provided by the Brazilian Ministry of Transportation.

Table D.1: Gold roads, modern roads, and agglomerations over time

	Year							
	1940	1950	1960	1970	1980	1990	2000	2010
	(1)	(2)	(3)	(4)	(5)	(6)	(7)	(8)
Panel A - Full Sample - Dep. Var.: Population Density								
Gold Road Density	0.274	0.672***	0.764***	0.866***	0.973***	0.961***	1.09***	1.07***
	(0.197)	(0.194)	(0.159)	(0.223)	(0.219)	(0.210)	(0.165)	(0.135)
Highway Density	0.112	-0.572	0.561***	0.908***	1.21***	1.43***	1.51***	1.52***
	(0.412)	(0.386)	(0.203)	(0.159)	(0.157)	(0.165)	(0.144)	(0.137)
Observations	856	856	856	856	856	856	856	856
Kleibergen-Paap F	78.408	81.376	85.005	78.663	81.047	82.011	81.829	82.458
Panel B - Only Neighbors - Dep. Var.: Population Density								
Gold Road Density	0.464*	0.802***	0.855***	0.887***	1.01***	1.05***	1.15***	1.10***
	(0.245)	(0.207)	(0.141)	(0.163)	(0.138)	(0.182)	(0.202)	(0.195)
Highway Density	0.596*	-0.447	0.625***	0.963***	1.19***	1.38***	1.45***	1.48***
	(0.331)	(0.401)	(0.087)	(0.076)	(0.077)	(0.109)	(0.073)	(0.052)
Observations	604	604	604	604	604	604	604	604
Kleibergen-Paap F	72.341	76.366	76.829	76.478	79.552	78.751	79.086	80.980

Notes: Spatially corrected standard errors are shown in parentheses. All columns report 2SLS estimates, using LCP density as an IV for gold road density. Each specification includes state fixed effects and geography controls, including the log-transformed median values of precipitation, temperature, elevation, terrain ruggedness, area, distance to rivers, and distance to the coast, as well as a second-order latitude-longitude polynomial. The *Full Sample* consists of 1920 MCAs, excluding those in states predominantly influenced by the Amazon River basin and MCAs with settlements predating 1694. The *Only Neighbors* sample includes only MCAs traversed by historical roads and their immediate neighbors. *Population Density* is calculated as the log-transformed population per unit area. *Gold Road Density* is defined as the proportion of a MCA's area within a 5-kilometer buffer surrounding gold roads. *Highway Density* is defined as the proportion of a MCA's area within a 5-kilometer buffer surrounding modern roads. $^{*}p < 0.1, ^{**}p < 0.05, ^{***}p < 0.01$

E Details: Seeds of agglomeration

In this section, we present additional tables and results related to the characteristics of settlements associated with historical roads, their rate of population growth, and the stock of migrants.

Table E.1 explores the relationship between historical road densities and population growth across decades. The results indicate that gold road density positively and significantly influenced population growth during the early decades (1920–1960). The coefficients in Panel A are significant at the 1% level for 1940–1960, with a diminishing impact in later decades, turning insignificant or negative by 2000. Similarly, Panel B (neighbors only) shows a robust positive effect for 1920–1960, but the influence diminishes afterward, becoming marginally negative by 2000.

Table E.2 analyzes the relationship between gold road densities and migrant density across four panels. Gold road density is positively and significantly associated with higher migrant density from both other municipalities and states, with stronger effects observed in the neighbors-only sample. This suggests that proximity to gold roads facilitated migration. The temporal patterns indicate that the influence of gold roads on migration persists over time, although the effect slightly diminishes in later decades. Overall, historical road networks, particularly gold roads, had a lasting influence on migration, with stronger localized effects.

Table E.3 explores the relationship between gold road densities and urbanization rates over time. Panels A and B show that gold road density is significantly associated with higher urbanization rates across all years, with the strongest effects in the neighbors-only sample. This suggests that areas near gold roads experienced greater urbanization, with the influence remaining significant throughout the twentieth century. The coefficients for gold road density remain positive and statistically significant, though their magnitudes decrease slightly over time.

Table E.1: Gold roads and population growth over time

	Year							
	1920	1940	1950	1960	1970	1980	1990	2000
	(1)	(2)	(3)	(4)	(5)	(6)	(7)	(8)
Panel A - Full Sample - Dep. Var.: Population Growth								
Gold Road Density	0.009	0.040***	0.028***	0.021***	0.009*	0.0002	0.005	-0.002
	(0.007)	(0.011)	(0.007)	(0.005)	(0.005)	(0.003)	(0.005)	(0.003)
Observations	856	856	856	856	856	856	856	856
Kleibergen-Paap F	81.739	82.634	85.645	87.876	89.864	90.694	90.379	90.418
Panel B - Only Neighbors - Dep. Var.: Population Growth								
Gold Road Density	0.013***	0.036***	0.025***	0.016***	0.007	-0.0002	0.001	-0.006**
	(0.005)	(0.007)	(0.005)	(0.003)	(0.006)	(0.003)	(0.003)	(0.002)
Observations	604	604	604	604	604	604	604	604
Kleibergen-Paap F	76.919	78.869	81.789	84.087	86.018	86.037	85.715	84.982

Notes: Spatially corrected standard errors are shown in parentheses. All columns report 2SLS estimates, using LCP density as an IV for gold road density. Each specification includes state fixed effects and geography controls, including the log-transformed median values of precipitation, temperature, elevation, terrain ruggedness, area, distance to rivers, and distance to the coast, as well as a second-order latitude-longitude polynomial. The *Full Sample* consists of 1920 MCAs, excluding those in states predominantly influenced by the Amazon River basin and MCAs with settlements predating 1694. The *Only Neighbors* sample includes only MCAs traversed by historical roads and their immediate neighbors. *Population growth* is calculated as the average yearly growth of population in the period between the one indicated in the column, and the one indicated in the next column. *Gold Road Density* is defined as the proportion of a MCA's area within a 5-kilometer buffer surrounding gold roads. $^{*}p < 0.1, ^{**}p < 0.05, ^{***}p < 0.01$

Table E.2: Gold roads and migrant density over time

	Born in another Municipality				Born in another State			
	1970	1980	2000	2010	1970	1980	2000	2010
	(1)	(2)	(3)	(4)	(5)	(6)	(7)	(8)
Panel A - Full Sample - Dep. Var.: Migration Density								
Gold Road Density	1.64***	1.83***	1.34***	1.20***	1.60***	2.39***	1.72***	1.43***
	(0.457)	(0.320)	(0.193)	(0.161)	(0.463)	(0.410)	(0.340)	(0.315)
Observations	856	850	856	856	856	850	856	856
Kleibergen-Paap F	81.564	84.942	81.564	81.564	81.564	84.942	81.564	81.564
Panel B - Only Neighbors - Dep. Var.: Migration Density								
Gold Road Density	1.91***	2.12***	1.57***	1.35***	1.88***	2.59***	1.91***	1.61***
	(0.270)	(0.290)	(0.273)	(0.274)	(0.277)	(0.378)	(0.368)	(0.382)
Observations	604	598	604	604	604	598	604	604
Kleibergen-Paap F	75.872	75.484	75.872	75.872	75.872	75.484	75.872	75.872

Notes: Spatially corrected standard errors are shown in parentheses. All columns report 2SLS estimates, using LCP density as an IV for gold road density. Each specification includes state fixed effects and geography controls, including the log-transformed median values of precipitation, temperature, elevation, terrain ruggedness, area, distance to rivers, and distance to the coast, as well as a second-order latitude-longitude polynomial. The *Full Sample* consists of 1920 MCAs, excluding those in states predominantly influenced by the Amazon River basin and MCAs with settlements predating 1694. The *Only Neighbors* sample includes only MCAs traversed by historical roads and their immediate neighbors. *Migrant Density* is the log-transformed number of migrants from another municipality (or state) over the MCA's area. *Gold Road Density* is defined as the proportion of a MCA's area within a 5-kilometer buffer surrounding gold roads. $^{*}p < 0.1, ^{**}p < 0.05, ^{***}p < 0.01$

Table E.3: Gold roads and urbanization rate over time

	Year							
	1940	1950	1960	1970	1980	1990	2000	2010
	(1)	(2)	(3)	(4)	(5)	(6)	(7)	(8)
Panel A - Full Sample - Dep. Var.: Urbanization Rate								
Gold Road Density	0.277***	0.205**	0.003	0.239***	0.273***	0.281***	0.222***	0.173***
	(0.081)	(0.092)	(0.009)	(0.089)	(0.066)	(0.047)	(0.037)	(0.037)
Observations	856	856	856	856	856	856	856	856
Kleibergen-Paap F	81.564	81.564	81.564	81.564	81.564	81.564	81.564	81.564
Panel B - Only Neighbors - Dep. Var.: Urbanization Rate								
Gold Road Density	0.296***	0.229***	0.001	0.267***	0.290***	0.307***	0.260***	0.208***
	(0.035)	(0.072)	(0.013)	(0.080)	(0.079)	(0.063)	(0.055)	(0.052)
Observations	604	604	604	604	604	604	604	604
Kleibergen-Paap F	75.872	75.872	75.872	75.872	75.872	75.872	75.872	75.872

Notes: Spatially corrected standard errors are shown in parentheses. All columns report 2SLS estimates, using LCP density as an IV for gold road density. Each specification includes state fixed effects and geography controls, including the log-transformed median values of precipitation, temperature, elevation, terrain ruggedness, area, distance to rivers, and distance to the coast, as well as a second-order latitude-longitude polynomial. The *Full Sample* consists of 1920 MCAs, excluding those in states predominantly influenced by the Amazon River basin and MCAs with settlements predating 1694. The *Only Neighbors* sample includes only MCAs traversed by historical roads and their immediate neighbors. *Urbanization Rate* is calculated the ratio of individuals living in urban areas to total population. *Gold Road Density* is defined as the proportion of a MCA's area within a 5-kilometer buffer surrounding gold roads. $^{*}p < 0.1, ^{**}p < 0.05, ^{***}p < 0.01$

F Details: Market access and numerical diagnosis

This appendix provides additional details for two components used in Section 7. First, we describe how we construct the commodity and migration market-access objects that enter the trade-augmented system (in particular, outward market access $Q_{it}^{1-\sigma}$). Second, we describe the numerical diagnostic used to assess local uniqueness of the steady state and the possibility of multiple steady states (path dependence) in the trade-augmented model. For convenience, we organize the appendix in self-contained subsections that mirror the objects and claims in the main text.

F.1 Market access

Model details. The model outlined in Section 7 implies that the value of commodity flows between regions follows the commodity gravity equation

$$X_{ijt} = \tau_{ijt}^{1-\sigma} \left(\frac{w_{it}}{A_{it}} \right)^{1-\sigma} \left(\frac{w_{jt} L_{jt}}{P_{jt}^{1-\sigma}} \right),$$

where w_{it} is the nominal wage and $P_{it}^{1-\sigma} := \sum_j p_{ijt}^{1-\sigma}$ is the Dixit-Stiglitz price index, referred to as *inward market access*. Firms' optimization implies that prices of varieties produced in i and sold in j equal the marginal cost of production (and shipping), $p_{ijt} = w_j \tau_{jit} / A_j$. Since, in equilibrium, all sales from region i must equal the total income in that region ($w_{it} L_{it} = \sum_j X_{ijt}$) we have the following inverse labor demand

$$\log w_{it} = \frac{\sigma - 1}{\sigma} \log A_{it} + \frac{1}{\sigma} \log Q_{it}^{1-\sigma} - \frac{1}{\sigma} \log L_{it},$$

where

$$Q_{it}^{1-\sigma} = \sum_j \tau_{ijt}^{1-\sigma} Y_{jt} / P_{jt}^{1-\sigma} \tag{F.1}$$

denotes the *outward market access* and we use $Y_{it} = w_{it} L_{it}$. From the equilibrium condition, it is also easy to see that $(w_{it}/A_{it})^{1-\sigma} = Y_{it}/Q_{it}^{1-\sigma}$, allowing us to write

$$P_{it}^{1-\sigma} = \sum_j \tau_{jit}^{1-\sigma} Y_{jt}/Q_{jt}^{1-\sigma}. \tag{F.2}$$

Similarly, the model implies the population flow between regions following the population gravity equation

$$L_{ijt} = \mu_{ijt}^{-\theta} \Pi_{it}^{-\theta} L_{it-1} V_{jt}^{\theta},$$

where μ_{ijt} is the migration iceberg cost from i to j, V_{it} is the present discounted value from living in i and $\Pi_{it}^{\theta} := \sum_j (V_{jt}/\mu_{ijt})^{\theta}$ denotes the *outward migration market access*. From individuals' optimization condition the present discounted value of living in i is the combination of current welfare $W_{it} = u_{it} w_{it}/P_{it}$ and the discounted attractiveness of other regions, $V_{it} = W_{it} \Pi_{it}^{\delta}$. Moreover, it must be the case that $L_{it} = \sum_j L_{jit}$ such that we derive the inverse labor supply

$$\log w_{it} = \theta^{-1} \log L_{it} + \log P_{it} + \theta^{-1} \log \Lambda_{it}^{\theta} - \log u_{it} - (\delta/\theta) \log \Pi_{it}^{\theta},$$

where

$$\Lambda_{it}^{-\theta} = \sum_j \mu_{jit}^{-\theta} L_{jt-1}/\Pi_{jt}^{\theta},$$

denotes the *inward migration market access*.

Iceberg costs. The system composed of Equations (F.1) and (F.2) yields the outward market access Q_{it} we need to estimate the agglomeration parameters. However, to solve the system we need to compute the iceberg costs. We follow Allen and Donaldson (2020) defining $\log \tau_{ijt}^{1-\sigma} = \kappa_\tau \times \text{freight}_{ijt}$. We construct freight_{ijt} data by building a conductivity grid in Brazil, where each grid cell has a size of 5 km $\times$ 5km. Each grid cell is associated with the cost of traversing it, depending on whether it is crossed by roadways, railways, or waterways.

We normalize the cost of crossing a grid cell with railways to 1. The relative transportation costs are taken from Table 1 in Soliani (2022). Moving across waterways is 75% as expensive as railways, whereas moving across paved roads is 3.55 times as expensive as railways. We assumed that moving across unpaved roads is two times more expensive than moving across paved roads, and moving inland across grids with no transportation mode is 3.33 times more expensive than across paved roads. The first panel in Figure F.1 shows the resulting conductivity grid.

A. Conductivity Grid



B. Freight Cost to Belo Horizonte

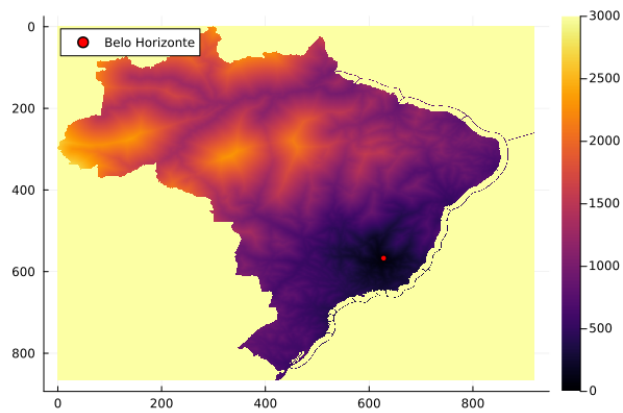

Figure F.1: Freight Costs

With the conductivity grid at hand, we apply the Fast Marching Method utilized by Allen and Arkolakis (2014) and Allen and Donaldson (2020) to compute LCPs between every pair of points in the grid. Figure F.1B shows the cost of moving from each grid-cell to Belo Horizonte.

Finally, to compute the iceberg costs we estimate κ_τ using the commodity gravity equation and the relationship between iceberg costs and freight. Specifically, we estimate the following fixed effect model,

$$\log X_{ijt} = \kappa_\tau \times \text{freight}_{ijt} + \eta_i + \eta_j + \eta_t,$$

where η_i, η_j and η_t are fixed effect of origin, destination, and time, respectively. We state-to-state trade data collected by Morten and Oliveira (2024) and our measure of freight cost between state centroids to estimate a trade elasticity to freight cost equal to -1.58 (0.125), which implies an $\hat{\kappa}_\tau = -0.0032$ (0.0004).

Solving for outward market access. With $\hat{\kappa}_\tau$, we use freight costs between 1920 MCAs to infer the iceberg costs. Then we can solve the system Equations (F.1) and (F.2) using additional information on average wages and population to compute Y_{it}. The resulting outward market access measure is displayed in Figure F.2.

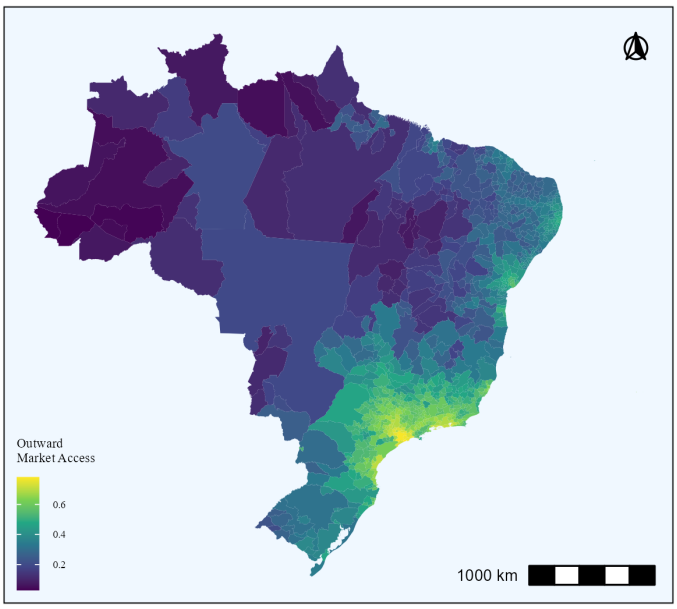

Figure F.2: Outward Market Access

F.2 Numerical diagnosis

In the trade-augmented model, Allen and Donaldson (2020) show that the local stability and uniqueness diagnostic can be expressed in closed form using a 2×2 matrix representation of the Jacobian (denoted B). We report this matrix here for completeness and replication; our numerical implementation above computes the same object.

Let $\alpha_{ss} = \alpha_1 + \alpha_2$ and $\beta_{ss} = \beta_1 + \beta_2$. The matrix is

$$\mathrm{B} := \begin{pmatrix} \left| \dfrac{1 - \frac{\sigma}{\theta} - \beta_{ss} + \alpha_{ss}\sigma + \beta_{ss}\sigma + \frac{1}{\theta}}{\frac{\sigma}{\theta} + 1 - \alpha_{ss}(\sigma - 1) - \beta_{ss}\sigma} \right| & \left| \dfrac{(1+\delta)(\alpha_{ss}+1)\left(\frac{\sigma-1}{\theta}\right)}{\frac{\sigma}{\theta} + 1 - \alpha_{ss}(\sigma - 1) - \beta_{ss}\sigma} \right| \\ \left| \dfrac{(2\sigma - 1)/(\sigma - 1)}{\frac{\sigma}{\theta} + 1 - \alpha_{ss}(\sigma - 1) - \beta_{ss}\sigma} \right| & \left| \dfrac{1 - \alpha_{ss}(\sigma - 1) - \beta_{ss}\sigma - \delta\frac{\sigma}{\theta}}{\frac{\sigma}{\theta} + 1 - \alpha_{ss}(\sigma - 1) - \beta_{ss}\sigma} \right| \end{pmatrix}.$$

We evaluate the dominant eigenvalue modulus (spectral radius) $\rho(B)$ as the contraction diagnostic: $\rho(B) < 1$ implies local uniqueness of the steady state, while $\rho(B) \geqslant 1$ implies that local contraction is not guaranteed and multiplicity/path dependence cannot be ruled out.

Applying the diagnostic to our preferred parameterization, we find that the equilibrium path is locally stable (consistent with $\theta(\alpha_1 + \beta_1) < 1$ in the simplified model), while the contraction criterion for local uniqueness of the steady state is not satisfied. Accordingly, we cannot rule out multiple steady states and path dependence in the trade-augmented model, consistent with the regime interpretation reported in Figure 7. Specifically, the dominant eigenvalue modulus is $\rho(B) = 1.3$ in our preferred specification.

G Mule Roads, nonrandom exposure, and placebo test

In this appendix, we replicate most of the results presented in the main text using the complete ground transportation network as it existed around 1872.

Data. The network data used in this study is derived from historical statistical reports produced in 1863 and 1873. These reports contain information on the municipalities connected by the transport network, as well as the actual distances between these locations. The provincial governments were responsible for preparing and reporting the data on effective distances, following instructions from the Empire's Business Secretariat. Archival and printed primary sources are

- *Ao Illm. e Exm. Sr. Pedro D'Alcantara Bellegarde Ministro e Secretário de Estado dos Negócios da Agricultura, Comércio e Obras Públicas pelo Director da Directoria Geral dos Correios Dr. Thomaz Jozé Pinto Serqueira.* Typographia Perseverança. 1863. Rio de Janeiro, Brasil.
- *Mappas das distâncias entre comarcas e povoados de várias províncias.* [1870?]. Biblioteca Nacional. Seção de Manuscritos. Localização: I - 47, 10, 12. (21 documentos). Rio de Janeiro, Brasil.
- *Mappa demonstrativo da distância geographica de caminhos da Corte do Rio de Janeiro às cidades e principais villas dos diferentes municípios da Província do Rio de Janeiro e de cada uma d'ellas e todos os outros: Calculados por diversos mapas da Província e informações obtidas de vários viajantes.* [1870?]. Biblioteca Nacional. Seção de Manuscritos. Localização: I - 46, 22, 001. (1 documento). Rio de Janeiro, Brasil.

Examples of these historical reports are presented in Figure G.1, which displays a sample of the matrices available in the statistical reports for the province of Espírito Santo and the post office report for the province of Minas Gerais, respectively.

After digitizing the reports, several steps and verification processes were undertaken before the data could be utilized. Firstly, it was crucial to identify the municipalities by their historical



QUADRO das distancias em kilometros entre as cidades, villas e freguezias da provincia do Espirito-Santo

Localidades	BENEVENTE	GUARAPARI	MUTUIPEBA	BARRA S. FRANCISCO	GUARAPIRANGA	VIANNA	SANTA TERESA	CACHOEIRA ALTA	BARRA	NOVA ALMEIDA	SANTA CRUZ	BELLEZA	LAPINHA	S. MATHEUS	BARRA DE S. MATHEUS	CONCEIÇÃO	MIRANDUBA	GUARAPARI	CACHOEIRA DE ITAPEMIRIM	CACHOEIRA DE ITAPEMIRIM (EL-REI)	S. PEDRO DE ITABAPOANA	MARIENNE	TRIBUNA	S. JOSÉ DO CALÇADO	MELLOS, DO RIO NOVO
(C) Victoria	9	13	32	72	94	98	98	108	86	83	87	89	102	262	343	379	16	67	170	171	268	178	210	258	260
(V) Espirito-Santo		21	43	72	90	96	70	207	96	90	73	81	201	360	369	153	37	61	139	140	277	175	234	254	365	368
(P) Guapiria			22	60	60	45	80	148	25	41	32	76	170	364	321	325	112	95	159	297	326	139	256	273	305	308
(P) Guarapiranga				28	30	38	36	100	30	31	43	57	107	338	384	332	205	34	115	308	330	215	277	256	278	280
(C) Santa Leopoldina					72	63	31	78	48	77	95	98	200	318	321	252	70	6	69	118	308	155	207	198	218	222
(P) Cachoeira						6	48	100	27	41	35	60	200	209	312	322	155	81	109	192	297	168	211	208	265	274
(V) Vianna							14	120	46	41	72	90	207	366	384	325	106	71	149	204	305	156	187	202	220	148
(P) Santa Teresa								91	103	126	146	158	208	208	302	345	148	117	159	247	321	250	196	208	241	191
(A) Imperial Affonso									104	129	95	108	200	360	364	322	222	154	145	88	56	156	48	79	150	168
(V) Barra										30	27	52	158	253	364	318	137	57	165	221	213	252	252	250	291	298
(V) Nova Almeida											19	48	200	364	197	324	145	115	151	140	252	227	249	237	295	297
(V) Santa Cruz												18	170	343	179	323	170	134	205	158	258	205	252	252	255	255
(P) Belleza													159	128	121	159	159	142	209	279	308	209	252	244	259	252
(V) Lapinhas														205	41	95	208	192	259	272	378	208	252	252	254	258
(C) S. Matheus															67	32	252	254	423	474	548	364	352	342	371	371
(V) Barra de S. Matheus																51	244	242	296	407	508	444	400	394	407	415
(P) Conceição																	208	200	420	470	505	408	512	520	550	568
(V) Miranduba																		38	27	19	105	99	142	148	159	42
(V) Guarapari																			98	54	205	132	170	191	194	80
(V) Guarapiranga																				81	148	48	190	195	256	41
(V) Cachoeira de Itapemirim																					81	19	46	67	160	85
(P) S. Pedro d'Alcantara do Rio Preto																						130	48	95	225	156
(P) S. Pedro de Itabapoana																							48	80	120	42
(P) Marienne																								32	46	72
(P) Tribuna																									67	97
(P) S. José do Calçado																										46

Secretaria do Governo da Provincia do Espirito-Santo, em 7 de Fevereiro de 1873.

O secretario do Governo, Manoel Gonçalves de Aleneastro Artiaga.

A. 1873 Statistical Report, Distance between the locations of the province of Espírito Santo

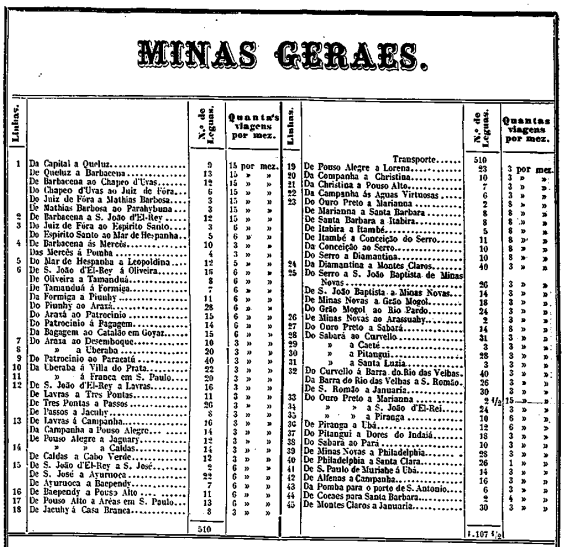

MINAS GERAES.

Linhas.		N.º de Leguas.	Quantas viagens por mez.	Linhas.		N.º de Leguas.	Quantas viagens por mez.
					Transporte	510	
1	Da Capital a Queluz	9	15 por mez.	19	De Pouso Alegre a Lorena	23	3 por mez.
	De Queluz à Barbacena	13	15 » »	20	Da Campanha a Christina	10	3 » »
	De Barbacena ao Chapeo d'Uvas	12	15 » »	21	Da Christina a Pouso Alto	7	3 » »
	Do Chapeo d'Uvas ao Juiz de Fóra	6	15 » »	22	Da Campanha ás Aguas Virtuosas	6	3 » »
	Do Juiz de Fóra a Mathias Barbosa	3	15 » »	23	De Ouro Preto a Marianna	2	5 » »
	De Mathias Barbosa ao Parahybuna	3	15 » »		De Marianna a Santa Barbara	8	5 » »
2	De Barbacena a S. João d'El-Rey	12	15 » »		De Santa Barbara a Itabira	8	5 » »
3	Do Juiz de Fóra ao Espirito Santo	3	6 » »		De Itabira a Itambé	5	6 » »
	Do Espirito Santo ao Mar de Hespanha	5	6 » »		De Itambé à Conceição do Serro	11	6 » »
4	De Barbacena ás Mercês	10	3 » »		Da Conceição ao Serro	10	6 » »
	Das Mercês á Ponha	4	3 » »		Do Serro a Diamantina	10	6 » »
5	Do Mar de Hespanha á Leopoldina	12	5 » »	24	Do Diamantina a Montes Claros	40	3 » »
6	De S. João d'El-Rey á Oliveira	16	6 » »	25	Do Serro a S. João Baptista de Minas Novas	26	3 » »
	De Oliveira a Tamanduá	8	6 » »		De S. João Baptista a Minas Novas	14	3 » »
	De Tamanduá á Formiga	7	6 » »		De Minas Novas a Grão Mogol	18	3 » »
	Da Formiga a Piumhy	11	6 » »		Do Grão Mogol ao Rio Pardo	24	3 » »
	Do Piumhy ao Arará	28	6 » »	26	De Minas Novas ao Arassuahy	2	3 » »
	Do Arará ao Patrocinio	15	6 » »	27	Do Ouro Preto a Sabará	14	5 » »
	Do Patrocinio á Pagagem	14	6 » »	28	De Sabará ao Curvello	31	3 » »
	Da Bagagem ao Catalão em Goyaz	15	6 » »	29	» a Caeté	3	3 » »
7	Do Arará ao Desemboque	10	3 » »	30	» a Piranguinho	28	3 » »
8	» a Uberaba	20	3 » »	31	» a Santa Luzia	3	3 » »
9	De Patrocinio ao Paracatú	40	3 » »	32	Do Curvello á Barra do Rio das Velhas	40	3 » »
10	Da Uberaba á Villa do Prata	22	3 » »		Da Barra do Rio das Velhas a S. Romão	26	3 » »
11	» á Franca em S. Paulo	20	3 » »		De S. Romão a Januaria	20	3 » »
12	De S. João d'El-Rey a Lavras	16	3 » »	33	Do Ouro Preto a Marianna	2 1/2	15 » »
	De Lavras a Tres Pontas	11	3 » »	34	» » a S. João d'El-Rei	24	3 » »
	De Tres Pontas a Passos	26	3 » »	35	» » a Piranga	10	6 » »
	De Passos a Jacuhy	8	3 » »	36	De Piranga a Ubá	12	6 » »
13	De Lavras á Campanha	16	3 » »	37	De Piranguí a Dores do Indaiá	18	3 » »
	Da Campanha a Pouso Alegre	14	3 » »	38	De Sabará ao Pará	10	3 » »
	De Pouso Alegre a Jaguary	12	3 » »	39	De Minas Novas a Philadelphia	28	3 » »
14	» » a Caldas	14	3 » »	40	De Philadelphia a Santa Clara	26	1 » »
	De Caldas a Cabo Verde	12	3 » »	41	De S. Paulo de Muriahé á Ubá	14	3 » »
15	De S. João d'El-Rey a S. José	8	6 » »	42	De Alfenas a Campanha	16	3 » »
	De S. José a Ayuruoca	22	6 » »	43	Da Pomba para o porto de S. Antonio	6	3 » »
	De Ayuruoca a Barpendy	7	6 » »	44	De Cocaes para Santa Barbara	2	4 » »
16	De Baependy a Pouso Alto	11	6 » »	45	De Montes Claros a Januaria	30	3 » »
17	De Pouso Alto a Arêas em S. Paulo	13	6 » »				
18	De Jacuhy á Casa Branca	8	3 » »				
		510				1.107 1/2	

B. 1863 Post Office Report, Distance between the locations of the province of Minas Gerais

Figure G.1: Historical Documents

names and georeference them to determine the geographic coordinates of their seat. Subsequently, we converted the distances initially measured in leagues to kilometers for consistency. Finally, we constructed the distance matrices between the municipal seats based on the 1872 Census administrative divisions, using both the historical pathways and the postal routes. To fill in any missing information, we digitized additional historical official records from provincial governments, which allowed us to capture distances between locations in different provinces. This complementary data enabled us to establish interconnections between paths, resulting in an origin-destination matrix that covered a significant portion of the national territory.

While these documents specify the distances traveled, they do not detail the precise routes. To rebuild the approximate routes, we construct LCPs using the same strategy as in the case of gold roads for all municipality-pair connections in the documents. The resulting network is shown in Figure G.2A. Figure G.2B shows the density of mule roads in 2010 municipalities, while Figure G.2C shows the comparison between the distance reported in the document and the distance applied by the LCPs routes.

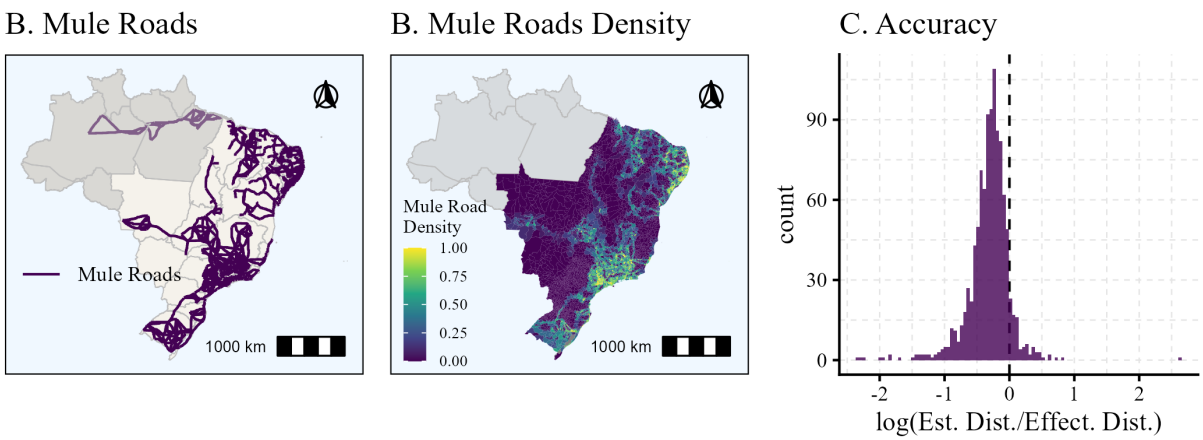

Figure G.2: **Historical road density and comparison between effective distances and estimated distances of mule roads.**

Table G.1 presents the relationship between gold road density and mule road density. All estimates include state fixed effects, with standard errors clustered at the 1872 MCA level. In Columns (4) to (6), LCPs of gold roads are used as instrumental variables in a 2SLS estimation. Columns (2) and (5) include geography controls to mitigate spurious correlations arising from advantageous geographic features. Columns (3) and (6) restrict the sample to municipalities crossed by gold roads and their direct neighbors, ensuring a more homogeneous sample. The results indicate a positive and statistically significant relationship between gold road density and mule road density. OLS estimates tend to underestimate this relationship, while excluding geography controls leads to overestimation. Overall, the findings align with anecdotal evidence, suggesting that mule roads were, to some extent, built on the foundations of gold roads, thereby expanding the original network to more locations.

Current agglomerations. We now turn our attention to mule roads, broadening the scope of our analysis. This exercise addresses the concern that our earlier findings may be context-specific or dependent on unique characteristics of the gold cycle-era roads and regions studied. By expanding our focus to include the entire transportation network of the late nineteenth century, we incorporate a more comprehensive geographical area and provide a broader perspective on the relationship between historical infrastructure and contemporary outcomes.

Table G.1: Gold roads and mule roads

	OLS			2SLS		
	(1)	(2)	(3)	(4)	(5)	(6)
Dependent Variable: Mule Road Density						
Gold Road Density	0.369***	0.222***	0.140***	0.736***	0.489***	0.392***
	(0.068)	(0.048)	(0.039)	(0.110)	(0.095)	(0.106)
Observations	5,197	5,197	2,088	5,197	5,197	2,088
Cluster Groups	404	404	260	404	404	260
Kleibergen-Paap F				133.88	130.74	94.796
Fixed Effects:	State	State	State	State	State	State
Geography Controls:		✓	✓		✓	✓
Only Neighbors:			✓			✓

Notes: Standard errors, clustered at the level of 1872 MCAs, are shown in parentheses. The sample includes municipalities as defined in 2010, excluding those in states heavily influenced by the Amazon River basin and municipalities with settlements that existed prior to 1694. Mule (gold) road density is defined as the area within a 5-kilometer buffer around mule (gold) roads within a municipality, relative to the municipality's total area. The 2SLS specification uses LCP density as an IV for gold road density. *Geography Controls* include the log-transformed median values of precipitation, temperature, elevation, terrain ruggedness, area, distance to rivers, and distance to the coast, along with a second-order latitude-longitude polynomial. *Only Neighbors* restricts the sample to municipalities intersected by gold roads and their first-order neighbors. $^{*}p < 0.1, ^{**}p < 0.05, ^{***}p < 0.01$

The mule roads exercise also provides an opportunity to evaluate whether our empirical strategy effectively disentangles the influence of location fundamentals from our main estimates by examining placebo routes. Placebo routes are constructed where there were no documented mule roads directly connecting the municipality pairs in the historical records. By testing whether LCPs through these originally nonexistent connections impact today's population distribution, we assess whether our results are driven by locational fundamentals related to the construction of optimal paths—potentially correlated with favorable geographic features. This exercise serves as a placebo test to validate the robustness of our findings.[30]

Although the analysis of mule roads provides valuable insights, it introduces a new concern. Unlike the gold roads, mule roads were not the result of random exploration of Brazil's hinterlands but were intentionally constructed to integrate a newly independent, continental nation. When con-

[30]To put it differently, consider a triangle with vertices A, B, and C. Suppose roads historically connected the edges AB and BC, but not AC. If historical roads indeed influence current population agglomerations, we would expect areas traversed by AB and BC to exhibit higher population density today, while areas along AC, which lacked a historical road, should not. In our placebo exercise, we construct a LCP along AC and test whether areas traversed by this hypothetical route show any significant increase in population density today.

necting points within a polygon, central points are more likely to be traversed by these connections. This could increase the likelihood of being crossed by mule roads in 1872 and of having greater market access in 2010, introducing a potential confounding factor.[31]

To address this issue, our previous analysis implemented two measures. First, state fixed effects help mitigate this concern by ensuring that comparisons are made within states, as municipalities that are central at the national level may not be central within their respective states. Second, we include a second-order latitude-longitude polynomial to account for the spatial positioning of municipalities. Now, we go a step further by incorporating a measure of centrality proposed by Borusyak and Hull (2023) into our set of geography controls to provide a more robust adjustment.[32]

Our centrality measure, referred to as expected mule road density, is derived by generating random samples of mule road networks and averaging their influence across these samples. There are 1,766 potential connections between the 1872 municipality seats, of which 1,090 were realized.[33] We randomly generate 1,000 samples by combining existing mule roads with placebo roads while maintaining a total of 1,090 connections per sample. The underlying intuition is that each connection is assigned an equal probability of being constructed in each sample. For every draw, we compute the mule road density and then average these values across all draws to obtain the expected mule road density.

As with the gold roads analysis, results are presented for both full and restricted samples. The full sample excludes only municipalities in the northern states and those containing 1872 municipality seats, resulting in 4,660 municipalities. The restricted sample further excludes municipalities that are not direct neighbors of those traversed by mule roads, leaving 3,343 municipalities.

[31] We believe centrality is not a significant concern in the context of gold roads. These roads were not constructed with the purpose of national integration, meaning central locations were not inherently more likely to be traversed. At the time, there were no pre-existing points of interest in Brazil's interior to connect, and the emergence of settlements along these roads is more plausibly a consequence of the roads rather than their cause. Moreover, when we include a centrality measure as a control in our analysis of gold roads, the results remain unchanged, further supporting this interpretation.

[32] Since the counterfactual shocks are not given by a randomization protocol (such as in a RCT), it is more efficient to control for the expected treatment instead of instrumenting the treatment, which also removes the residual variation in the outcome that is correlated with the expected treatment, as recommended by Borusyak and Hull (2023).

[33] Connections are determined by linking municipality seats with their immediate neighbors and iterating outward, following the actual observed spatial and topographical constraints of Brazil's economy at the time. This approach avoids unrealistic assumptions of direct connections between all municipalities or distant municipalities.

The mule road sample shares similar characteristics with the gold road sample but exhibits a less skewed distribution of mule road density, with an average density of 0.17. Detailed summary statistics are provided in Table A.1. For the placebo test, municipalities traversed by existing connections are also excluded.

The results are summarized in Table G.2. All columns include state fixed effects, with standard errors clustered at the 1872 MCA level. Columns (1) through (3) examine the relationship between mule road density and current population agglomerations. Column (2) incorporates geography controls, including our centrality measure, while Column (3) restricts the sample to municipalities that are direct neighbors. The findings reveal a positive and statistically significant relationship between mule roads and indicators such as population density, nightlight intensity, and urban population density. Consistent with the gold roads analysis, the coefficients decrease substantially when geography controls are included, highlighting the correlation between location fundamentals and road placement.

Although the coefficients are noticeably smaller than those in the previous analysis, a direct comparison is not feasible, as Table G.2 reflects the effects of LCP densities rather than actual road densities. However, when comparing the coefficients in Table G.2 to the reduced-form coefficients from the gold road analysis, we observe a smaller but still significant difference, with the gold road coefficients being consistently larger.[34] This difference is expected, given the distinct characteristics of these two historical road networks. The gold roads spearheaded the movement into the Brazilian hinterland, laying the groundwork for the urban landscape, while the mule roads primarily connected the already established urban framework. Despite their differing roles and magnitudes of impact, both types of historical infrastructure continue to shape the spatial distribution of population centuries after their decline.

Columns (4) to (6) present the results from the placebo test, which is essential for distinguishing between location fundamentals and the existence of roads (a historical shock). We find a small but statistically significant positive relationship at the 10% level between areas with a larger density of

[34]For LCPs associated with gold roads, the coefficients corresponding to Column (3) in Panels A, B, and C are 0.921 (0.19), 0.592 (0.128), and 1.05 (0.21), respectively, with standard errors in parentheses.

Table G.2: Mule roads and current agglomerations

	Existing Connections			Non-Existing Connections		
	(1)	(2)	(3)	(4)	(5)	(6)
Panel A - Dependent Variable: Population Density						
Mule Road Density	1.34***	0.359***	0.237**	0.325*	-0.487	-0.442
	(0.157)	(0.110)	(0.096)	(0.170)	(0.604)	(0.599)
Observations	4,660	4,660	3,343	2,466	2,466	1,775
Cluster Groups	356	356	354	223	223	207
Panel B - Dependent Variable: Nightlights						
Mule Road Density	1.18***	0.410***	0.262***	0.184	-0.033	0.196
	(0.094)	(0.097)	(0.095)	(0.136)	(0.699)	(0.692)
Observations	4,660	4,660	3,343	2,466	2,466	1,775
Cluster Groups	356	356	354	223	223	207
Panel C - Dependent Variable: Urban Population Density						
Mule Road Density	1.49***	0.425***	0.297**	0.328*	-0.597	-0.485
	(0.165)	(0.130)	(0.117)	(0.194)	(0.798)	(0.791)
Observations	4,659	4,659	3,342	2,466	2,466	1,775
Cluster Groups	356	356	354	223	223	207
Fixed Effects:	State	State	State	State	State	State
Geography Controls:		✓	✓		✓	✓
Only Neighbors:			✓			✓

Notes: Standard errors, clustered at the level of 1872 MCAs, are shown in parentheses. The sample includes municipalities as defined in 2010, excluding those in states heavily influenced by the Amazon River basin and municipalities with municipality seats that existed in 1872. *Population Density*, *Nightlights*, and *Urban Population Density* are the log-transformed values of population over area, median nightlight incidence, and urban population over area, respectively. *Mule Road Density* is defined as the area within a 5-kilometer buffer around mule roads within a municipality, relative to the municipality's total area. In Columns (1) to (3), mule roads are the LCPs between contiguous municipality pairs with existing connections. In Columns (4) to (6), mule roads are the LCPs between contiguous municipality pairs with non-existing connections. The sample in Columns (4) to (6) exclude municipalities traversed by existing connections. *Geography Controls* include the log-transformed median values of precipitation, temperature, elevation, terrain ruggedness, area, distance to rivers, and distance to the coast, along with a second-order latitude-longitude polynomial, and the expected mule roads density computed using Borusyak and Hull (2023). *Only Neighbors* restricts the sample to municipalities intersected by mule roads and their first-order neighbors. $^{*}p < 0.1, ^{**}p < 0.05, ^{***}p < 0.01$

non-existing roads and current population agglomerations. This suggests that being along optimal paths between historical settlements is beneficial, even when historical routes do not actually exist. This result could be linked to advantageous geography that influenced the creation of optimal paths. However, in Column (5), the coefficients shrink substantially and become statistically insignificant after controlling for geography, indicating that these controls are crucial for properly isolating the effect of historical roads on current population distribution.

Overall, the evidence presented in this section suggests that historical factors have a significant influence on the spatial distribution of population in Brazil. The location of historical pathways, particularly gold roads, is strongly associated with higher population densities in municipalities in 2010. In the following sections, we delve deeper into this connection. First, we examine how the strength of these effects varies across periods. Then, we investigate potential mechanisms and the nature of the spatial economy in which this historical shock operates. Specifically, we explore whether this represents a positive shock within a dynamic spatial system with a single equilibrium that will eventually be reestablished or whether multiple equilibria exist, with the positive shock potentially leading to a new steady state.

Dynamics. Table G.3 presents regression estimates of the relationship between mule road density and population density across decades from 1920 to 2010. The sample is split into two subsamples: the Full Sample, which excludes municipalities significantly influenced by the Amazon River basin and historical settlements, and the Only Neighbors sample, which includes municipalities traversed by mule roads and their neighbors. Geography and state-level fixed effects, along with additional controls, are included to isolate the impact of road density.

Modern transportation. Panels A and B in Table G.4 examine the long-term impact of historical mule roads on population density in Brazil from 1940 to 2010 after controlling for MST distance. The negative coefficients for distance to the MST indicate that areas farther from key transportation networks tend to have lower population densities, though these effects are mostly insignificant in earlier years. Importantly, the effects of mule road density change only slightly when compared to

Table G.3: Mule roads and population density over time

	Year								
	1920	1940	1950	1960	1970	1980	1990	2000	2010
	(1)	(2)	(3)	(4)	(5)	(6)	(7)	(8)	(9)
Panel A - Full Sample - Dep. Var.: Population Density									
Mule Road Density	0.065	-0.031	-0.014	0.100	0.208	0.353**	0.469***	0.525***	0.576***
	(0.166)	(0.141)	(0.128)	(0.113)	(0.128)	(0.140)	(0.147)	(0.174)	(0.195)
Observations	420	420	420	420	420	420	420	420	420
Panel B - Only Neighbors - Dep. Var.: Population Density									
Mule Road Density	0.062	0.0004	0.010	0.137	0.236**	0.371***	0.475***	0.531***	0.581***
	(0.169)	(0.140)	(0.122)	(0.104)	(0.119)	(0.138)	(0.150)	(0.180)	(0.202)
Observations	407	407	407	407	407	407	407	407	407

Notes: Spatially corrected standard errors are shown in parentheses. Each specification includes state fixed effects and geography controls, including the log-transformed median values of precipitation, temperature, elevation, terrain ruggedness, area, expected mule road density, distance to rivers, and distance to the coast, as well as a second-order latitude-longitude polynomial. In Panel A, the *Full Sample* consists of 1920 MCAs, excluding those in states predominantly influenced by the Amazon River basin and MCAs associated with 1872 municipalities. The *Only Neighbors* sample includes only MCAs traversed by historical roads and their immediate neighbors. *Population Density* is calculated as the log-transformed population per unit area. *Mule Road Density* is defined as the proportion of a MCA's area within a 5-kilometer buffer surrounding mule roads. $^{*}p < 0.1, ^{**}p < 0.05, ^{***}p < 0.01$

Panels C and D in Table G.3. The results hold across both the full sample and a restricted sample of municipalities along historical roads and their immediate neighbors. Panels C and D examine the long-term impact of mule roads on population density in Brazil from 1940 to 2010 after controlling for modern highway density.

Seeds of Agglomeration. Table G.5 examines the relationship between mule road density and the industrial composition of municipalities in 1920, focusing on agriculture, manufacturing, and services. The results indicate that mule road density has a positive and statistically significant effect on the share of workers in manufacturing, with coefficients of 0.020 in the full sample and 0.018 in the restricted sample (both significant at the 10% level). This suggests that mule roads contributed to the relative growth of manufacturing. In contrast, there are no significant effects of mule road density on employment density or on the share of workers in agriculture or services.

The findings are robust across the full sample and the restricted sample, which includes only municipalities traversed by historical roads and their neighbors. Extensive geographic controls and state fixed effects ensure that the observed relationships are not confounded by environmental

Table G.4: Mule roads, modern roads, and agglomerations over time

	Years							
	1940	1950	1960	1970	1980	1990	2000	2010
	(1)	(2)	(3)	(4)	(5)	(6)	(7)	(8)
Panel A - Full Sample - Dependent Variable: Population Density								
Mule Road Density	-0.070	-0.058	0.044	0.137	0.263**	0.373***	0.424***	0.473***
	(0.143)	(0.136)	(0.119)	(0.123)	(0.128)	(0.125)	(0.154)	(0.172)
Dist. to MST	-0.045	-0.051	-0.064	-0.081	-0.105	-0.111	-0.117	-0.120
	(0.034)	(0.037)	(0.047)	(0.055)	(0.064)	(0.069)	(0.072)	(0.074)
Observations	420	420	420	420	420	420	420	420
Panel B - Only Neighbors - Dependent Variable: Population Density								
Mule Road Density	-0.043	-0.040	0.074	0.158	0.273**	0.372***	0.423***	0.472***
	(0.143)	(0.130)	(0.110)	(0.111)	(0.121)	(0.121)	(0.153)	(0.174)
Dist. to MST	-0.048	-0.056	-0.070	-0.087	-0.109*	-0.116*	-0.121*	-0.123*
	(0.035)	(0.038)	(0.048)	(0.055)	(0.064)	(0.070)	(0.073)	(0.074)
Observations	407	407	407	407	407	407	407	407
Panel C - Full Sample - Dependent Variable: Population Density								
Mule Road Density	-0.024	0.026	0.023	0.258*	0.396***	0.569***	0.619***	0.666***
	(0.124)	(0.126)	(0.082)	(0.142)	(0.143)	(0.172)	(0.189)	(0.207)
Highway Density	-0.162	-0.580	0.941***	0.933***	1.26***	1.44***	1.56***	1.59***
	(0.511)	(0.538)	(0.362)	(0.200)	(0.225)	(0.243)	(0.256)	(0.259)
Observations	420	420	420	420	420	420	420	420
Panel D - Only Neighbors - Dependent Variable: Population Density								
Mule Road Density	0.006	0.051	0.061	0.288**	0.420***	0.588***	0.640***	0.687***
	(0.120)	(0.113)	(0.078)	(0.139)	(0.148)	(0.183)	(0.204)	(0.224)
Highway Density	-0.131	-0.579	0.939**	0.888***	1.22***	1.40***	1.52***	1.55***
	(0.501)	(0.537)	(0.382)	(0.202)	(0.227)	(0.254)	(0.270)	(0.272)
Observations	407	407	407	407	407	407	407	407

Notes: Spatially corrected standard errors are shown in parentheses. Each specification includes state fixed effects and geography controls, including the log-transformed median values of precipitation, temperature, elevation, terrain ruggedness, area, distance to rivers, and distance to the coast, as well as a second-order latitude-longitude polynomial. The *Full Sample* consists of 1920 MCAs, excluding those in states predominantly influenced by the Amazon River basin and MCAs with municipality seats in 1872. The *Only Neighbors* sample includes only MCAs traversed by historical roads and their immediate neighbors. *Population Density* is calculated as the log-transformed population per unit area. *Mule Road Density* is defined as the proportion of a MCA's area within a 5-kilometer buffer surrounding mule roads. *Dist. to MST* is the log-transformed distance from the MCA's centroid to the Minimum Spanning Tree from Brasília computed by Morten and Oliveira (2024). *Highway Density* is defined as the proportion of a MCA's area within a 5-kilometer buffer surrounding modern roads. $^{*}p < 0.1, ^{**}p < 0.05, ^{***}p < 0.01$

or regional factors. Overall, unlike the gold roads, the connection between mule roads and early industrialization is weaker.

Table G.5: Mule roads and industrial composition in 1920

	Full Sample			Only Neighbors		
	Agriculture (1)	Manufacturing (2)	Services (3)	Agriculture (4)	Manufacturing (5)	Services (6)
Panel A - Dependent Variable in Column						
Mule Road Density	-0.012	0.020*	-0.007	-0.008	0.018*	-0.010
	(0.021)	(0.011)	(0.013)	(0.019)	(0.010)	(0.012)
Observations	420	420	420	407	407	407
Panel B - Dependent Variable: Population Density 2010						
Mule Road Density	0.554***	0.549***	0.621***	0.568***	0.558***	0.646***
	(0.178)	(0.186)	(0.178)	(0.187)	(0.194)	(0.186)
Mediator (Column)	-1.76*	1.38	6.28***	-1.75*	1.34	6.56***
	(0.898)	(1.20)	(1.50)	(0.900)	(1.19)	(1.56)
Observations	420	420	420	407	407	407
Sobel Test t	0.553	0.965	-0.551	0.395	0.934	-0.818
Share Mediated	0.038	0.047	-0.079	0.024	0.041	-0.110

Notes: Spatially corrected standard errors are shown in parentheses. Each specification includes state fixed effects and geography controls, including the log-transformed median values of precipitation, temperature, elevation, terrain ruggedness, area, distance to rivers, and distance to the coast, as well as a second-order latitude-longitude polynomial. The *Full Sample* consists of 1920 MCAs, excluding those in states predominantly influenced by the Amazon River basin and MCAs with settlements predating 1694. The *Only Neighbors* sample includes only MCAs traversed by historical roads and their immediate neighbors. The dependent is indicated in the column. *Density* refers to the log-transformed population working in a given industry per unit area. *Share* is defined as the population working in a given industry divided by the population working in all industries. *Mule Road Density* is defined as the proportion of a municipality's area within a 5-kilometer buffer surrounding mule roads. $^{*}p < 0.1, ^{**}p < 0.05, ^{***}p < 0.01$

Table G.6 explores the relationship between historical road densities and population growth across decades. When compared with gold roads, the effects are less pronounced in the early decades but become positive and significant from 1950 onward, particularly during 1960–1980, with coefficients significant at the 1% level. This suggests that mule roads contributed to sustained population growth later in the century, complementing the earlier impact of gold roads.

Table G.7 analyzes the relationship between historical road densities and migrant density across four panels. While gold road density is positively and significantly associated with higher migrant density from both other municipalities and states, the effects of mule road density are more varied.

Table G.6: Mule roads and population growth over time

	Year							
	1920	1940	1950	1960	1970	1980	1990	2000
	(1)	(2)	(3)	(4)	(5)	(6)	(7)	(8)
Panel A - Full Sample - Dep. Var.: Population Growth								
Mule Road Density	-0.004	0.002	0.012***	0.010*	0.013***	0.009***	0.005*	0.004
	(0.005)	(0.003)	(0.004)	(0.005)	(0.004)	(0.003)	(0.003)	(0.003)
Observations	420	420	420	420	420	420	420	420
Panel B - Only Neighbors - Dep. Var.: Population Growth								
Mule Road Density	-0.002	0.001	0.013***	0.009*	0.012***	0.008***	0.005*	0.004
	(0.004)	(0.003)	(0.003)	(0.005)	(0.004)	(0.003)	(0.003)	(0.003)
Observations	407	407	407	407	407	407	407	407

Notes: Spatially corrected standard errors are shown in parentheses. Each specification includes state fixed effects and geography controls, including the log-transformed median values of precipitation, temperature, elevation, terrain ruggedness, area, expected mule road, distance to rivers, and distance to the coast, as well as a second-order latitude-longitude polynomial. The *Full Sample* consists of 1920 MCAs, excluding those in states predominantly influenced by the Amazon River basin and MCAs associated with 1872 municipalities. The *Only Neighbors* sample includes only MCAs traversed by historical roads and their immediate neighbors. *Population growth* is calculated as the average yearly growth of population in the period between the one indicated in the column, and the one indicated in the next column. *Mule Road Density* is defined as the proportion of a MCA's area within a 5-kilometer buffer surrounding mule roads. $^{*}p < 0.1, ^{**}p < 0.05, ^{***}p < 0.01$

While significant positive effects are found for migration from other municipalities, the impact on migration from other states is more inconsistent, with some negative or insignificant coefficients.

Table G.8 explores the relationship between mule road densities and urbanization rates over time. Compared with gold roads, the effect of mule road density, presented in Panels A and B, is less consistent: while some positive and statistically significant effects appear in the full sample for the later years, mule roads have a weaker and more fluctuating influence on urbanization, with only a few significant coefficients observed. This indicates that although mule roads may have contributed to urbanization in certain periods, their overall impact was less pronounced than that of gold roads.

Table G.7: Mule roads and migrant density over time

	Born in another Municipality				Born in another State			
	1970	1980	2000	2010	1970	1980	2000	2010
	(1)	(2)	(3)	(4)	(5)	(6)	(7)	(8)
Panel A - Full Sample - Dep. Var.: Migration Density								
Mule Road Density	0.070	0.370*	0.687***	0.580***	0.077	-0.427**	0.015	-0.035
	(0.256)	(0.216)	(0.120)	(0.204)	(0.259)	(0.207)	(0.226)	(0.327)
Observations	420	419	420	420	420	419	420	420
Panel B - Only Neighbors - Dep. Var.: Migration Density								
Mule Road Density	0.122	0.406*	0.719***	0.596***	0.129	-0.471***	-0.022	-0.138
	(0.254)	(0.215)	(0.129)	(0.205)	(0.258)	(0.160)	(0.216)	(0.286)
Observations	407	406	407	407	407	406	407	407

Notes: Spatially corrected standard errors are shown in parentheses. Each specification includes state fixed effects and geography controls, including the log-transformed median values of precipitation, temperature, elevation, terrain ruggedness, area, expected mule road, distance to rivers, and distance to the coast, as well as a second-order latitude-longitude polynomial. The *Full Sample* consists of 1920 MCAs, excluding those in states predominantly influenced by the Amazon River basin and MCAs associated with 1872 municipalities. The *Only Neighbors* sample includes only MCAs traversed by historical roads and their immediate neighbors. *Migrant Density* is the log-transformed number of migrants from another municipality (or state) over the MCA's area. *Mule Road Density* is defined as the proportion of a MCA's area within a 5-kilometer buffer surrounding mule roads. $^{*}p < 0.1, ^{**}p < 0.05, ^{***}p < 0.01$

Table G.8: Mule roads and urbanization rate over time

	Year							
	1940	1950	1960	1970	1980	1990	2000	2010
	(1)	(2)	(3)	(4)	(5)	(6)	(7)	(8)
Panel A - Full Sample - Dep. Var.: Urbanization Rate								
Mule Road Density	0.006	0.007	-8.88e-6	0.024	0.064**	0.045	0.040	0.044
	(0.036)	(0.046)	(0.003)	(0.021)	(0.027)	(0.035)	(0.043)	(0.037)
Observations	420	420	420	420	420	420	420	420
Panel B - Only Neighbors - Dep. Var.: Urbanization Rate								
Mule Road Density	-0.0001	0.001	0.0001	0.015	0.055**	0.034	0.029	0.033
	(0.033)	(0.043)	(0.004)	(0.014)	(0.023)	(0.027)	(0.037)	(0.028)
Observations	407	407	407	407	407	407	407	407

Notes: Spatially corrected standard errors are shown in parentheses. Each specification includes state fixed effects and geography controls, including the log-transformed median values of precipitation, temperature, elevation, terrain ruggedness, area, expected mule road, distance to rivers, and distance to the coast, as well as a second-order latitude-longitude polynomial. The *Full Sample* consists of 1920 MCAs, excluding those in states predominantly influenced by the Amazon River basin and MCAs associated with 1872 municipalities. The *Only Neighbors* sample includes only MCAs traversed by historical roads and their immediate neighbors. *Urbanization Rate* is calculated as the ratio of individuals living in urban areas to total population. *Mule Road Density* is defined as the proportion of a MCA's area within a 5-kilometer buffer surrounding mule roads. $^{*}p < 0.1, ^{**}p < 0.05, ^{***}p < 0.01$

Appendix References

Allen, Treb and Costas Arkolakis, "Trade and the Topography of the Spatial Economy," *The Quarterly Journal of Economics*, August 2014, *129* (3), 1085–1140.

_ **and Dave Donaldson**, "Persistence and Path Dependence in the Spatial Economy," Working Paper 28059, National Bureau of Economic Research 2020.

Azevedo, Aroldo de, "Vilas e cidades do Brasil colonial: ensaio de geografia urbana retrospectiva," *Boletim da Faculdade de Filosofia, Letras e Ciências Humanas da Universidade de São Paulo*, 1956.

Barjamovic, Gojko, Thomas Chaney, Kerem Coşar, and Ali Hortaçsu, "Trade, Merchants, and the Lost Cities of the Bronze Age," *The Quarterly Journal of Economics*, August 2019, *134* (3), 1455–1503.

Borusyak, Kirill and Peter Hull, "Nonrandom Exposure to Exogenous Shocks," *Econometrica*, 2023, *91* (6), 2155–2185.

Conley, Timothy G, "GMM estimation with cross sectional dependence," *Journal of econometrics*, 1999, *92* (1), 1–45.

IBGE, *Enciclopédia dos municípios brasileiros*, Instituto Brasileiro de Geografia e Estatística, Rio de Janeiro, 1957.

Kelly, Morgan, Joel Mokyr, and Cormac Ó Gráda, "The mechanics of the Industrial Revolution," *Journal of Political Economy*, 2023, *131* (1), 59–94.

Morten, Melanie and Jaqueline Oliveira, "The Effects of Roads on Trade and Migration: Evidence from a Planned Capital City," *American Economic Journal: Applied Economics*, 2024, *16* (2), 389–421.

Pebesma, Edzer, "Simple Features for R: Standardized Support for Spatial Vector Data," *The R Journal*, 2018, *10* (1), 439–446.

Pereira, Rafael, Caio Goncalves, Joao Carabetta, and Bernardo Furtado, "Geobr: Loads Shapefiles of Official Spatial Data Sets of Brazil," 2019.

Portugal, Alexandre and Bruno Barsanetti, "Paths that Led To Gold: Historical Roads, Trade, and Persistence," 2023. Available at SSRN: https://ssrn.com/abstract=4390634.

Reis, Eustáquio, Márcia Pimentel, Ana I Alvarenga, and Maria do Carmo H Santos, "Áreas mínimas comparáveis para os períodos intercensitários de 1872 a 2000," in "Anais do I Simpósio Brasileiro de Cartografia Histórica" Paraty 2011.

Russell-Wood, A. J. R., "Colonial Brazil: The Gold Cycle, c. 1690–1750," in Leslie Bethell, ed., *The Cambridge History of Latin America*, Vol. 2, Cambridge: Cambridge University Press, 1984, pp. 547–600.

Simonsen, Roberto C., *História Econômica do Brasil: 1500–1820*, 7 ed., São Paulo: Companhia Editora Nacional, 1977.

Soliani, Rodrigo D, "Logistics and transportation in Brazilian agribusiness: The flow of grain production," *Journal of Economics, Business and Management*, 2022, *10* (3), 210–219.